4.15.3 RA2 Exception Zones

Refer to Article 1.1.2.3 - Exception Zones and Exception Zone Schedules

4.15.3.1	Exception: RA2-1	Map # 19, 20	By-law: 0174-2017, 0228-2024
In a RA2-1 zone the permitted **uses** and applicable regulations shall be as specified for a RA2 zone except that the following **uses**/regulations shall apply:			
Regulations			
4.15.3.1.1	Minimum **floor space index - apartment zone**		0.5
4.15.3.1.2	Maximum **floor space index - apartment zone**		1.2

4.15.3.2	Exception: RA2-2	Map # 17, 18	By-law: 0174-2017
In a RA2-2 zone the permitted **uses** and applicable regulations shall be as specified for a RA2 zone except that the following **uses**/regulations shall apply:			
Regulations			
4.15.3.2.1	Minimum **floor space index - apartment zone**		0.7
4.15.3.2.2	Maximum **floor space index - apartment zone**		1.0

4.15.3.3	Exception: RA2-3	Map # 25	By-law: 0174-2017
In a RA2-3 zone the permitted **uses** and applicable regulations shall be as specified for a RA2 zone except that the following **uses**/regulations shall apply:			
Regulations			
4.15.3.3.1	Minimum **floor space index - apartment zone**		0.8
4.15.3.3.2	Maximum **floor space index - apartment zone**		1.4

4.15.3.4	Exception: RA2-4	Map # 16, 20, 22, 23, 25, 30, 38E, 48E	By-law: 0174-2017
In a RA2-4 zone the permitted **uses** and applicable regulations shall be as specified for a RA2 zone except that the following **uses**/regulations shall apply:			
Regulations			
4.15.3.4.1	Minimum **floor space index - apartment zone**		1.0
4.15.3.4.2	Maximum **floor space index - apartment zone**		1.5

4.15.3.5	Exception: RA2-5	Map # 14, 15, 21	By-law: 0174-2017
In a RA2-5 zone the permitted **uses** and applicable regulations shall be as specified for a RA2 zone except that the following **uses**/regulations shall apply:			
Regulations			
4.15.3.5.1	Minimum **floor space index - apartment zone**		0.5
4.15.3.5.2	Maximum **floor space index - apartment zone**		1.5

4.15.3.6	Exception: RA2-6	Map # 06, 07, 08	By-law: 0174-2017, 0111-2019/LPAT Order 2021 March 09
In a RA2-6 zone the permitted **uses** and applicable regulations shall be as specified for a RA2 zone except that the following **uses**/regulations shall apply:			
Regulations			
4.15.3.6.1	Minimum **floor space index - apartment zone**		1.0
4.15.3.6.2	Maximum **floor space index - apartment zone**		1.8

4.15.3.7	Exception: RA2-7	Map #	By-law: 0174-2017
In a RA2-7 zone the permitted **uses** and applicable regulations shall be as specified for a RA2 zone except that the following **uses**/regulations shall apply:			
Regulations			
4.15.3.7.1	Minimum **floor space index - apartment zone**		1.0
4.15.3.7.2	Maximum **floor space index - apartment zone**		2.1

4.15.3.8	Exception: RA2-8	Map # 14, 15	By-law: 0174-2017
In a RA2-8 zone the permitted **uses** and applicable regulations shall be as specified for a RA2 zone except that the following **uses**/regulations shall apply:			
Regulations			
4.15.3.8.1	Minimum **floor space index - apartment zone**		1.5
4.15.3.8.2	Maximum **floor space index - apartment zone**		2.0

4.15.3.9	Exception: RA2-9	Map #	By-law: 0174-2017
In a RA2-9 zone the permitted **uses** and applicable regulations shall be as specified for a RA2 zone except that the following **uses**/regulations shall apply:			
Regulations			
4.15.3.9.1	Minimum **floor space index - apartment zone**		1.5
4.15.3.9.2	Maximum **floor space index - apartment zone**		2.9

4.15.3.10	Exception: RA2-10	Map #	By-law: 0174-2017
In a RA2-10 zone the permitted **uses** and applicable regulations shall be as specified for a RA2 zone except that the following **uses**/regulations shall apply:			
Regulations			
4.15.3.10.1	Minimum **floor space index - apartment zone**		1.9
4.15.3.10.2	Maximum **floor space index - apartment zone**		2.9

4.15.3.11	Exception: RA2-11	Map # 27	By-law: 0174-2017, 0208-2022
In a RA2-11 zone the permitted **uses** and applicable regulations shall be as specified for a RA2 zone except that the following **uses**/regulations shall apply:			
Additional Permitted Uses			
4.15.3.11.1	(1) **Place of Religious Assembly** (2) **Day Care**		
Regulations			
4.15.3.11.2	An **apartment** shall only be permitted in **Buildable Area** 'A' identified on Schedule RA2-11 of this Exception		
4.15.3.11.3	Maximum number of apartment **dwelling units** in **Buildable Area** 'A' identified on Schedule RA2-11 of this Exception		68
4.15.3.11.4	A **place of religious assembly** and **day care** shall only be permitted in **Buildable Area** 'B' identified on Schedule RA2-11 of this Exception		
4.15.3.11.5	Maximum total **gross floor area - non-residential** in **Buildable Area** 'B' identified on Schedule RA2-11 of this Exception		2 300 m^2
4.15.3.11.6	All site development plans shall comply with Schedule RA2-11 of this Exception		

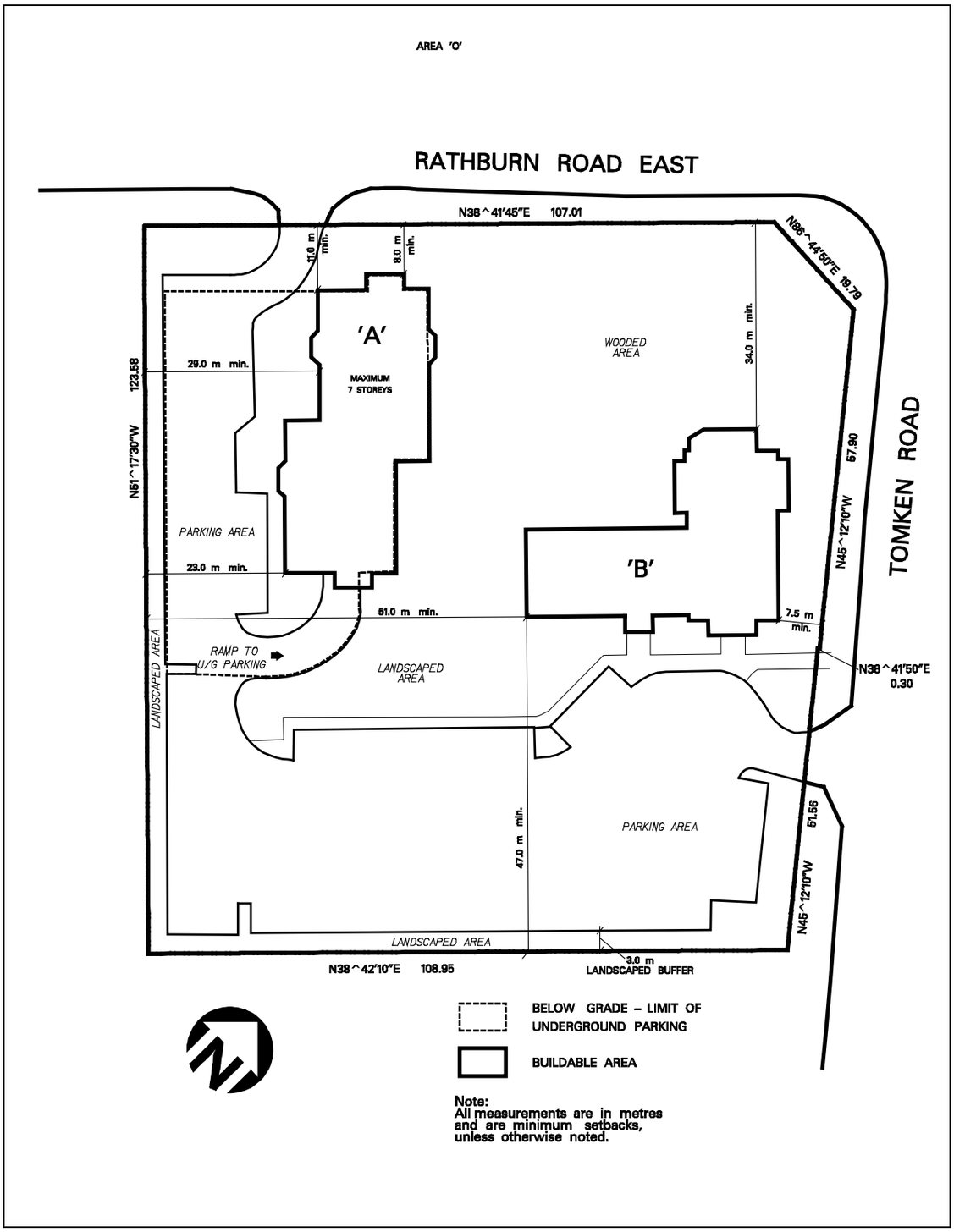

Schedule RA2-11
Map 27

4.15.3.12	Exception: RA2-12	Map # 27	By-law:
In a RA2-12 zone the permitted **uses** and applicable regulations shall be as specified for a RA2 zone except that the following **uses**/regulations shall apply:			
Regulations			
4.15.3.12.1	Maximum number of **dwelling units**		120
4.15.3.12.2	Minimum setback from all **structures** completely below finished grade to a **lot line**		1.0 m
4.15.3.12.3	All site development plans shall comply with Schedule RA2-12 of this Exception		

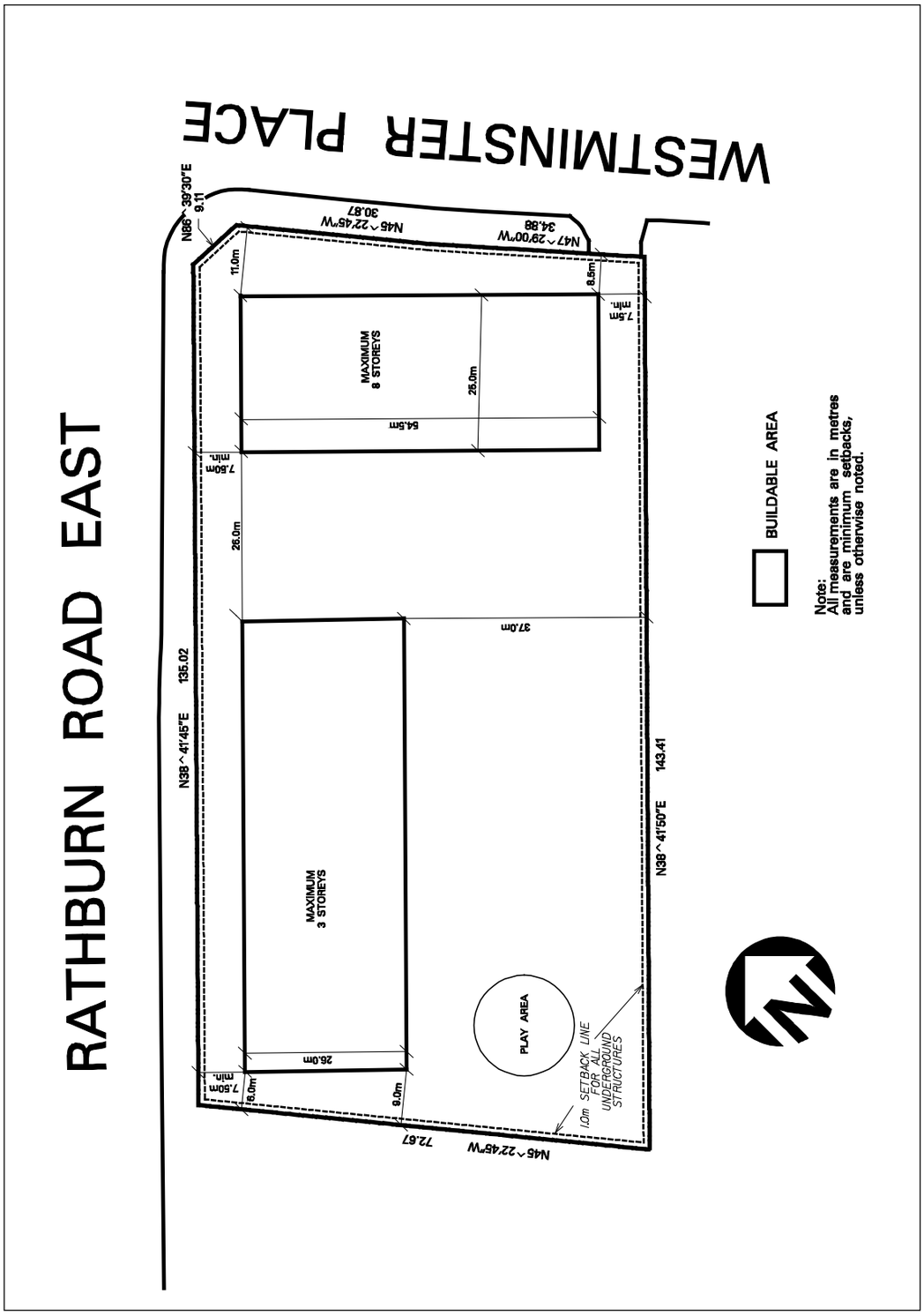

Schedule RA2-12
Map 27

4.15.3.13	Exception: RA2-13	Map # 38W	By-law: 0174-2017
In a RA2-13 zone the permitted **uses** and applicable regulations shall be as specified for a RA2 zone except that the following **uses**/regulations shall apply:			
Regulations			
4.15.3.13.1	Minimum **floor space index - apartment zone**		1.0
4.15.3.13.2	Maximum **floor space index - apartment zone**		1.8
4.15.3.13.3	Maximum **height**		7 **storeys**

4.15.3.14	Exception: RA2-14	Map # 36W	By-law: 0174-2017, 0208-2022
In a RA2-14 zone the permitted **uses** and applicable regulations shall be as specified for a RA2 zone except that the following **uses**/regulations shall apply:			
Regulations			
4.15.3.14.1	The regulations of Lines 4.0 and 5.0 contained in Table 4.15.1 of this By-law shall not apply		
4.15.3.14.2	An **apartment** shall only be permitted in **Buildable Areas** 'A', 'B' and 'C' identified on Schedule RA2-14 of this Exception		
4.15.3.14.3	Maximum total number of apartment **dwelling units** in **Buildable Areas** 'A', 'B' and 'C' identified on Schedule RA2-14 of this Exception		133
4.15.3.14.4	A **retirement building** shall only be permitted in **Buildable Area** 'D' identified on Schedule RA2-14 of this Exception		
4.15.3.14.5	Maximum number of **retirement dwelling units** in **Buildable Area** 'D' identified on Schedule RA2-14 of this Exception		30
4.15.3.14.6	A **long-term care building** shall only be permitted in **Buildable Area** 'E' identified on Schedule RA2-14 of this Exception		
4.15.3.14.7	Maximum **gross floor area - apartment zone** of a **long-term care building** in **Buildable Area** 'E' identified on Schedule RA2-14 of this Exception		9 600 m^2
4.15.3.14.8	**Balconies** and awnings may project outside **Buildable Area** 'E' identified on Schedule RA2-14 of this Exception		
4.15.3.14.9	Minimum number of visitor **parking spaces**		75
4.15.3.14.10	Minimum number of staff/resident **parking spaces**		197
4.15.3.14.11	All site development plans shall comply with Schedule RA2-14 of this Exception		

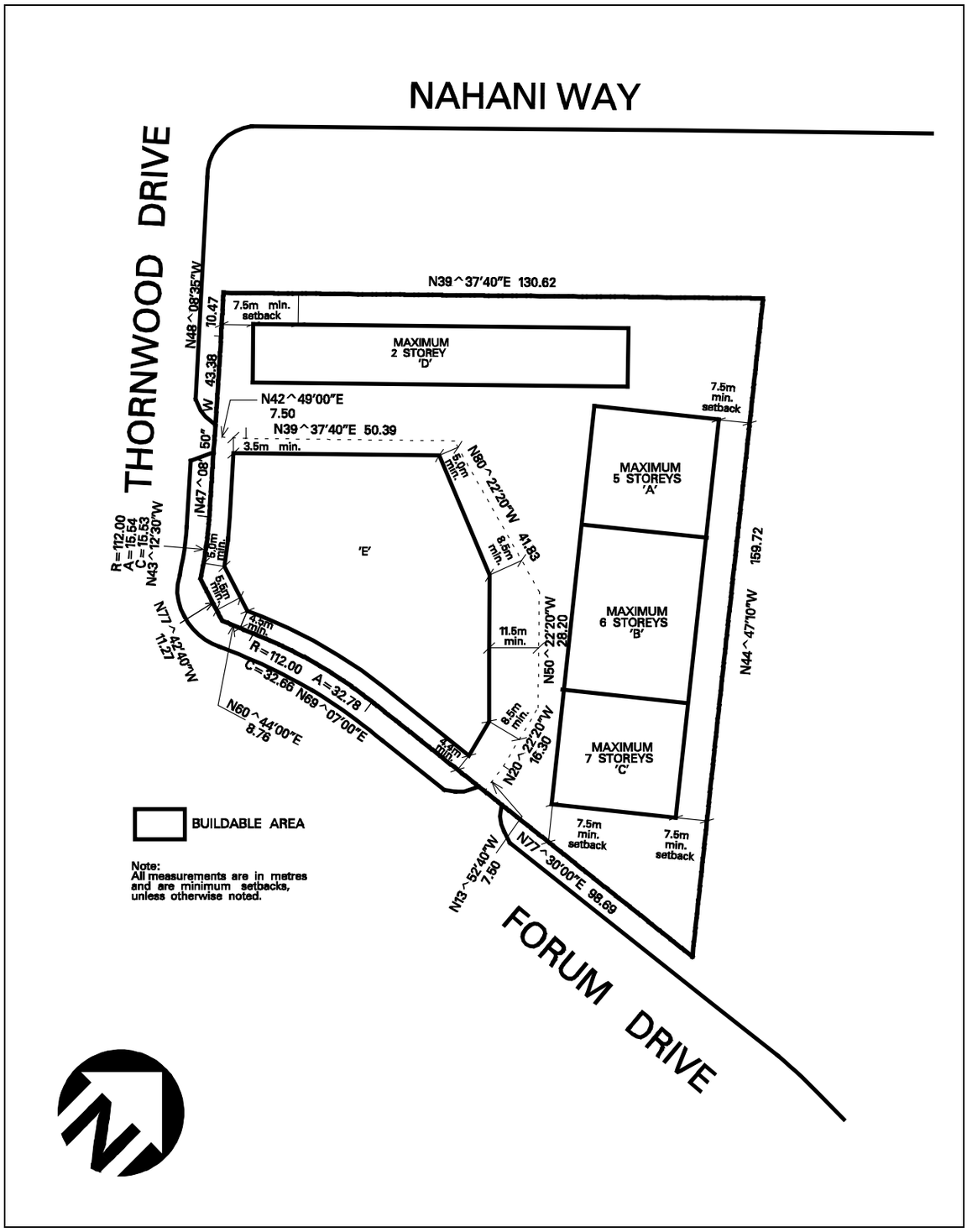

Schedule RA2-14
Map 36W

4.15.3.15	Exception: RA2-15	Map # 06	By-law: *deleted by 0179-2017*, 0111-2019/LPAT Order 2021 March 09
In a RA2-15 zone the permitted **uses** and applicable regulations shall be as specified for a RA2 zone except that the following **uses**/regulations shall apply:			
Additional Permitted Use			
4.15.3.15.1	(1) **Townhouse**		
Regulations			
4.15.3.15.2	Maximum number of apartment **dwelling units**		119
4.15.3.15.3	Minimum **front yard**		6.0 m
4.15.3.15.4	Minimum **exterior side yard**		6.0 m
4.15.3.15.5	Minimum **interior side yard**		3.0 m
4.15.3.15.6	Minimum **rear yard**		7.5 m
4.15.3.15.7	Maximum **height**		7 **storeys**
4.15.3.15.8	Minimum number of **parking spaces** per apartment **dwelling unit**		1.40
4.15.3.15.9	A **townhouse** shall comply with the RM4 zone regulations contained in Subsection 4.10.1 of this By-law except that:		
	(1) maximum number of townhouse **dwelling units**		10
	(2) minimum **exterior side yard**		6.0 m
	(3) maximum **height**		2 **storeys**
	(4) minimum number of **parking spaces** per townhouse **dwelling unit**		1.40

4.15.3.16	Exception: RA2-16	Map # 30	By-law: 0174-2017
In a RA2-16 zone the permitted **uses** and applicable regulations shall be as specified for a RA2 zone except that the following **uses**/regulations shall apply:			
Regulations			
4.15.3.16.1	Maximum number of **dwelling units**		189
4.15.3.16.2	Minimum **floor space index - apartment zone**		1.0
4.15.3.16.3	Maximum **floor space index - apartment zone**		2.1
4.15.3.16.4	Maximum **height**		9 **storeys**
4.15.3.16.5	Maximum percentage of required resident **parking spaces** that may be tandem		20%
4.15.3.16.6	Minimum setback of a **parking structure** completely below finished grade to a **street line**		3.0 m
4.15.3.16.7	Minimum setback of a **parking structure** completely below finished grade to a **lot line** that is not a **street line**		0.5 m

4.15.3.17	Exception: RA2-17	Map # 38W	By-law: 0174-2017
In a RA2-17 zone the permitted **uses** and applicable regulations shall be as specified for a RA2 zone except that the following **uses**/regulations shall apply:			
Regulations			
4.15.3.17.1	Minimum **floor space index - apartment zone**		1.0
4.15.3.17.2	Maximum **floor space index - apartment zone**		1.8
4.15.3.17.3	Maximum **height**		6 **storeys**

4.15.3.18	Exception: RA2-18	Map # 19	By-law: 0174-2017, 0208-2022, 0048-2025
In a RA2-18 zone the permitted **uses** and applicable regulations shall be as specified for a RA2 zone except that the following **uses**/regulations shall apply:			
Regulations			
4.15.3.18.1	The regulations of Line 3.0 contained in Table 4.15.1 of this By-law shall not apply		
4.15.3.18.2	Minimum **floor space index - apartment zone**		0.5
4.15.3.18.3	Maximum **floor space index - apartment zone**		1.2
4.15.3.18.4	Maximum projection of a **balcony**, window with or without a foundation or awning outside the **buildable area** identified on Schedule RA2-18 of this Exception		4.5 m
4.15.3.18.5	Access shall be permitted from lands zoned C3-23		
4.15.3.18.6	Access shall be permitted to lands zoned RS-50		
4.15.3.18.7	All site development plans shall comply with Schedule RA2-18 of this Exception		

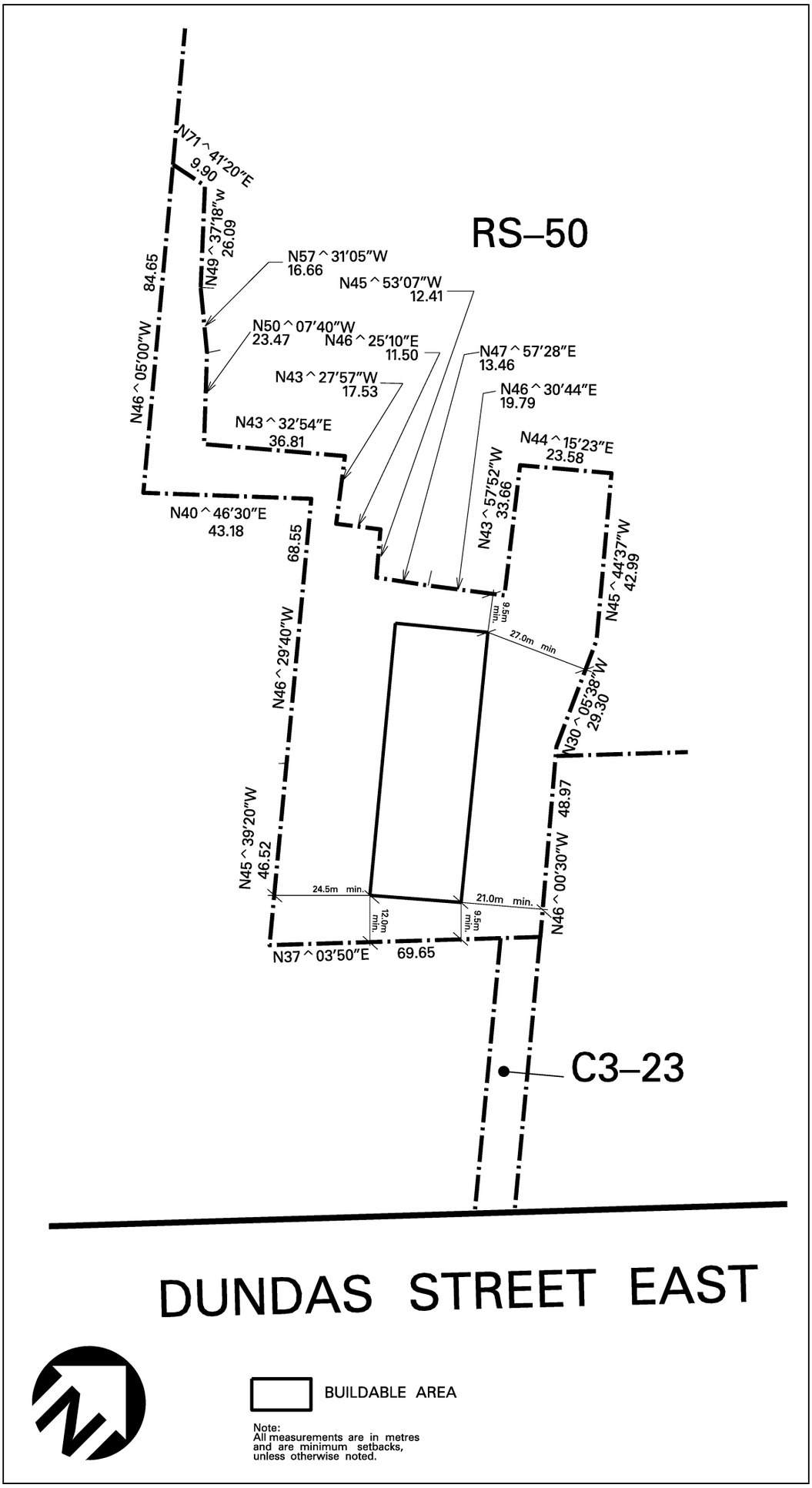

Schedule RA2-18
Map 19

4.15.3.19	Exception: RA2-19	Map # 22	By-law: 0174-2017, 0181-2018/LPAT Order 2019 February 15, 0208-2022
In a RA2-19 zone the permitted **uses** and applicable regulations shall be as specified for a RA2 zone except that the following **uses**/regulations shall apply:			
Additional Permitted Uses			
4.15.3.19.1	(1) **Townhouse** (2) **Street Townhouse** (3) **Back to Back** and **Stacked Townhouses**		
Regulations			
4.15.3.19.2	Minimum number of **dwelling units** per hectare		100
4.15.3.19.3	Maximum number of **dwelling units** per hectare		148
4.15.3.19.4	Minimum **floor space index - apartment zone**		1.0
4.15.3.19.5	Maximum **floor space index - apartment zone**		1.5
4.15.3.19.6	A **townhouse** shall comply with the RM4 zone regulations contained in Subsection 4.10.1 of this By-law		
4.15.3.19.7	A **street townhouse** shall comply with the RM5 zone regulations contained in Subsection 4.11.1 of this By-law		
4.15.3.19.8	A **back to back** and **stacked townhouse** shall comply with the RM8-14 zone regulations contained in Exception Table 4.13A.2.14 of this By-law		
4.15.3.19.9	A **structure** completely below finished grade may project outside the **buildable area** identified on Schedule RA2-19 of this Exception		
4.15.3.19.10	All site development plans shall comply with Schedule RA2-19 of this Exception		

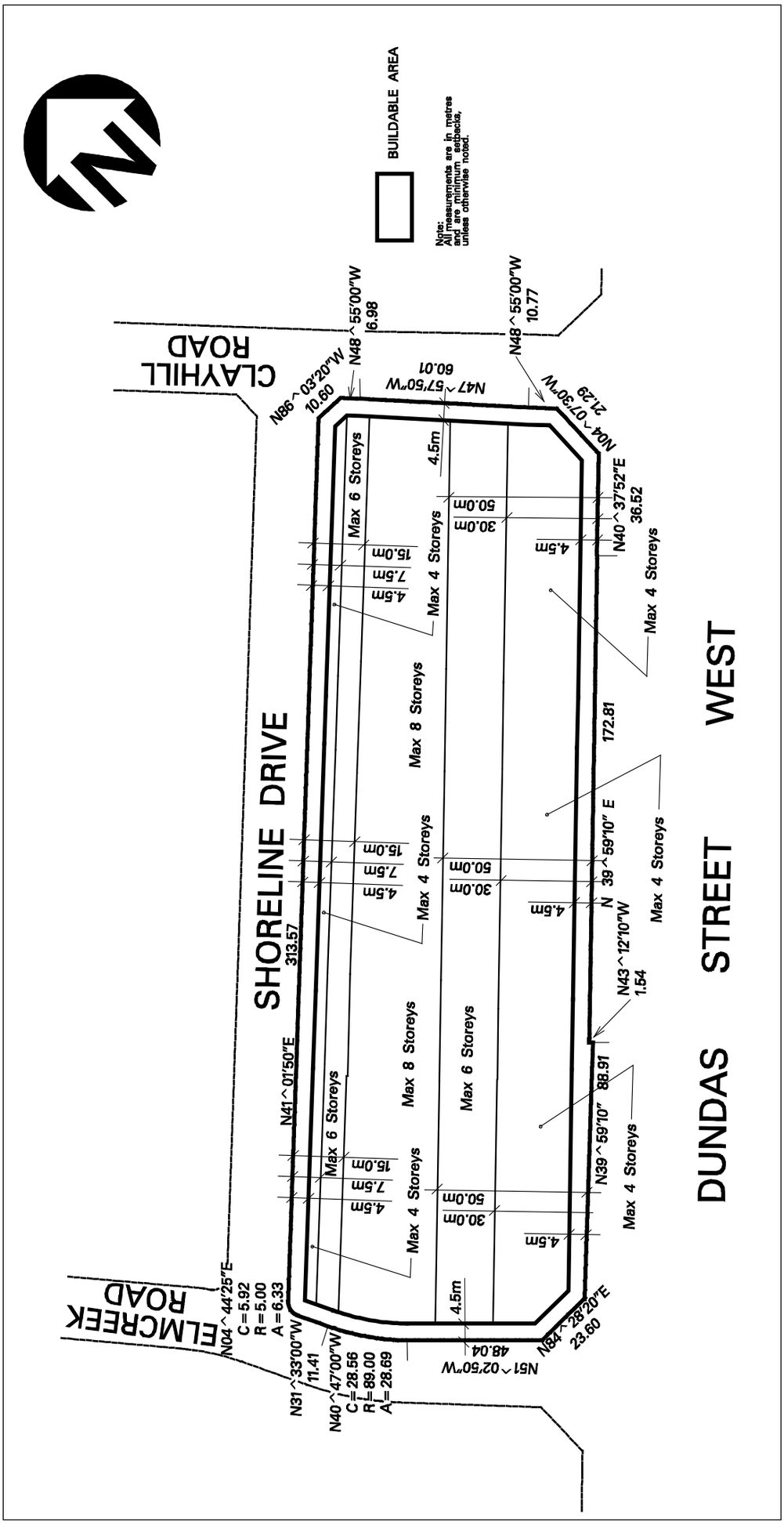

Schedule RA2-19
Map 22

4.15.3.20	Exception: RA2-20	Map # 37E	By-law: 0174-2017
In a RA2-20 zone the permitted **uses** and applicable regulations shall be as specified for a RA2 zone except that the following **uses**/regulations shall apply:			
Regulations			
4.15.3.20.1	Maximum number of **dwelling units** per hectare		197
4.15.3.20.2	Minimum **floor space index - apartment zone**		1.0
4.15.3.20.3	Maximum **floor space index - apartment zone**		1.8
4.15.3.20.4	Maximum percentage of required resident **parking spaces** that may be tandem		10%

4.15.3.21	Exception: RA2-21	Map # 32	By-law: 0174-2017, 0208-2022
In a RA2-21 zone the permitted **uses** and applicable regulations shall be as specified for a RA2 zone except that the following **uses**/regulations shall apply:			
Regulations			
4.15.3.21.1	Maximum number of apartment **dwelling units**		67
4.15.3.21.2	Maximum number of **retirement dwelling units**		133
4.15.3.21.3	Maximum **lot coverage**		40%
4.15.3.21.4	Minimum **floor space index - apartment zone**		1.0
4.15.3.21.5	Maximum **floor space index - apartment zone**		2.5
4.15.3.21.6	Maximum projection of a **balcony**, window with or without a foundation or awning outside the **buildable area** identified on Schedule RA2-21 of this Exception		2.0 m
4.15.3.21.7	Minimum number of resident **parking spaces** per apartment **dwelling unit**		1.00
4.15.3.21.8	Minimum number of resident **parking spaces** per **retirement dwelling unit**		0.15
4.15.3.21.9	Minimum number of visitor **parking spaces** per **retirement dwelling unit**		0.26
4.15.3.21.10	Minimum **aisle** width within a **parking structure**		6.0 m
4.15.3.21.11	All site development plans shall comply with Schedule RA2-21 of this Exception		

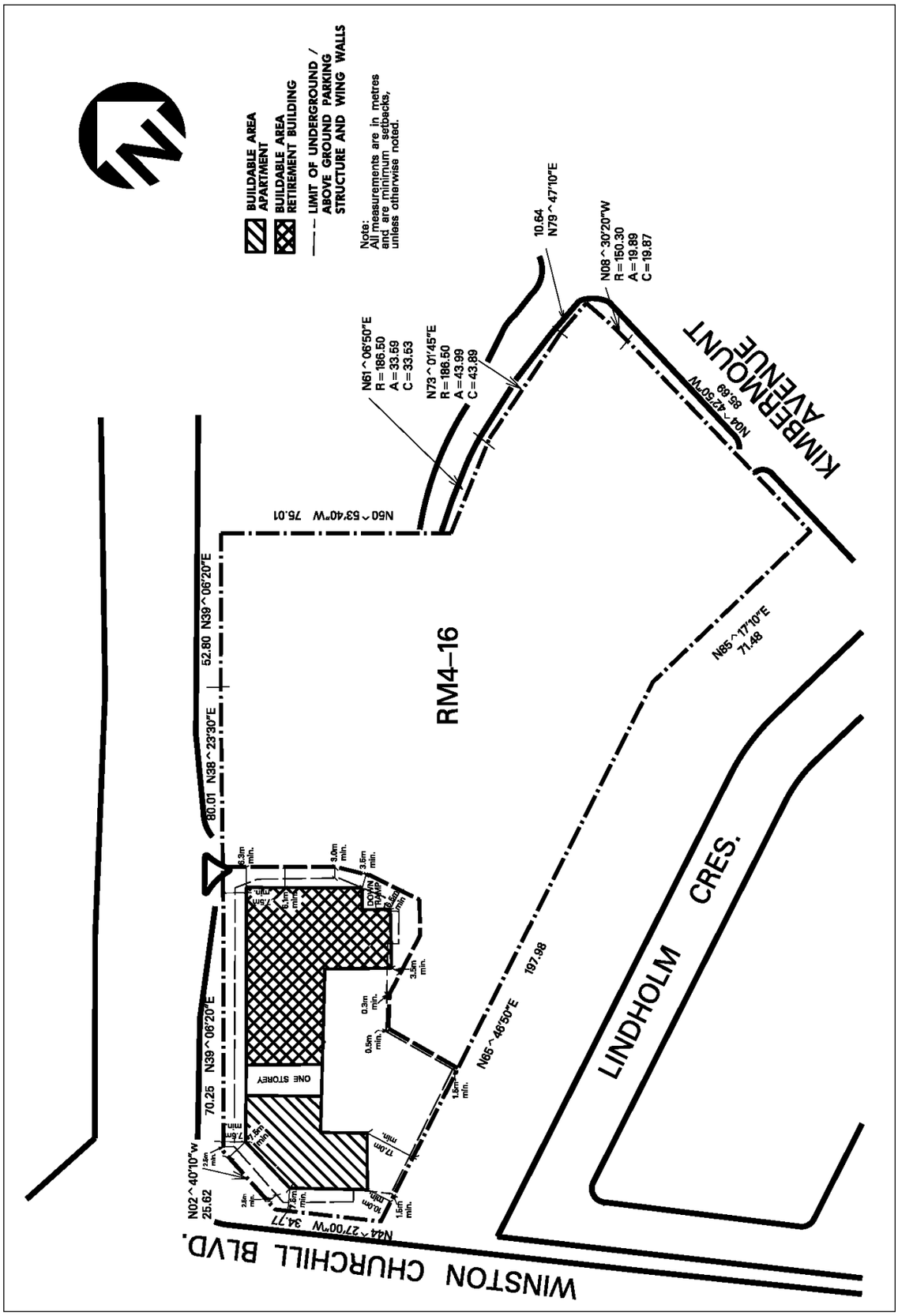

Schedule RA2-21
Map 32

4.15.3.22	Exception: RA2-22	Map # 32	By-law: 0174-2017
In a RA2-22 zone the permitted **uses** and applicable regulations shall be as specified for a RA2 zone except that the following **uses**/regulations shall apply:			
Regulations			
4.15.3.22.1	Maximum number of **dwelling units**		90
4.15.3.22.2	Minimum depth of a **landscaped buffer** abutting the **front lot line**		7.5 m
4.15.3.22.3	Minimum **floor space index - apartment zone**		1.5
4.15.3.22.4	Maximum **floor space index - apartment zone**		2.1
4.15.3.22.5	Minimum **front yard**		7.5 m
4.15.3.22.6	Minimum **interior side yard**		9.0 m
4.15.3.22.7	Minimum **rear yard**		9.0 m
4.15.3.22.8	Minimum setback from all **structures** below **established grade** to the **front lot line**		7.5 m
4.15.3.22.9	Minimum setback from all **structures** below **established grade** to the **interior side lot line**		2.0 m
4.15.3.22.10	Minimum setback from all **structures** below **established grade** to the **rear lot line**		5.0 m
4.15.3.22.11	Maximum **height**		6 **storeys**
4.15.3.22.12	Maximum encroachment of a **balcony** into required side and **rear yards**		2.5 m
4.15.3.22.13	Maximum encroachment of architectural elements such as, but not limited to, cornices and corbels into a required **yard**		0.6 m

4.15.3.23	Exception: RA2-23	Map # 37E	By-law: 0174-2017
In a RA2-23 zone the permitted **uses** and applicable regulations shall be as specified for a RA2 zone except that the following **uses**/regulations shall apply:			
Regulations			
4.15.3.23.1	Maximum number of **dwelling units**		57
4.15.3.23.2	Minimum **floor space index - apartment zone**		1.0
4.15.3.23.3	Maximum **floor space index - apartment zone**		1.8
4.15.3.23.4	Maximum **height**		6 **storeys**
4.15.3.23.5	All site development plans shall comply with Schedule RA2-23 of this Exception		

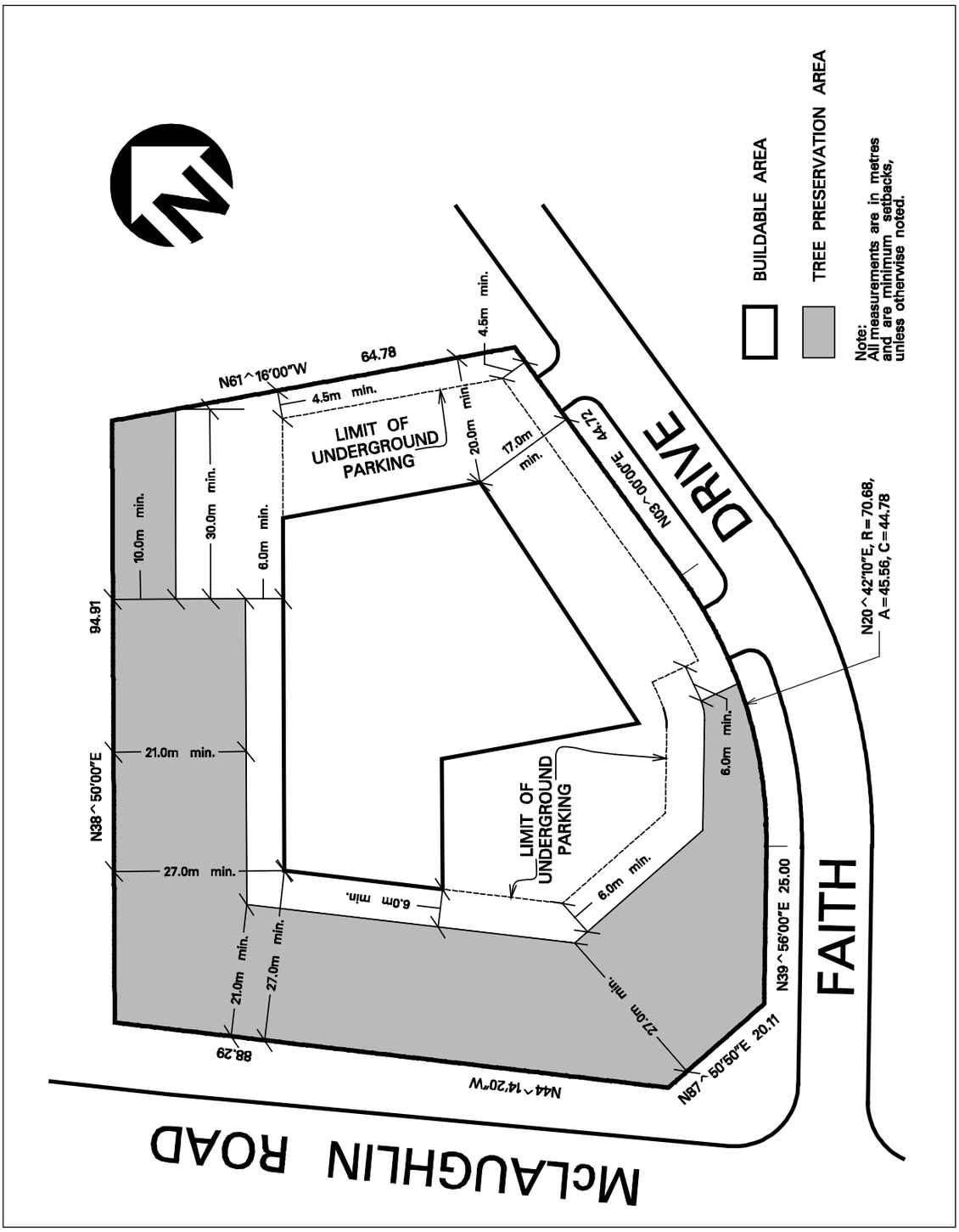

Schedule RA2-23
Map 37E

4.15.3.24	Exception: RA2-24	Map # 57	By-law: 0174-2017, 0208-2022, *deleted by 0224-2022*, 0159-2023, 0239-2024
In a RA2-24 zone the permitted **uses** and applicable regulations shall be as specified for a RA2 zone except that the following **uses**/regulations shall apply:			
Regulations			
4.15.3.24.1	The provisions contained in Subsections 2.1.14 and 4.1.8 of this By-law shall not apply		
4.15.3.24.2	Maximum **floor space index - apartment zone**		2.2
4.15.3.24.3	Maximum **height**		20.0 m and 6 **storeys**
4.15.3.24.4	Notwithstanding Sentence 4.15.3.24.22 of this Exception, minimum **front yard** for that portion of the dwelling with a **height** greater than 13.0 m and less than or equal to 20.0 m		7.8 m
4.15.3.24.5	Notwithstanding Sentence 4.15.3.24.22 of this Exception, minimum **interior side yard** for that portion of the dwelling with a **height** greater than 13.0 m and less than or equal to 20.0 m abutting a Residential Zone		19.5 m
4.15.3.24.6	Notwithstanding Sentence 4.15.3.24.22 of this Exception, minimum **interior side yard** for that portion of the dwelling with a **height** greater than 13.0 m and less than or equal to 20.0 m abutting lands with a Greenlands Zone		6.7 m
4.15.3.24.7	Notwithstanding Sentence 4.15.3.24.22 of this Exception, maximum projection of a **porch**, **balcony** located on the **first storey**, staircase or landing, measured from the outermost face or faces of the **building** from which the **porch**, **balcony**, staircase or landing projects		3.2 m
4.15.3.24.8	Notwithstanding Sentence 4.15.3.24.22 of this Exception, maximum projection of a **balcony** located on the second, third, fourth, and sixth **storey** measured from the outermost face or faces of the **building** from which the **balcony** projects		1.8 m
4.15.3.24.9	Notwithstanding Sentence 4.15.3.24.22 of this Exception, maximum projection of a **balcony** located on the fifth **storey** measured from the outermost face or faces of the **building** from which the **balcony** projects, and abutting a **front lot line**		4.6 m
4.15.3.24.10	Notwithstanding Sentence 4.15.3.24.22 of this Exception, maximum projection of a **balcony** located on the fifth **storey** measured from the outermost face or faces of the **building** from which the **balcony** projects, and abutting a southerly **interior side lot line**		5.8 m
4.15.3.24.11	Minimum setback from surface **parking spaces** or **aisles** to the **front lot line**		7.5 m
4.15.3.24.12	Minimum setback from surface **parking spaces** or **aisles** to the **rear lot line**		3.0 m
4.15.3.24.13	Minimum setback from a **parking structure** completely below finished grade, inclusive of external access stairwells, to a Greenlands Zone		2.0 m
4.15.3.24.14	Minimum setback from a **parking structure** completely below finished grade, inclusive of external access stairwells, to the **front lot line**		1.1 m
4.15.3.24.15	Minimum **aisle** width		6.0 m
4.15.3.24.16	Minimum **landscaped area**		30% of the **lot area**
4.15.3.24.17	Minimum depth of a **landscaped buffer** abutting a **lot line** that is a **street line**		3.0 m

Exception RA2-24 continued on next page

4.15.3.24	Exception: RA2-24	Map # 57	By-law: 0174-2017, 0208-2022, *deleted by 0224-2022*, 0159-2023, 0239-2024
Exception RA2-24 continued from previous page			
4.15.3.24.18	Minimum depth of a **landscaped buffer** abutting lands with a Greenlands Zone		2.0 m
4.15.3.24.19	Minimum depth of a **landscaped buffer** abutting a RM5-58 zone		4.0 m
4.15.3.24.20	Maximum parallel length of a **driveway** and walkway permitted in the required **landscaped buffer** abutting the **rear lot line**		30.0 m
4.15.3.24.21	Minimum percentage of total required **amenity area** to be provided in one contiguous area		38%
4.15.3.24.22	All site development plans shall comply with Schedule RA2-24 of this Exception		

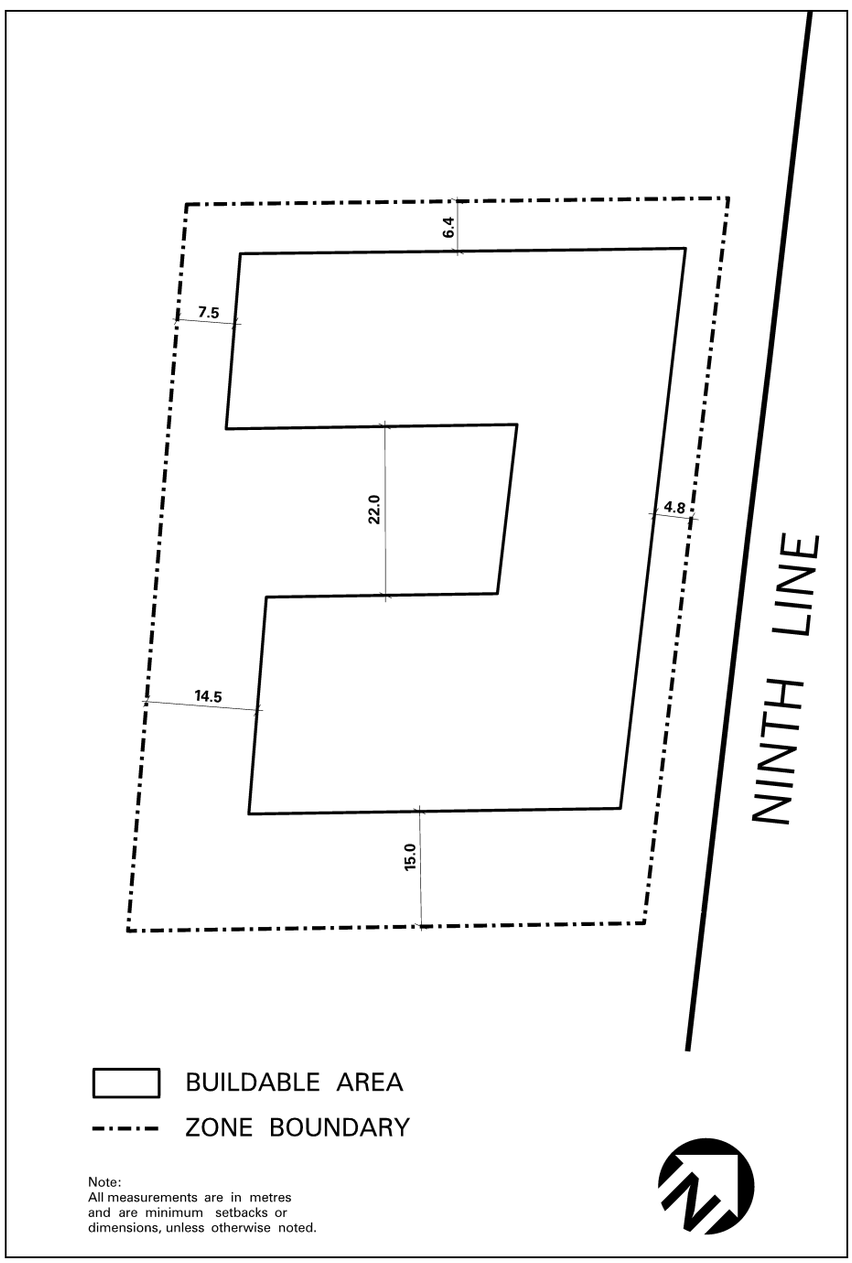

Schedule RA2-24
Map 57

4.15.3.25	Exception: RA2-25	Map # 39E	By-law: 0308-2011, 0265-2016, 0174-2017, 0208-2022

In a RA2-25 zone the permitted **uses** and applicable regulations shall be as specified for a RA2 zone except that the following **uses**/regulations shall apply:

Regulations		
4.15.3.25.1	Maximum number of **dwelling units**	220
4.15.3.25.2	Minimum **floor space index - apartment zone**	1.0
4.15.3.25.3	Maximum **floor space index - apartment zone**	1.8
4.15.3.25.4	Maximum **height**	21.0 m and 6 **storeys**
4.15.3.25.5	Minimum number of resident **parking spaces** per one-bedroom **dwelling unit**	1.0
4.15.3.25.6	Minimum number of resident **parking spaces** per two bedroom **dwelling unit**	1.16
4.15.3.25.7	Minimum number of visitor **parking spaces** per **dwelling unit**	0.20
4.15.3.25.8	Maximum projection of an on grade patio outside the **buildable area** identified on Schedule RA2-25 of this Exception	2.0 m
4.15.3.25.9	All site development plans shall comply with Schedule RA2-25 of this Exception	

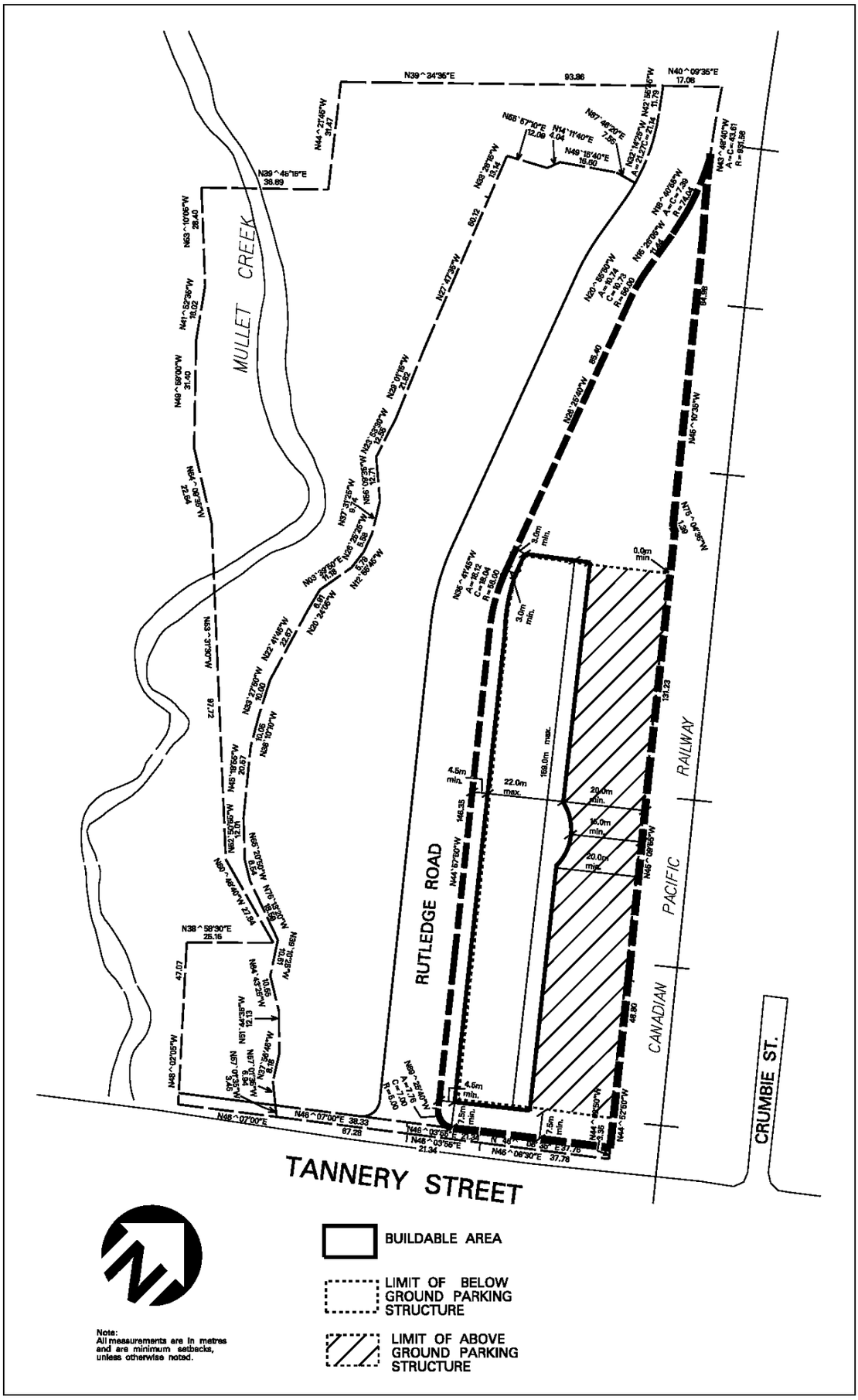

Schedule RA2-25
Map 39E

4.15.3.26	Exception: RA2-26	Map # 39E	By-law: 0325-2008, 0174-2017
In a RA2-26 zone the applicable regulations shall be as specified for a RA2 zone except that the following **uses**/regulations shall apply:			
Permitted Use			
4.15.3.26.1	Lands zoned RA2-26 shall only be used for the following: (1) Sky-Light Apartment Dwelling		
Regulations			
4.15.3.26.2	Maximum number of sky-light apartment **dwelling units**		78
4.15.3.26.3	Minimum **floor space index - apartment zone**		1.0
4.15.3.26.4	Maximum **floor space index - apartment zone**		1.8
4.15.3.26.5	Maximum **height**: measured from **established grade** to midpoint of the **roof**		11.0 m
4.15.3.26.6	Minimum number of resident **parking spaces** per **dwelling unit**		1.75
4.15.3.26.7	Minimum number of visitor **parking spaces** per **dwelling unit**		0.20
4.15.3.26.8	"Sky-Light Apartment Dwelling" means a **building** or **structure** where each **dwelling unit** has an independent entrance at the ground level only through a common entrance at the ground level or at the **first storey** above ground		
4.15.3.26.9	All site development plans shall comply with Schedule RA2-26 of this Exception		

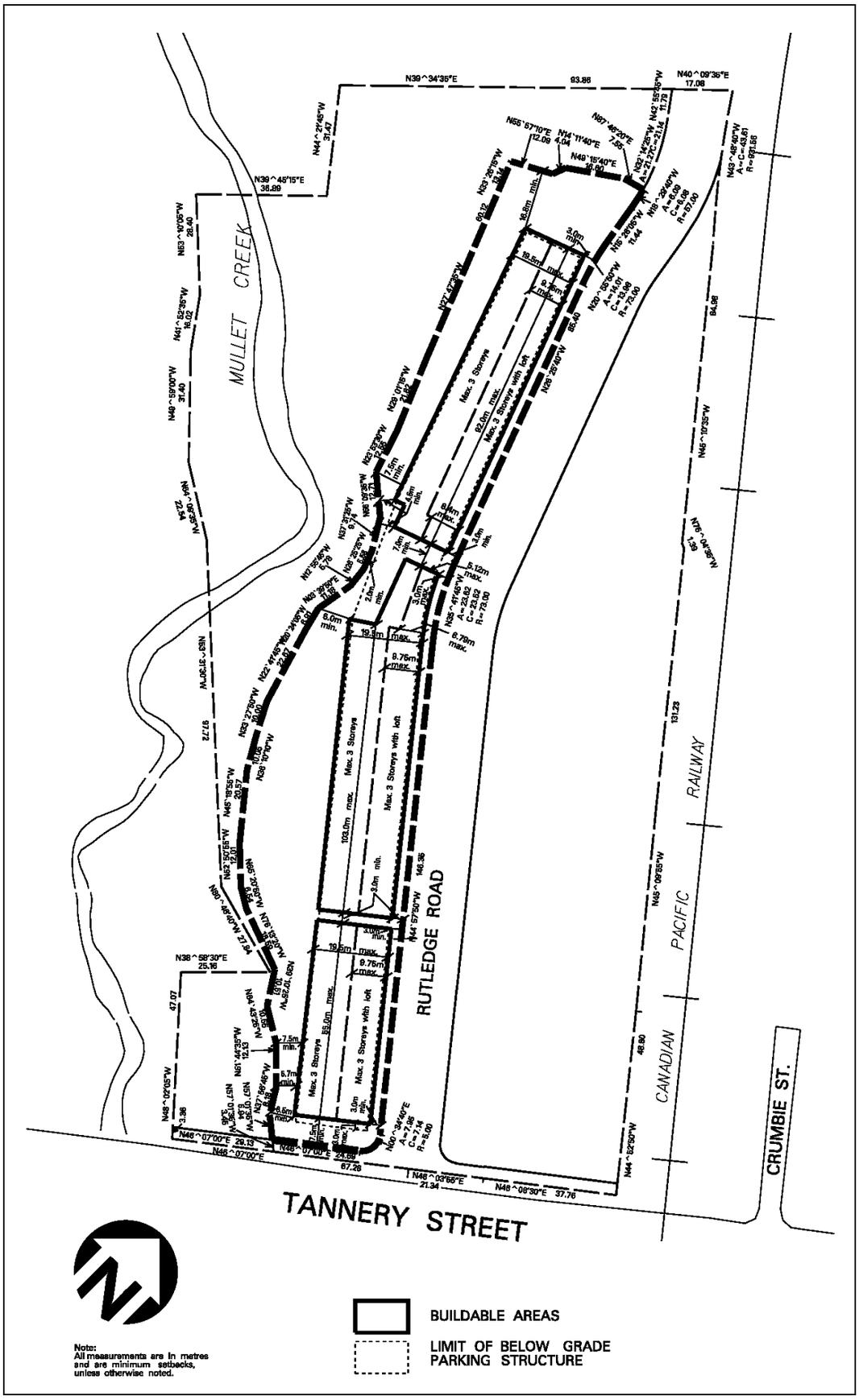

Schedule RA2-26
Map 39E

4.15.3.27	Exception: RA2-27	Map # 39W	By-law: 0174-2017
In a RA2-27 zone the permitted **uses** and applicable regulations shall be as specified for a RA2 zone except that the following **uses**/regulations shall apply:			
Regulations			
4.15.3.27.1	Maximum number of apartment **dwelling units**		100
4.15.3.27.2	Maximum number of **retirement dwelling units**		136
4.15.3.27.3	Maximum number of beds in a **long-term care building**		120
4.15.3.27.4	Minimum **floor space index - apartment zone**		1.0
4.15.3.27.5	Maximum **floor space index - apartment zone**		2.5
4.15.3.27.6	Maximum total **gross floor area - apartment zone**		49 250 m^2
4.15.3.27.7	Minimum **gross floor area - apartment zone** of an **apartment**		6 500 m^2
4.15.3.27.8	Minimum **gross floor area - apartment zone** of a **retirement building**		6 700 m^2
4.15.3.27.9	Minimum **gross floor area - apartment zone** of a **long-term care building**		6 500 m^2
4.15.3.27.10	The **lot line** abutting Winston Churchill Boulevard shall be deemed to be the **front lot line**		
4.15.3.27.11	Minimum **front yard**		7.5 m
4.15.3.27.12	Minimum **exterior side yard**		6.0 m
4.15.3.27.13	Minimum **interior side yard**		6.0 m
4.15.3.27.14	Minimum **rear yard**		6.0 m
4.15.3.27.15	Maximum **height**		7 **storeys**
4.15.3.27.16	Minimum number of resident **parking spaces** per apartment **dwelling unit**		1.0
4.15.3.27.17	Minimum number of resident **parking spaces** per **retirement dwelling unit**		0.15
4.15.3.27.18	Minimum number of visitor **parking spaces** per **retirement dwelling unit**		0.18

4.15.3.28	Exception: RA2-28	Map # 57	By-law: 0113-2015, 0123-2016
In a RA2-28 zone the permitted **uses** and applicable regulations shall be as specified for a RA2 zone except that the following **uses**/regulations shall apply:			
Regulations			
4.15.3.28.1	The regulations of Lines 4.0 and 5.0 contained in Table 4.15.1 of this By-law shall not apply		
4.15.3.28.2	Minimum number of **dwelling units** per hectare		45
4.15.3.28.3	Maximum number of **dwelling units** per hectare		138
4.15.3.28.4	Minimum **front yard**		7.5 m
4.15.3.28.5	Minimum **exterior side yard**		7.5 m
4.15.3.28.6	Minimum **interior side yard**		7.5 m
4.15.3.28.7	Minimum **rear yard**		7.5 m
4.15.3.28.8	Maximum **height**		5 **storeys**
4.15.3.28.9	Minimum setback from all **structures** completely below finished grade to a **lot line**		0.3 m
Holding Provision			
	The holding symbol H is to be removed from the whole or any part of the lands zoned H-RA2-28 by further amendment to Map 57 of Schedule B contained in Part 13 of this By-law, as amended, upon satisfaction of the following requirements: (1) confirmation in writing by the City of Mississauga, that the lands are not required for an **essential emergency service**.		

4.15.3.29	Exception: RA2-29	Map # 58	By-law: 0199-2024, 0048-2025
In a RA2-29 zone the permitted **uses** and applicable regulations shall be as specified for a RA2 zone except that the following **uses**/regulations shall apply:			
Regulations			
4.15.3.29.1	The regulations of Lines 4.0 and 5.0 contained in Table 4.15.1 of this By-law shall not apply		
4.15.3.29.2	Minimum number of **dwelling units** per hectare		45
4.15.3.29.3	Maximum number of **dwelling units** per hectare		138
4.15.3.29.4	Minimum **front yard**		4.5 m
4.15.3.29.5	Minimum **exterior side yard**		7.5 m
4.15.3.29.6	Minimum **interior side yard**		7.5 m
4.15.3.29.7	Minimum **rear yard**		7.5 m
4.15.3.29.8	Maximum **height** of all **buildings** and **structures**, or portions thereof, within 30.0 m of lands zoned RL-203 and RS-211		5 **storeys**
4.15.3.29.9	Minimum setback from a **parking structure** completely below finished grade to a **lot line**		0.0 m
4.15.3.29.10	*deleted*		
4.15.3.29.11	*deleted*		

4.15.3.30	Exception: RA2-30	Map # 39E	By-law:
In a RA2-30 zone the permitted **uses** and applicable regulations shall be as specified for a RA2 zone except that the following **uses**/regulations shall apply:			
Regulations			
4.15.3.30.1	Maximum number of **dwelling units**		60
4.15.3.30.2	Maximum **height**		6 **storeys**
4.15.3.30.3	Minimum number of **parking spaces** per **dwelling unit**		0.25

4.15.3.31	Exception: RA2-31	Map # 08	By-law: 0174-2017
In a RA2-31 zone the permitted **uses** and applicable regulations shall be as specified for a RA2 zone except that the following **uses**/regulations shall apply:			
Regulations			
4.15.3.31.1	Maximum number of **dwelling units**		37
4.15.3.31.2	Minimum **floor space index - apartment zone**		0.7
4.15.3.31.3	Maximum **floor space index - apartment zone**		1.0
4.15.3.31.4	Maximum **height**		5 **storeys**

4.15.3.32	Exception: RA2-32	Map # 08	By-law: 0174-2017
In a RA2-32 zone the permitted **uses** and applicable regulations shall be as specified for a RA2 zone except that the following **uses**/regulations shall apply:			
Regulations			
4.15.3.32.1	Maximum number of **dwelling units**		23
4.15.3.32.2	Minimum **floor space index - apartment zone**		0.7
4.15.3.32.3	Maximum **floor space index - apartment zone**		1.0
4.15.3.32.4	Maximum **height**		6 **storeys**

4.15.3.33	Exception: RA2-33	Map # 08	By-law: 0308-2011, 0174-2017, 0061-2020, 0208-2022

In a RA2-33 zone the permitted **uses** and applicable regulations shall be as specified for a RA2 zone except that the following **uses**/regulations shall apply:

Additional Permitted Uses - Buildable Area 'B'

4.15.3.33.1
(1) **Retail Store**
(2) Art Gallery
(3) Ice Cream Parlour
(4) **Take-out Restaurant**
(5) Sporting Goods Rental Establishment

Regulations

4.15.3.33.2	The provisions contained in Article 4.1.15.1 of this By-law shall not apply	
4.15.3.33.3	Maximum number of apartment **dwelling units** in **Buildable Area** 'A' identified on Schedule RA2-33 of this Exception	35
4.15.3.33.4	Maximum number of apartment **dwelling units** in **Buildable Area** 'B' identified on Schedule RA2-33 of this Exception	75
4.15.3.33.5	Minimum **landscaped area**	35% of the **lot area**
4.15.3.33.6	Minimum **floor space index - apartment zone**	1.9
4.15.3.33.7	Maximum **floor space index - apartment zone**	2.8
4.15.3.33.8	Maximum **gross floor area - apartment zone** permitted in **Buildable Area** 'A' identified on Schedule RA2-33 of this Exception	6 400 m^2
4.15.3.33.9	Maximum **gross floor area - apartment zone** permitted in **Buildable Area** 'B' identified on Schedule RA2-33 of this Exception	15 290 m^2
4.15.3.33.10	The **uses** contained in Sentence 4.15.3.33.1 of this Exception shall only be permitted on the **first storey** of an **apartment** in **Buildable Area** 'B' identified on Schedule RA2-33 of this Exception	
4.15.3.33.11	Minimum **gross floor area - non-residential**	200 m^2
4.15.3.33.12	Maximum **gross floor area - non-residential**	460 m^2
4.15.3.33.13	The **uses** contained in Sentence 4.15.3.33.1 of this Exception shall have pedestrian access to abutting lands zoned OS2 and to Port Street East	

Exception RA2-33 continued on next page

4.15.3.33	Exception: RA2-33	Map # 08	By-law: 0308-2011, 0174-2017, 0061-2020, 0208-2022
Exception RA2-33 continued from previous page			
4.15.3.33.14	Maximum **height** above established grade where the distance from the **rear lot line** is 3.5 m to 7.5 m		13.0 m and 3 **storeys**
4.15.3.33.15	Maximum **height** above established grade where the distance from the **rear lot line** is 7.5 m to 11.5 m		16.0 m and 4 **storeys**
4.15.3.33.16	Maximum **height** above established grade where the distance from the **rear lot line** is 11.5 m to 15.5 m		19.0 m and 5 **storeys**
4.15.3.33.17	Maximum **height** above established grade where the distance from the **rear lot line** is 15.5 m or greater		22.0 m and 6 **storeys**
4.15.3.33.18	The maximum **height** of the finished floor level at the **main front entrance** shall be 0.5 m above the proposed or finished **first storey** level measured at the **lot line** abutting the **street line** for the length of the **building** or **structure**		
4.15.3.33.19	Required **parking spaces** for **uses** contained in Sentence 4.15.3.33.1 of this Exception may be located on lands zoned C4-3		
4.15.3.33.20	A **parking structure** or part thereof shall be located wholly below the ground level measured at the centreline of Port Street East		
4.15.3.33.21	Maximum **height** above grade of a **parking structure** or part thereof adjacent to lands zoned OS2		1.5 m
4.15.3.33.22	"Established Grade" means the average level of proposed or finished ground adjoining a **building** at the exterior wall containing the **main front entrance**		
4.15.3.33.23	All site development plans shall comply with Schedule RA2-33 of this Exception		

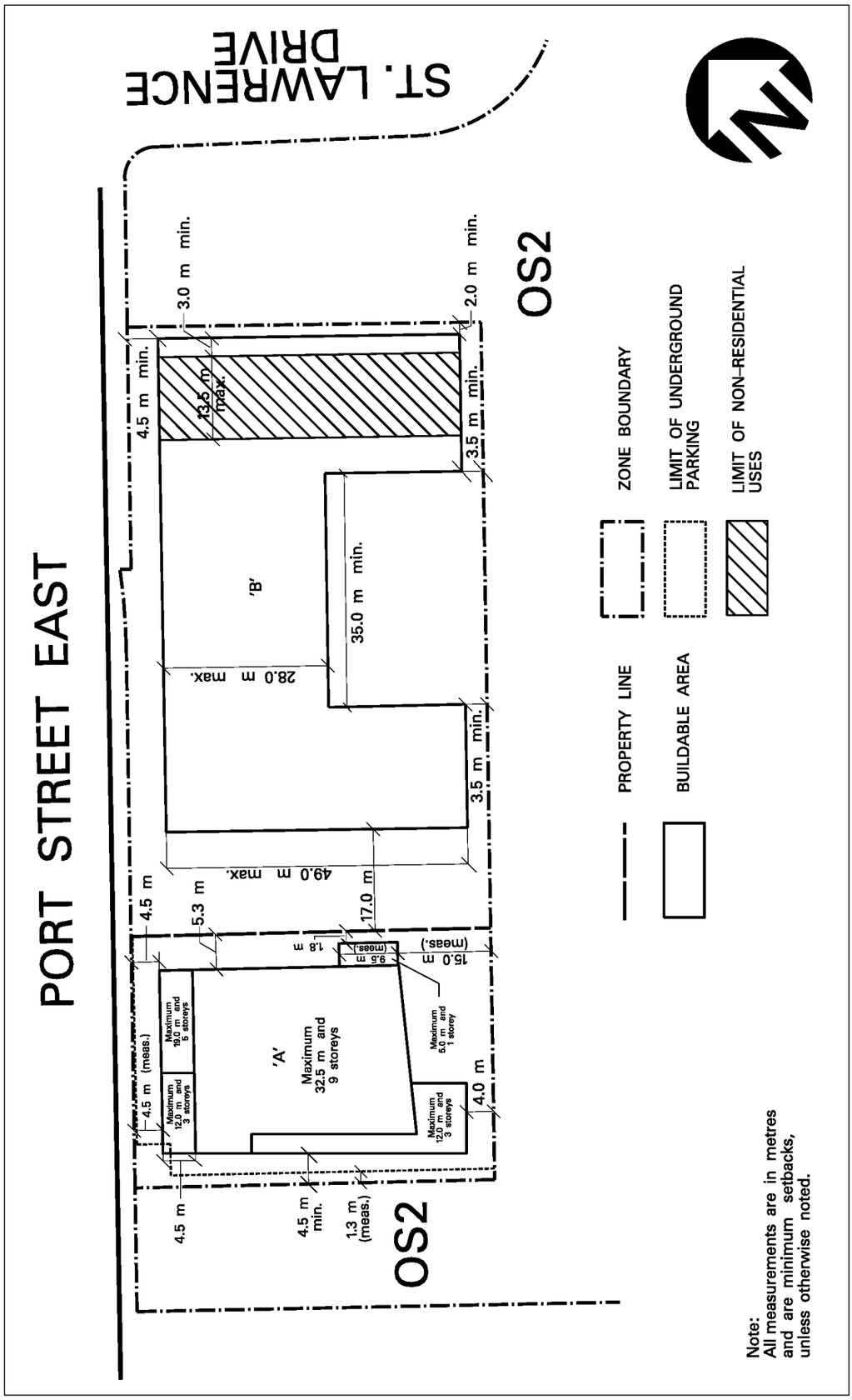

Schedule RA2-33
Map 08

4.15.3.34	Exception: RA2-34	Map # 10	By-law: OMB Order 2008 April 24, 0174-2017
In a RA2-34 zone the applicable regulations shall be as specified for a RA2 zone except that the following **uses**/regulations shall apply:			
Permitted Use			
4.15.3.34.1	Lands zoned RA2-34 shall only be used for the following: (1) **Retirement Building**		
Regulations			
4.15.3.34.2	The provisions contained in Subsection 2.1.14 and Article 3.1.4.4 of this By-law shall not apply		
4.15.3.34.3	Maximum number of **retirement dwelling units**		144
4.15.3.34.4	Minimum **lot frontage**		85.0 m
4.15.3.34.5	Minimum **floor space index - apartment zone**		1.0
4.15.3.34.6	Maximum **floor space index - apartment zone**		1.7
4.15.3.34.7	Minimum **landscaped area**		50% of the **lot area**
4.15.3.34.8	The northerly **lot line** abutting Walden Circle shall be deemed to be **front lot line**		
4.15.3.34.9	Minimum **front yard**		12.0 m
4.15.3.34.10	Minimum **exterior side yard**		7.5 m
4.15.3.34.11	Minimum **interior side yard**		16.4 m
4.15.3.34.12	Minimum setback of a **retirement building** to a railway right-of-way where a safety berm is provided		16.4 m
4.15.3.34.13	Minimum setback of an underground **parking structure** to the **interior side lot line**		12.0 m
4.15.3.34.14	Minimum setback of a ramp leading to the underground **parking structure** to the **interior side lot line**		5.75 m
4.15.3.34.15	Minimum **rear yard**		3.0 m
4.15.3.34.16	Minimum setback of a **parking structure** to the **rear lot line**		3.0 m
4.15.3.34.17	Maximum **rear yard** for a minimum length of 40.0 m of the exterior wall of the ground floor fronting onto Lakeshore Road West		4.0 m
4.15.3.34.18	Maximum **height**		8 **storeys**
4.15.3.34.19	Minimum depth of a **landscaped buffer** abutting Lakeshore Road West		3.0 m
4.15.3.34.20	The **landscaped buffer** abutting the easterly **lot line** may contain a safety berm and a walkway		

4.15.3.35	Exception: RA2-35	Map # 08	By-law: 0174-2017
In a RA2-35 zone the permitted **uses** and applicable regulations shall be as specified for a RA2 zone except that the following **uses**/regulations shall apply:			
Regulations			
4.15.3.35.1	Minimum **floor space index - apartment zone**		1.0
4.15.3.35.2	Maximum **floor space index - apartment zone**		2.5

4.15.3.36	Exception: RA2-36	Map # 15	By-law: 0174-2017, 0199-2024
In a RA2-36 zone the permitted **uses** and applicable regulations shall be as specified for a RA2 zone except that the following **uses**/regulations shall apply:			
Regulations			
4.15.3.36.1	Maximum number of **dwelling units**		80
4.15.3.36.2	Minimum **floor space index - apartment zone**		1.5
4.15.3.36.3	Maximum **floor space index - apartment zone**		2.9
4.15.3.36.4	*deleted*		
4.15.3.36.5	*deleted*		
4.15.3.36.6	*deleted*		
4.15.3.36.7	*deleted*		
4.15.3.36.8	*deleted*		
4.15.3.36.9	*deleted*		
4.15.3.36.10	*deleted*		

4.15.3.37	Exception: RA2-37	Map # 15	By-law: 0174-2017
In a RA2-37 zone the permitted **uses** and applicable regulations shall be as specified for a RA2 zone except that the following **uses**/regulations shall apply:			
Regulations			
4.15.3.37.1	Minimum **floor space index - apartment zone**		0.5
4.15.3.37.2	Maximum **floor space index - apartment zone**		1.5
4.15.3.37.3	Minimum setback to all lands zoned U		18.9 m

4.15.3.38	Exception: RA2-38	Map # 14	By-law:
In a RA2-38 zone the permitted **uses** and applicable regulations shall be as specified for a RA2 zone except that the following **uses**/regulations shall apply:			
Regulation			
4.15.3.38.1	The provisions contained in Subsection 2.1.24 of this By-law shall apply		

4.15.3.39	Exception: RA2-39	Map # 57	By-law: 0181-2018/LPAT Order 2019 February 15
In a RA2-39 zone the permitted **uses** and applicable regulations shall be as specified for a RA2 zone except that the following **uses**/regulations shall apply:			
Additional Permitted Use			
4.15.3.39.1	(1)	**Back to Back** and **Stacked Townhouses**	
Regulations			
4.15.3.39.2	All dwellings shall comply with the RA2 zone regulations contained in Subsection 4.15.1 of this By-law except that:		
	(1)	the regulations of Lines 4.0 and 5.0 contained in Table 4.15.1 of this By-law shall not apply	
	(2)	minimum number of **dwelling units** per hectare	45
	(3)	maximum number of **dwelling units** per hectare	138
	(4)	the **lot line** abutting Eglinton Avenue West shall be deemed to be the **front lot line**	
	(5)	minimum **front**, **exterior**, **interior** and **rear yards**	7.5 m
	(6)	maximum setback to Eglinton Avenue West and Ninth Line	16.0 m
	(7)	minimum setback from a **parking structure** completely below finished grade, inclusive of external access stairwells, to a **lot line**	0.0 m

4.15.3.40	Exception: RA2-40	Map # 19, 20, 23, 48E	By-law: 0174-2017
In a RA2-40 zone the permitted **uses** and applicable regulations shall be as specified for a RA2 zone except that the following **uses**/regulations shall apply:			
Regulations			
4.15.3.40.1	Minimum **floor space index - apartment zone**		0.5
4.15.3.40.2	Maximum **floor space index - apartment zone**		0.8

4.15.3.41	Exception: RA2-41	Map # 18	By-law: 0174-2017
In a RA2-41 zone the permitted **uses** and applicable regulations shall be as specified for a RA2 zone except that the following **uses**/regulations shall apply:			
Regulations			
4.15.3.41.1	Minimum **floor space index - apartment zone**		0.3
4.15.3.41.2	Maximum **floor space index - apartment zone**		0.5

4.15.3.42	Exception: RA2-42	Map # 11	By-law: 0174-2017
In a RA2-42 zone the permitted **uses** and applicable regulations shall be as specified for a RA2 zone except that the following **uses**/regulations shall apply:			
Regulations			
4.15.3.42.1	Minimum **floor space index - apartment zone**		1.0
4.15.3.42.2	Maximum **floor space index - apartment zone**		1.5
4.15.3.42.3	Maximum **height**		6 **storeys**

4.15.3.43	Exception: RA2-43	Map # 25	By-law: 0174-2017, 0181-2018/LPAT Order 2019 February 15
In a RA2-43 zone the permitted **uses** and applicable regulations shall be as specified for a RA2 zone except that the following **uses**/regulations shall apply:			
Additional Permitted Use			
4.15.3.43.1	(1) **Townhouse**		
Regulations			
4.15.3.43.2	Maximum number of townhouse **dwelling units**		4
4.15.3.43.3	Minimum **floor space index - apartment zone**		0.8
4.15.3.43.4	Maximum **floor space index - apartment zone**		1.4

4.15.3.44	Exception: RA2-44	Map # 37E	By-law:
In a RA2-44 zone the applicable regulations shall be as specified for a RA2 zone except that the following **uses**/regulations shall apply:			
Permitted Uses			
4.15.3.44.1	Lands zoned RA2-44 shall only be used for the following: (1) **Place of Religious Assembly** (2) **Day Care**		
Regulations			
4.15.3.44.2	A **place of religious assembly** shall comply with the provisions contained in Article 2.1.9.3 of this By-law		
4.15.3.44.3	A **day care** shall comply with the provisions contained in Article 2.1.9.4 of this By-law		

4.15.3.45	Exception: RA2-45	Map # 37E	By-law: 0174-2017, 0048-2025
In a RA2-45 zone the permitted **uses** and applicable regulations shall be as specified for a RA2 zone except that the following **uses**/regulations shall apply:			
Additional Permitted Use			
4.15.3.45.1	(1) Parking for the school on abutting lands zoned RS-21		
Regulations			
4.15.3.45.2	Minimum number of **dwelling units** per hectare		57
4.15.3.45.3	Maximum number of **dwelling units** per hectare		114
4.15.3.45.4	Minimum **floor space index - apartment zone**		0.5
4.15.3.45.5	Maximum **floor space index - apartment zone**		1.0

4.15.3.46	Exception: RA2-46	Map # 10	By-law: 0325-2008, 0227-2014, 0119-2016, 0174-2017, 0085-2018, 0111-2019/LPAT Order 2021 March 09, 0208-2022

In a RA2-46 zone the permitted **uses** and applicable regulations shall be as specified for a RA2 zone except that the following **uses**/regulations shall apply:

Additional Permitted Uses

4.15.3.46.1
(1) **Retail Store**
(2) **Service Establishment**
(3) **Office**
(4) **Medical Office**
(5) *deleted*
(6) **Financial Institution**
(7) **Commercial School**

Regulations

4.15.3.46.2	The provisions contained in Subsection 2.1.14 and the regulations of Lines 13.3, 13.5 contained in Table 4.15.1 of this By-law shall not apply	
4.15.3.46.3	Maximum number of **dwelling units**	300
4.15.3.46.4	Maximum **floor space index - apartment zone**	1.8
4.15.3.46.5	Maximum **gross floor area - apartment zone**	27 960 m^2
4.15.3.46.6	Maximum **gross floor area - non-residential**	360 m^2
4.15.3.46.7	Maximum **height**	20.0 m and 6 **storeys**
4.15.3.46.8	A **parking structure** completely below finished grade may project outside the **buildable area** identified on Schedule RA2-46 of this Exception	
4.15.3.46.9	Minimum number of **parking spaces** per one-bedroom apartment **dwelling unit**	1.1
4.15.3.46.10	Minimum number of **parking spaces** per two-bedroom apartment **dwelling unit**	1.3
4.15.3.46.11	Maximum projection of a **balcony** or **porch** outside the **buildable area** identified on Schedule RA2-46 of this Exception	1.8 m
4.15.3.46.12	**Retail store**, **service establishment**, **office**, **medical office**, **financial institution** and **commercial school** shall only be located within the **first storey**	
4.15.3.46.13	**Driveways**, **parking areas** and **aisles** may be shared with abutting lands zoned C4-45	
4.15.3.46.14	Minimum number of shared visitor/commercial **parking spaces** with lands zoned C4-45	94
4.15.3.46.15	Minimum depth of a **landscaped buffer** along Lakeshore Road West	0.0 m
4.15.3.46.16	For the purpose of this Exception, a 5.0 m buffer is a **natural protection area**	
4.15.3.46.17	For the purpose of this Exception, a **commercial school** shall include a music school, a dance school, a martial arts school and tutoring	
4.15.3.46.18	All site development plans shall comply with Schedule RA2-46 of this Exception	

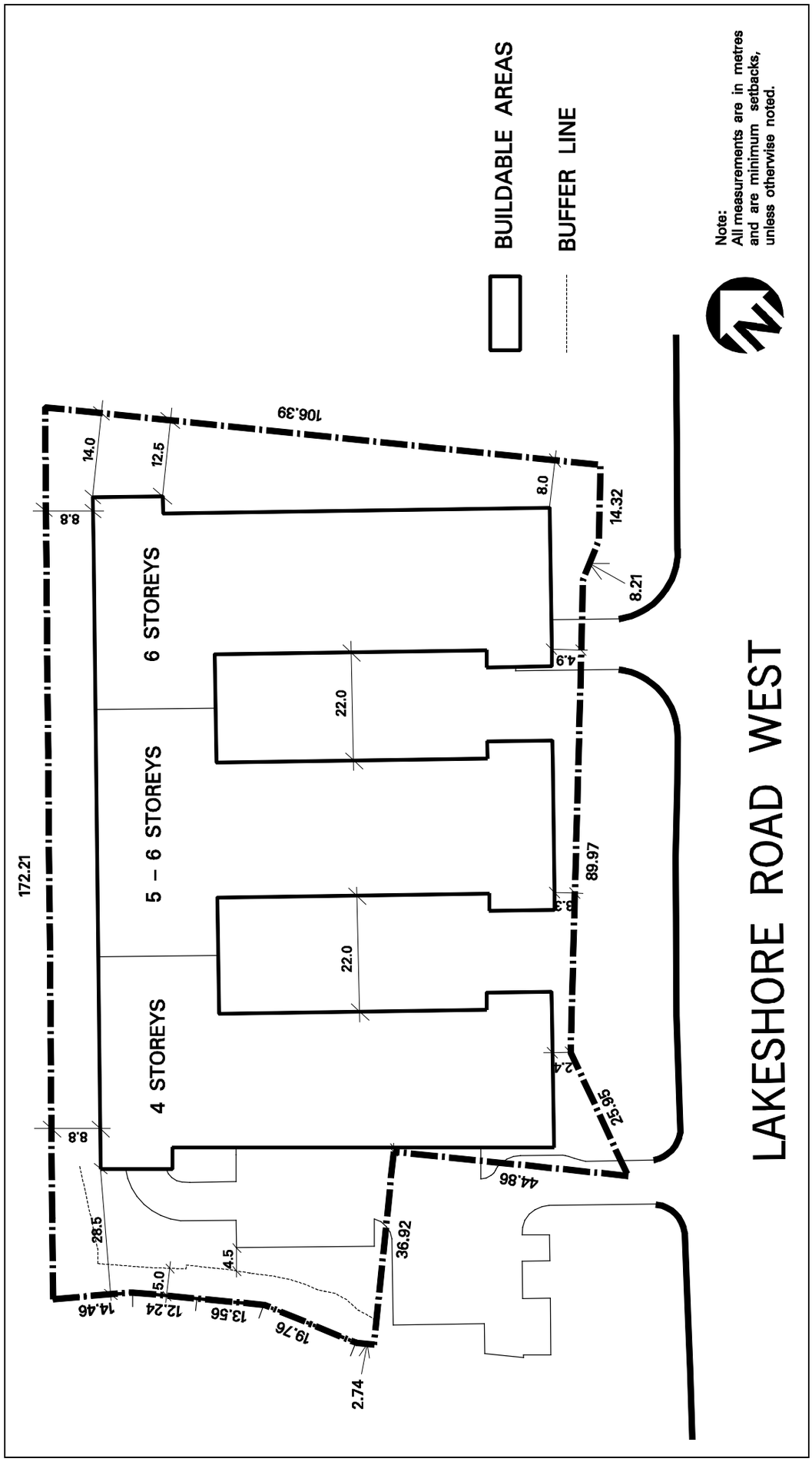

Schedule RA2-46
Map 10

4.15.3.47	Exception: RA2-47	Map # 47, 48E	By-law: 0174-2017
In a RA2-47 zone the permitted **uses** and applicable regulations shall be as specified for a RA2 zone except that the following **uses**/regulations shall apply:			
Regulations			
4.15.3.47.1	The provisions contained in Subsection 2.1.14 and the regulations of Lines 4.0 and 5.0 contained in Table 4.15.1 of this By-law shall not apply		
4.15.3.47.2	Maximum **gross floor area - apartment zone**		1.6 times the **lot area**
4.15.3.47.3	Minimum **landscaped area**		42% of the **lot area**
4.15.3.47.4	Minimum **front yard**		7.5 m
4.15.3.47.5	Minimum **interior side yard**		5.5 m
4.15.3.47.6	Minimum **rear yard**		8.0 m
4.15.3.47.7	Minimum setback to all lands zoned G2-1		3.0 m
4.15.3.47.8	Maximum **height**		7 **storeys**
4.15.3.47.9	Maximum projection of an entrance vestibule into the required **front yard**		3.5 m
4.15.3.47.10	Maximum projection of a **balcony** into a required **yard**		1.5 m

4.15.3.48	Exception: RA2-48	Map # 08	By-law: 0174-2017, 0174-2018, 0054-2020, 0048-2025, 0114-2025
In a RA2-48 zone the permitted **uses** and applicable regulations shall be as specified for a RA2 zone except that the following **uses**/regulations shall apply:			
Additional Permitted Uses			
4.15.3.48.1	(1) **Detached dwelling** legally **existing** on the date of passing of this By-law (2) *deleted* (3) *deleted* (4) **Accessory buildings** and **structures**		
Regulations			
4.15.3.48.2	The enlargement of an **existing** dwelling, **existing accessory buildings** and **structures** and new **accessory buildings** and **structures** shall be permitted in compliance with the following: (1) a **detached dwelling** shall comply with the RS zone regulations contained in Subsection 4.2.1 of this By-law (2) *deleted* (3) **accessory buildings** and **structures** on all **lots** zoned RA2-48 shall comply with the regulations contained in Subsection 4.1.2 of this By-law		
Holding Provision			
	The holding symbol H is to be removed from the whole or any part of the lands zoned H-RA2-48 by further amendment to Map 08 of Schedule B contained in Part 13 of this By-law, upon satisfaction of the following requirements: (1) that notice of **Council's** intention to pass a by-law to remove the holding symbol from the subject lands is provided in accordance with the provisions of section 36 of the *Planning Act*, as amended.		

4.15.3.49	Exception: RA2-49	Map # 39E	By-law: 0174-2017
In a RA2-49 zone the permitted **uses** and applicable regulations shall be as specified for a RA2 zone except that the following **uses**/regulations shall apply:			
Regulations			
4.15.3.49.1	Maximum number of **dwelling units**		103
4.15.3.49.2	Minimum **floor space index - apartment zone**		1.00
4.15.3.49.3	Maximum **floor space index - apartment zone**		3.13
4.15.3.49.4	Maximum **gross floor area - apartment zone**		7 400 m^2
4.15.3.49.5	Maximum **height**		7 **storeys**
4.15.3.49.6	Shared **driveways** and **aisles** are permitted with the abutting lands zoned C4, provided that the minimum on site width of the shared **driveway** and **aisle** is 3.5 m		
4.15.3.49.7	Minimum number of **parking spaces** per **retirement dwelling unit**		0.45

4.15.3.50	Exception: RA2-50	Map # 38W	By-law: 0174-2017
In a RA2-50 zone the permitted **uses** and applicable regulations shall be as specified for a RA2 zone except that the following **uses**/regulations shall apply:			
Regulations			
4.15.3.50.1	Minimum **floor space index - apartment zone**		1.0
4.15.3.50.2	Maximum **floor space index - apartment zone**		1.8
4.15.3.50.3	Maximum **height**		6 **storeys**

4.15.3.51	Exception: RA2-51	Map # 39E	By-law: 0174-2017
In a RA2-51 zone the permitted **uses** and applicable regulations shall be as specified for a RA2 zone except that the following **uses**/regulations shall apply:			
Regulations			
4.15.3.51.1	Maximum number of **dwelling units**		46
4.15.3.51.2	Minimum **floor space index - apartment zone**		1.0
4.15.3.51.3	Maximum **floor space index - apartment zone**		1.7
4.15.3.51.4	Minimum **landscaped area**		34% of the **lot area**
4.15.3.51.5	Maximum **height**		6 **storeys**
4.15.3.51.6	Maximum number of **tandem parking spaces**		5
4.15.3.51.7	All site development plans shall comply with Schedule RA2-51 of this Exception		

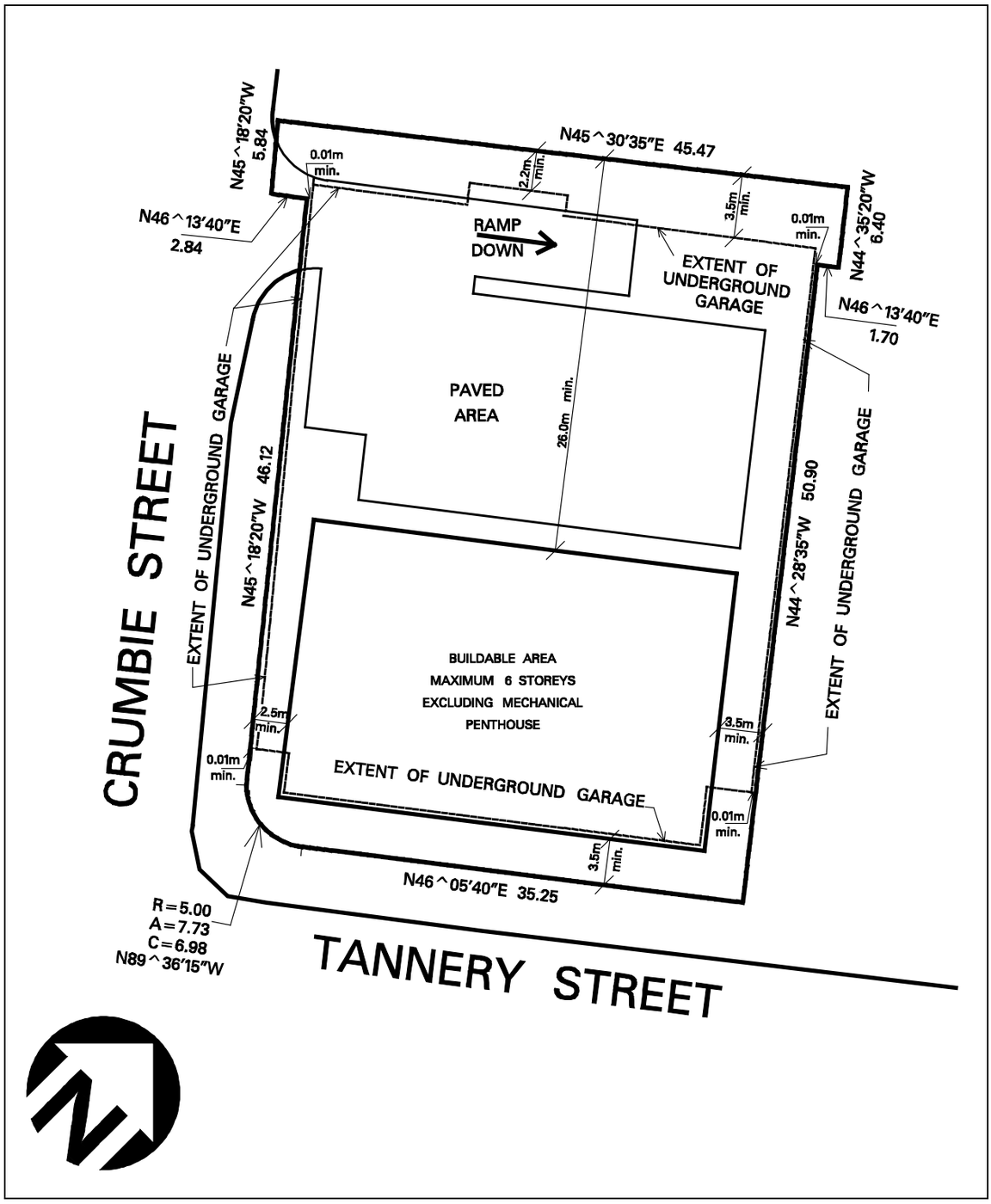

Schedule RA2-51
Map 39E

4.15.3.52	Exception: RA2-52	Map # 20	By-law: 0174-2017
In a RA2-52 zone the permitted **uses** and applicable regulations shall be as specified for a RA1 zone except that the following **uses**/regulations shall apply:			
Regulations			
4.15.3.52.1	Minimum **lot area**		2 800 m^2
4.15.3.52.2	Minimum **floor space index - apartment zone**		0.5
4.15.3.52.3	Maximum **floor space index - apartment zone**		1.0
4.15.3.52.4	Maximum **height**		4 **storeys**
4.15.3.52.5	Maximum **height**: **lot** with a **lot area** equal to or greater than 6 600 m^2		10 **storeys**
Holding Provision			
	The holding symbol H is to be removed from the whole or any part of the lands zoned H-RA2-52 by further amendment to Map 20 of Schedule B contained in Part 13 of this By-law, upon satisfaction of the following requirements: (1) that notice of **Council's** intention to pass a by-law to remove the holding symbol from the subject lands is provided in accordance with the provisions of Section 36 of the *Planning Act*, as amended; (2) consolidation of properties resulting in a **lot** with a minimum **lot area** of 2 800 m^2.		

4.15.3.53	Exception: RA2-53	Map # 57	By-law: 0449-2007, 0174-2017, 0181-2018/LPAT Order 2019 February 15, 0208-2022
In a RA2-53 zone the permitted **uses** and applicable regulations shall be as specified for a RA2 zone except that the following **uses**/regulations shall apply:			
Additional Permitted Uses			
4.15.3.53.1	(1) **Back to Back** and **Stacked Townhouses** (2) **Townhouse**		
Regulations			
4.15.3.53.2	Minimum number of **dwelling units** per hectare		45
4.15.3.53.3	Maximum number of **dwelling units** per hectare		100
4.15.3.53.4	All site development plans for **apartment**, **back to back** and **stacked townhouses** and **townhouses** shall comply with Schedule RA2-53 of this Exception		
4.15.3.53.5	**Apartment**: An **apartment** shall comply with the RA2 zone regulations contained in Subsection 4.15.1 of this By-law except that: (1) the regulations of Lines 4.0, 5.0 and 15.5 contained in Table 4.15.1 of this By-law shall not apply (2) **apartments** shall only be permitted in **Buildable Area** 'A' identified on Schedule RA2-53 of this Exception (3) maximum encroachment of a **balcony**, located above the **first storey**, sunroom, window, with or without a foundation, chimney, pilaster, cornice, balustrade or roof eave outside the **buildable area** identified on Schedule RA2-53 of this Exception		1.8 m

Exception RA2-53 continued on next page

4.15.3.53	Exception: RA2-53	Map # 57	By-law: 0449-2007, 0174-2017, 0181-2018/LPAT Order 2019 February 15, 0208-2022

Exception RA2-53 continued from previous page

4.15.3.53.5 (continued)	(4)	maximum encroachment of a **porch**, inclusive of stairs, located at and accessible from the **first storey**, staircase, landing or awning, provided that each shall have a maximum width of 6.0 m, outside the **buildable area** identified on Schedule RA2-53 of this Exception	4.5 m
	(5)	minimum number of resident **parking spaces** per one-bedroom **dwelling unit**	1.0
	(6)	minimum number of resident **parking spaces** per two-bedroom **dwelling unit**	1.3
	(7)	minimum number of resident **parking spaces** per three-bedroom **dwelling unit**	1.4
	(8)	minimum number of visitor **parking spaces** per **dwelling unit**	0.2
4.15.3.53.6	**Back to Back** and **Stacked Townhouses**:		
	A **back to back** and **stacked townhouse** shall comply with the RM8-14 zone regulations contained in Exception Table 4.13A.2.14 of this By-law except that:		
	(1)	the regulations of Sentences 4.13A.2.14.3 and 4.13A.2.14.4 contained in Exception Table 4.13A.2.14 of this By-law shall not apply	
	(2)	**back to back** and **stacked townhouses** shall only be permitted in **Buildable Area** 'B' identified on Schedule RA2-53 of this Exception	
	(3)	a **balcony** is permitted on top of an attached **garage**	
	(4)	maximum **height**	16.5 m
	(5)	maximum encroachment of a **porch**, inclusive of stairs, located at or below the **first storey** of a **back to back** and **stacked townhouse** outside the **buildable area** identified on Schedule RA2-53 of this Exception	1.8 m
	(6)	maximum encroachment of an awning, window projection with or without foundation, **chimney**, pilaster or corbel outside the **buildable area** identified on Schedule RA2-53 of this Exception	0.6 m
	(7)	maximum encroachment of a **deck**, inclusive of stairs, **balcony** or awning, attached to a rear wall, outside the **buildable area** identified on Schedule RA2-53 of this Exception	2.5 m
	(8)	maximum encroachment of a **wing wall** attached to a **back to back** and **stacked townhouse** outside the **buildable area** identified on Schedule RA2-53 of this Exception	3.0 m
	(9)	minimum number of resident **parking spaces** per one-bedroom **dwelling unit**	1.0
	(10)	minimum number of resident **parking spaces** per two-bedroom **dwelling unit**	1.3
	(11)	minimum number of resident **parking spaces** per three-bedroom **dwelling unit**	1.4
	(12)	minimum number of visitor **parking spaces** per **dwelling unit**	0.2

Exception RA2-53 continued on next page

4.15.3.53	Exception: RA2-53	Map # 57	By-law: 0449-2007, 0174-2017, 0181-2018/LPAT Order 2019 February 15, 0208-2022

Exception RA2-53 continued from previous page

4.15.3.53.7 **Townhouse**:

A **townhouse** shall comply with the RM8-14 zone regulations contained in Exception Table 4.13A.2.14 of this By-law except that:

(1)	the regulations of Sentences 4.13A.2.14.3 and 4.13A.2.14.4 contained in Exception Table 4.13A.2.14 of this By-law shall not apply	
(2)	**townhouses** shall only be permitted in **Buildable Area** 'C' identified on Schedule RA2-53 of this Exception	
(3)	maximum **height**	11.5 m
(4)	maximum encroachment of a **porch**, inclusive of stairs, located at or below the **first storey** of a **townhouse** outside the **buildable area** identified on Schedule RA2-53 of this Exception	1.8 m
(5)	maximum encroachment of an awning, window projection with or without foundation, **chimney**, pilaster or corbel outside the **buildable area** identified on Schedule RA2-53 of this Exception	0.6 m
(6)	maximum encroachment of a **deck**, exclusive of stairs, **balcony** or awning, attached to a rear wall, outside the **buildable area** identified on Schedule RA2-53 of this Exception	1.8 m
(7)	maximum encroachment of a **wing wall** attached to a **townhouse** outside the **buildable area** identified on Schedule RA2-53 of this Exception	3.0 m

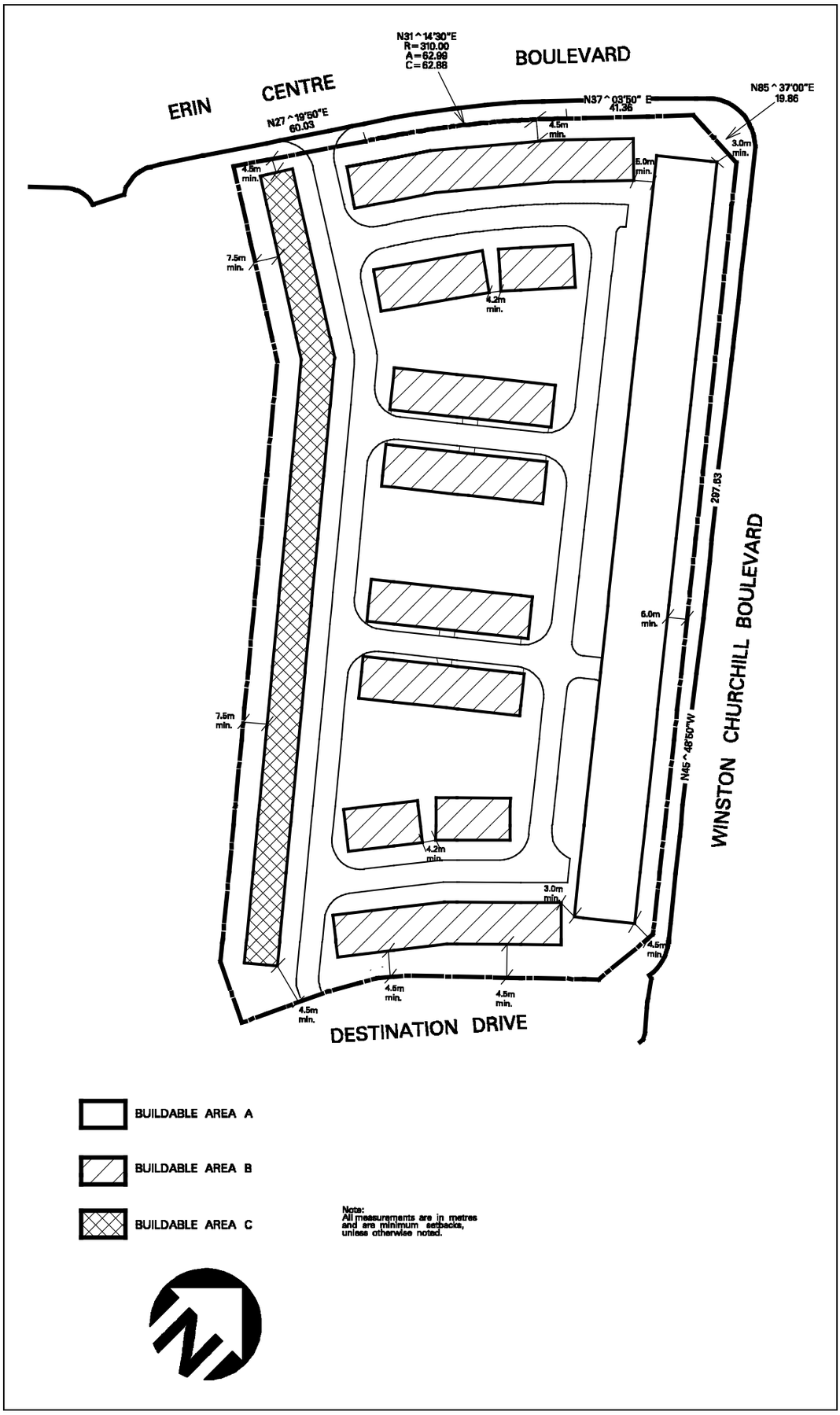

Schedule RA2-53
Map 57

4.15.3.54	Exception: RA2-54	Map # 57	By-law: 0097-2009, 0174-2017, 0111-2019/ LPAT Order 2021 March 09

In a RA2-54 zone the applicable regulations shall be as specified for a RA2 zone except that the following **uses**/regulations shall apply:

Permitted Uses

4.15.3.54.1 Lands zoned RA2-54 shall only be used for the following:

(1) **Retirement Building**
(2) **Long-Term Care Building**
(3) **Day care** accessory to a **retirement building** or a **long-term care building**

Regulations

4.15.3.54.2	The provisions contained in Sentence 4.1.15.1.2 of this By-law shall not apply	
4.15.3.54.3	Maximum number of **retirement dwelling units**	93
4.15.3.54.4	Maximum number of beds in a **long-term care building**	31
4.15.3.54.5	Maximum **floor space index - apartment zone**	1.9
4.15.3.54.6	Minimum **exterior side yard**	6.1 m
4.15.3.54.7	Minimum **interior side yard**	3.4 m
4.15.3.54.8	Minimum setback from a retaining wall to an **interior side lot line**	0.0 m
4.15.3.54.9	Minimum **rear yard**	4.1 m
4.15.3.54.10	Maximum encroachment of a **balcony**, window, pilaster, cornice, balustrade or roof eave into a required **exterior side yard** or **rear yard**	1.8 m
4.15.3.54.11	Maximum encroachment of a **balcony**, inclusive of foundation and/or underground **structure** into a required **exterior side yard**	3.0 m
4.15.3.54.12	Minimum number of **parking spaces** per **retirement dwelling unit**	0.45
4.15.3.54.13	Minimum number of **parking spaces** per 100 m^2 **GFA - non-residential** for a **day care**	2.5
4.15.3.54.14	Minimum setback from surface **parking spaces** or **aisles** to a **street line**	3.0 m
4.15.3.54.15	Minimum setback from a waste enclosure/loading area to a **street line**	9.1 m
4.15.3.54.16	Minimum depth of a **landscaped buffer** abutting a **lot line** that is a **street line** and/or abutting lands with a Residential Zone	3.0 m
4.15.3.54.17	Maximum encroachment of a **hammerhead** into a **landscaped buffer** abutting lands with a Development or Commercial Zone	1.5 m

4.15.3.55	Exception: RA2-55	Map # 36W	By-law: 0088-2013/OMB Order 2013 November 18, 0174-2017
In a RA2-55 zone the permitted **uses** and applicable regulations shall be as specified for a RA2 zone except that the following **uses**/regulations shall apply:			
Regulations			
4.15.3.55.1	The southerly **lot line** shall be deemed to be the **front lot line**		
4.15.3.55.2	Maximum **floor space index - apartment zone**		2.44
4.15.3.55.3	Maximum number of **dwelling units** on all lands zoned RA2-55		246
4.15.3.55.4	Minimum **front yard**		4.5 m
4.15.3.55.5	Minimum **exterior side yard**		4.5 m
4.15.3.55.6	Minimum **rear yard**		4.5 m
4.15.3.55.7	Minimum setback from a **parking structure** completely below finished grade, inclusive of external access stairwells, to a **street line**		0.0 m
4.15.3.55.8	Minimum **landscaped area**		30% of **lot area**

4.15.3.56	Exception: RA2-56	Map # 19	By-law: OMB Order 2015 December 03, 0174-2017
In a RA2-56 zone the permitted **uses** and applicable regulations shall be as specified for a RA2 zone except that the following **uses**/regulations shall apply:			
Regulations			
4.15.3.56.1	Maximum **floor space index - apartment zone**		0.94
4.15.3.56.2	Minimum width of a **landscaped buffer** abutting lands zoned RM5-55		3.0 m

4.15.3.57	Exception: RA2-57	Map # 06	By-law: 0007-2020, 0153-2024
In a RA2-57 zone the permitted **uses** and applicable regulations shall be as specified for a RA2 zone except that the following **uses**/regulations shall apply:			
Additional Permitted Use			
4.15.3.57.1	(1) **Uses** permitted in a C4 zone as contained in Table 6.2.1 of this By-law		
Regulations			
4.15.3.57.2	The provisions contained in Table 2.1.2.1.1 and the regulations of Lines 4.0, 5.0, 15.2, 15.3 and 15.6 contained in Table 4.15.1 of this By-law shall not apply		
4.15.3.57.3	Maximum **gross floor area - residential**		26 950 m^2
4.15.3.57.4	Minimum **gross floor area - non-residential**		735 m^2
4.15.3.57.5	The **uses** contained in Sentence 4.15.3.57.1 of this Exception shall not be permitted above the **first storey**		
4.15.3.57.6	Minimum setback to a **sight triangle**		0.0 m
4.15.3.57.7	Maximum encroachment into a required **front yard** of an awning or pier		3.0 m

Exception RA2-57 continued next page

4.15.3.57	Exception: RA2-57	Map # 06	By-law: 0007-2020, 0153-2024
Exception RA2-57 continued from previous page			
4.15.3.57.8	Maximum number of resident **parking spaces** that may be **tandem parking spaces**		22
4.15.3.57.9	Required number of **loading spaces**		2
4.15.3.57.10	Minimum setback from a **parking structure** to all lands zoned G1		3.0 m
4.15.3.57.11	Minimum setback from a **parking structure** completely below finished grade, inclusive of external access stairwells and exclusive of any ventilation shafts, to a **lot line**		0.9 m
4.15.3.57.12	Minimum **aisle** width		6.0 m
4.15.3.57.13	Minimum **landscaped area**		23%
4.15.3.57.14	All site development plans shall comply with Schedule RA2-57 of this Exception		

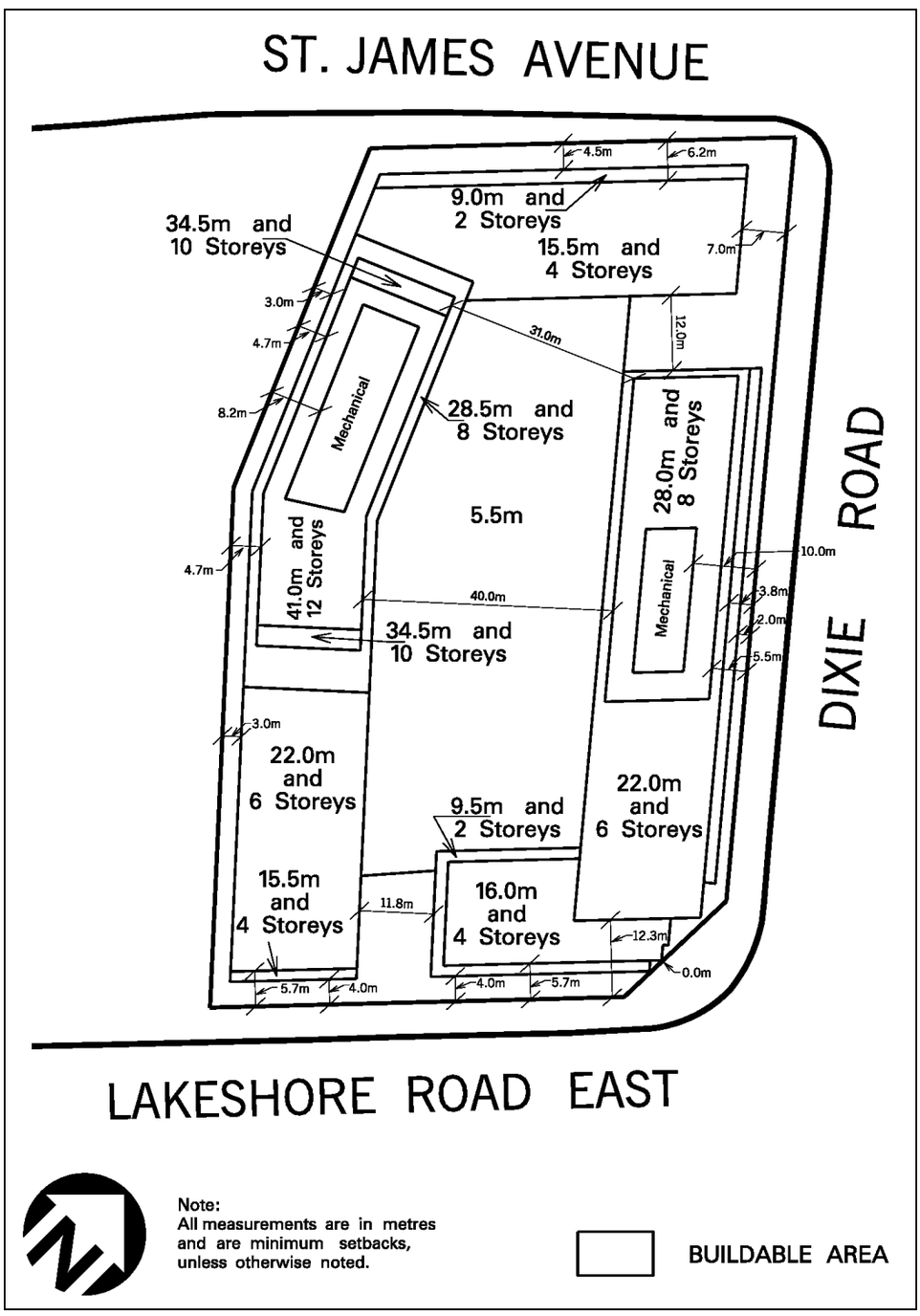

Schedule RA2-57
Map 06

4.15.3.58	Exception: RA2-58	Map # 18	By-law: 0250-2022
In a RA2-58 zone the permitted **uses** and applicable regulations shall be as specified for a RA2 zone except that the following **uses**/regulations shall apply:			
Regulations			
4.15.3.58.1	Maximum **floor space index - apartment zone**		1.6
4.15.3.58.2	Notwithstanding Sentence 4.15.3.58.15 of this Exception, maximum encroachment into a required **front yard** of a maximum of one **porch** and staircase provided that the **porch** shall have a maximum width of 8.0 m		5.6 m
4.15.3.58.3	Minimum number of resident **parking spaces** per apartment **dwelling unit**		0.55
4.15.3.58.4	Minimum number of resident **parking spaces** per **retirement dwelling unit**		0.15
4.15.3.58.5	Minimum number of visitor **parking spaces** per **dwelling unit**		0.11
4.15.3.58.6	Minimum setback from surface **parking spaces** or **aisles** to an **interior side lot line**		1.9 m
4.15.3.58.7	Minimum **landscaped area**		36% of the **lot area**
4.15.3.58.8	Minimum depth of a **landscaped buffer** along an **interior side lot line**		0.4 m
4.15.3.58.9	Minimum depth of a **landscaped buffer** along a **rear lot line**		3.4 m
4.15.3.58.10	Minimum **amenity area**		1 835 m^2
4.15.3.58.11	Minimum percentage of total required **amenity area** to be provided in one contiguous area		35%
4.15.3.58.12	Minimum **amenity area** to be provided outside		1 060 m^2
4.15.3.58.13	**Accessory buildings** and **structures** shall not be permitted in a **rear yard**		
4.15.3.58.14	Notwithstanding Table 4.1.2.2 of this By-law and Sentence 4.15.3.58.15 of this Exception, a maximum of four **accessory buildings** or **structures** are permitted outside the **buildable area** of which: (1) a maximum of one **accessory building** or **structure** may be located between the **front wall** of a **building** and a **front lot line**; and within a required **landscaped buffer** abutting a **front lot line**		
4.15.3.58.15	All site development plans shall comply with Schedule RA2-58 of this Exception		

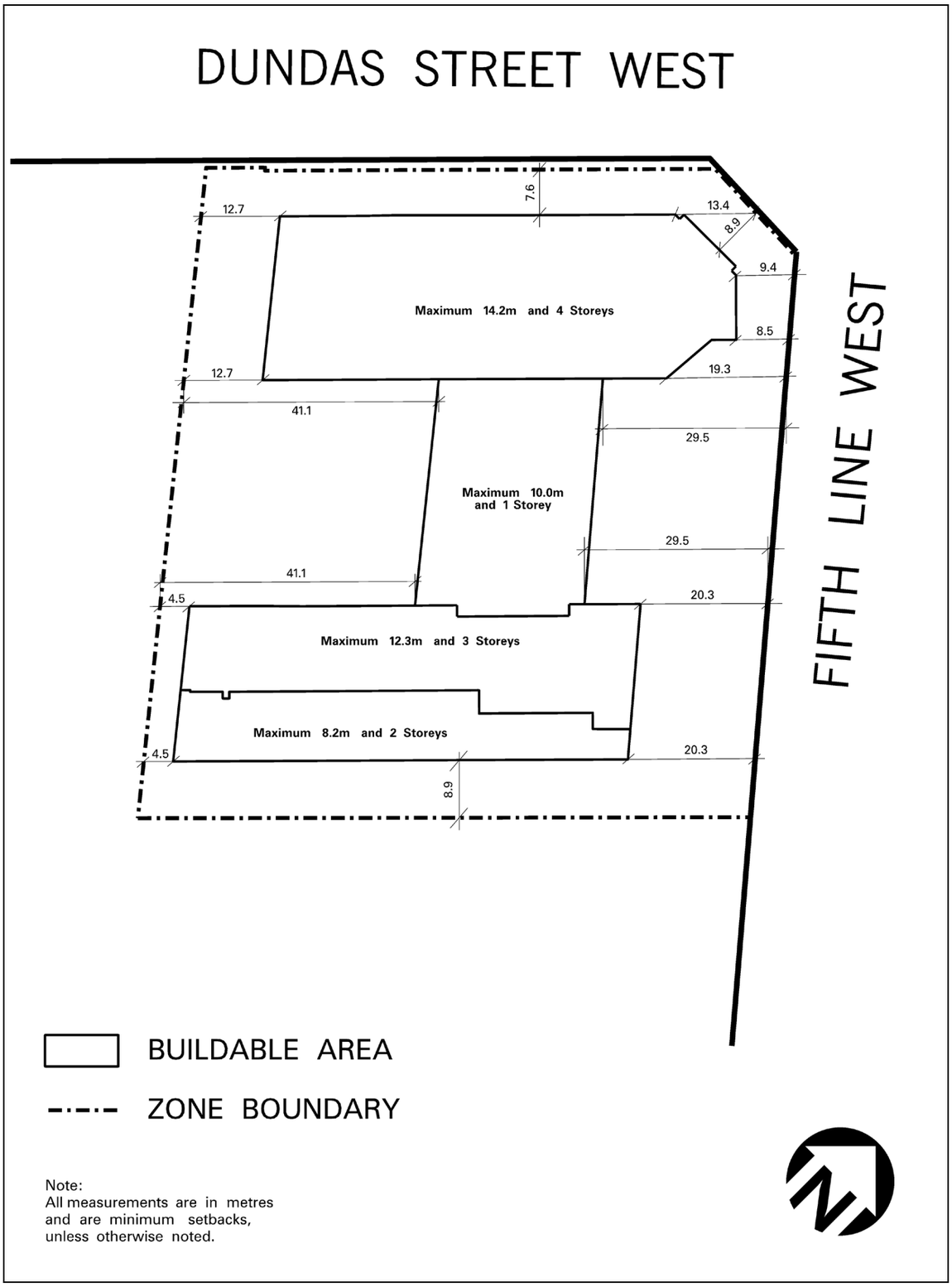

Schedule RA2-58
Map 18

4.15.3.59	Exception: RA2-59	Map # 01	By-law: 0183-2021, 0179-2024
In a RA2-59 zone the permitted **uses** and applicable regulations shall be as specified for a RA2 zone except that the following **uses**/regulations shall apply:			
Regulations			
4.15.3.59.1	The regulations of Lines 8.2, 9.1 to 9.4 and 13.2 contained in Table 4.15.1 of this By-law shall not apply		
4.15.3.59.2	Maximum **floor space index - apartment zone**		1.8
4.15.3.59.3	Maximum **height**		23.0 m and 7 **storeys**
4.15.3.59.4	Minimum **front yard** for that portion of the dwelling with a **height** less than or equal to 13.0 m		4.0 m
4.15.3.59.5	Minimum **front yard** for that portion of the dwelling with a **height** greater than 13.0 m and less than or equal to 23.0 m		5.5 m
4.15.3.59.6	Minimum **exterior side yard** for that portion of the dwelling with a **height** less than or equal to 13.0 m		5.9 m
4.15.3.59.7	Minimum **exterior side yard** for that portion of the dwelling with a **height** greater than 13.0 m and less than or equal to 23.0 m		8.9 m
4.15.3.59.8	Minimum **interior side yard** where an **interior side lot line**, or any portion thereof, abuts a zone permitting **detached** and/or **semi-detached**		3.0 m
4.15.3.59.9	Minimum setback to a **sight triangle**		0.0 m
4.15.3.59.10	Minimum number of resident **parking spaces** per rental apartment **dwelling unit**		0.76
4.15.3.59.11	Minimum setback from surface **parking spaces** or **aisles** to a **rear lot line**, **exterior side lot line** and **interior side lot line**		0.9 m
4.15.3.59.12	Minimum setback from a **parking structure** completely below finished grade, inclusive of external access stairwells, to any **lot line**		1.0 m
4.15.3.59.13	Minimum **landscaped area**		35% of the **lot area**
4.15.3.59.14	Minimum depth of a **landscaped buffer** abutting any **lot line**		0.0 m

4.15.3.60	Exception: RA2-60	Map #44W	By-law: OLT Order 2022 July 25
In a RA2-60 zone the permitted **uses** and applicable regulations shall be as specified for a RA2 zone except that the following **uses**/regulations shall apply:			
Regulations			
4.15.3.60.1	The provisions contained in Subsections 2.1.14 and 2.1.30 and the regulations of Lines 13.6 and 13.7 contained in Table 4.15.1 of this By-law shall not apply		
4.15.3.60.2	Maximum **floor space index - apartment zone**		2.1
4.15.3.60.3	Maximum **height**		21.5 m and 6 **storeys**
4.15.3.60.4	Minimum **front yard**		2.3 m
4.15.3.60.5	Notwithstanding Sentence 4.15.3.60.4 of this Exception, minimum **front yard** to an underground **parking structure**		1.7 m
4.15.3.60.6	Minimum southerly **interior side yard** for that portion of the dwelling with a **height** less than or equal to 15.2 m		15.4 m
4.15.3.60.7	Minimum southerly **interior side yard** for that portion of the dwelling with a **height** greater than 15.2 m		20.0 m
4.15.3.60.8	Minimum **rear yard** for that portion of the dwelling with a **height** less than or equal to 11.8 m		7.3 m
4.15.3.60.9	Minimum **rear yard** for that portion of the dwelling with a **height** greater than 11.8 m		13.1 m
4.15.3.60.10	Minimum number of resident **parking spaces** per **dwelling unit**		1.0
4.15.3.60.11	Minimum setback from a **parking structure** above or partially above finished grade, inclusive of stairs and ventilation shafts, to any **lot line** abutting lands with a Residential Zone		3.0 m
4.15.3.60.12	Minimum setback from a **parking structure** above or partially above finished grade, inclusive of stairs and ventilation shafts, to any **lot line** abutting lands with a Greenlands Zone		4.8 m
4.15.3.60.13	Minimum depth of a **landscaped buffer** abutting McLaughlin Road		2.3 m
4.15.3.60.14	Bicycle parking and/or transformer on a hard surfaced area is permitted within a **landscaped buffer** abutting McLaughlin Road		
4.15.3.60.15	Minimum depth of a **landscaped buffer** abutting lands with a Residential Zone		3.0 m
4.15.3.60.16	Minimum depth of a **landscaped buffer** abutting lands with a Greenlands Zone		4.8 m
4.15.3.60.17	Minimum **amenity area**		1.8 m^2 per **dwelling unit**

Exception RA2-60 continued on next page

4.15.3.60	Exception: RA2-60	Map #44W	By-law: OLT Order 2022 July 25
Exception RA2-60 continued from previous page			
4.15.3.60.18	Minimum **amenity area** to be provided outside		160 m^2
Holding Provision			
	The holding symbol H is to be removed from the whole or any part of the lands zoned H-RA2-60 by further amendment to Map 44W of Schedule B contained in Part 13 of this By-law, as amended, upon satisfaction of the following requirements: (1) delivery of an executed agreement for the provision of certain facilities, services or matters, pursuant to section 37 of the *Planning Act*, as it read on the day before section 9 of Schedule 12 to the *More Homes, More Choices Act, 2019* came into force, in a form and on terms satisfactory to the City of Mississauga ("City"); (2) submission of satisfactory grading and servicing drawings to City standards and specifications; (3) submission of a satisfactory Traffic Impact Study, including any Functional Design Plans for any road improvements to City standards and specifications; (4) delivery of an executed Development Agreement in a form and on terms satisfactory to the City to capture the obligations to complete the required municipal infrastructure works in support of the proposed development; (5) the submission of a satisfactory Functional Servicing Report to City standards and specifications; (6) arrangements for the registration of an easement between Lots 2 and 3 to the satisfaction of the Region of Peel.		

4.15.3.61	Exception: RA2-61	Map # 07	By-law: OLT Order 2022 December 09, 0217-2023, 0168-2024

In a RA2-61 zone the permitted **uses** and applicable regulations shall be as specified for a RA2 zone except that the following **uses**/regulations shall apply:

Additional Permitted Uses

4.15.3.61.1
(1) **Retail Store**
(2) **Restaurant**
(3) **Take-out Restaurant**
(4) **Service Establishment**
(5) **Financial Institution**
(6) **Office**
(7) **Medical Office**
(8) Artist Studio
(9) Art Gallery
(10) Museum

Regulations

4.15.3.61.2	The provisions contained in Subsections 2.1.14, 2.1.30 and the regulations of Lines 15.2 and 15.3 contained in Table 4.15.1 of this By-law shall not apply	
4.15.3.61.3	Maximum number of **dwelling units**	166
4.15.3.61.4	Apartment **dwelling units** shall not be permitted on the **first storey** of the **building** abutting Lakeshore Road East	
4.15.3.61.5	Maximum **floor space index - apartment zone**	3.6
4.15.3.61.6	Minimum total **gross floor area - non-residential** for **uses** contained in Sentence 4.15.3.61.1 of this Exception and located on the **first storey** abutting Lakeshore Road East	365 m^2
4.15.3.61.7	The **lot line** abutting Lakeshore Road East shall be deemed to be the **front lot line**	
4.15.3.61.8	Notwithstanding Sentence 4.15.3.61.15 of this Exception, minimum **exterior side yard** for apartment **dwelling units** on the **first storey** abutting Enola Avenue	4.0 m
4.15.3.61.9	Notwithstanding Sentence 4.15.3.61.15 of this Exception, minimum **rear yard** for the **first storey** and second **storey** of the **building**	12.4 m
4.15.3.61.10	Minimum number of **loading spaces**	1
4.15.3.61.11	Minimum **landscaped area**	24% of the **lot area**
4.15.3.61.12	Notwithstanding Sentence 4.15.3.61.2 of this Exception, minimum depth of a **landscaped buffer** abutting a Residential Zone	4.5 m
4.15.3.61.13	Where 365 m^2 to less than 425 m^2 of **gross floor area - non-residential** is provided, minimum **amenity area**	5.0 m^2 per **dwelling unit**
4.15.3.61.14	Where equal to or greater than 425 m^2 of **gross floor area - non-residential** is provided, minimum **amenity area**	4.5 m^2 per **dwelling unit**
4.15.3.61.15	All site development plans shall comply with Schedule RA2-61 of this Exception	

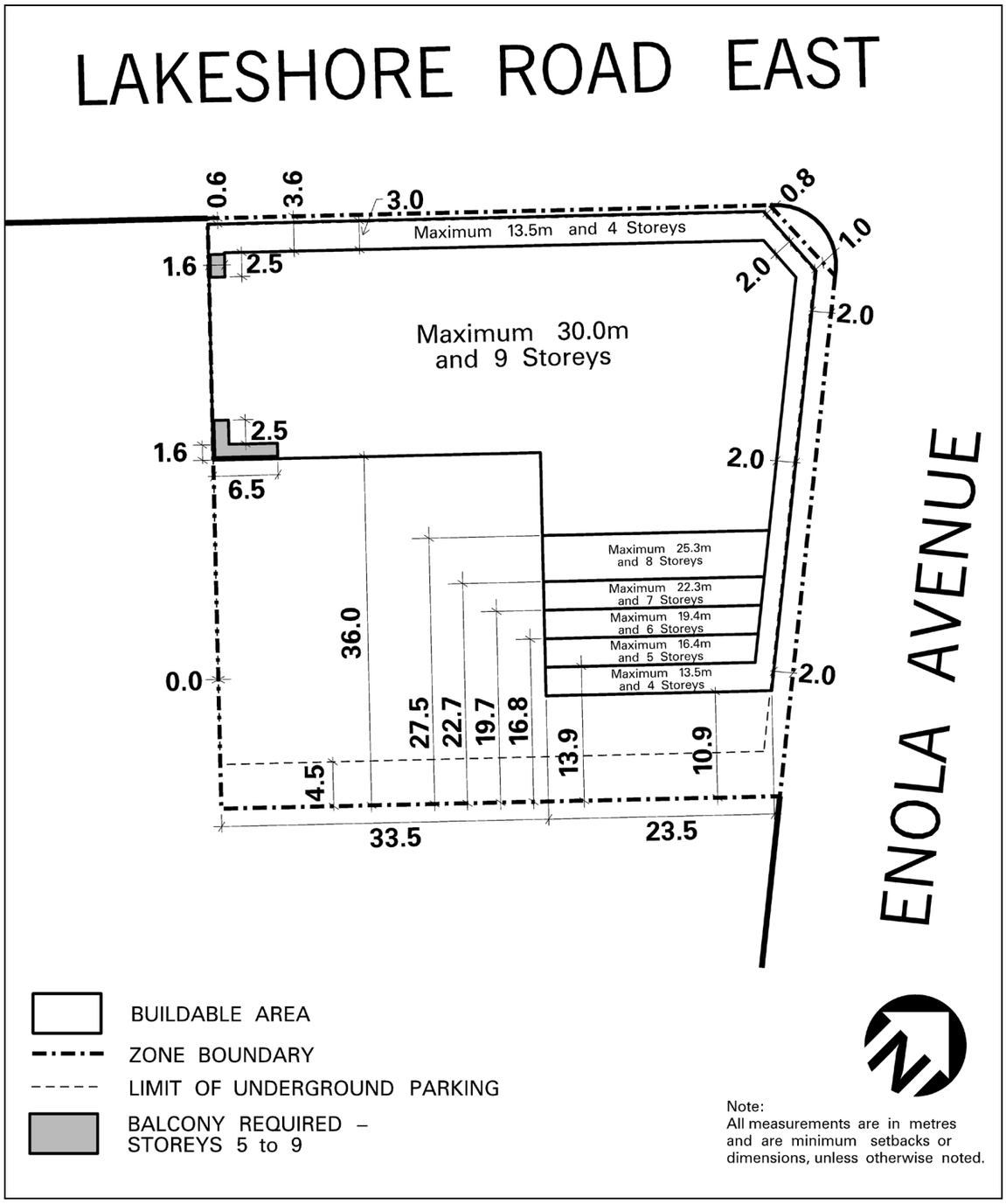

Schedule RA2-61
Map 07

4.15.3.62	Exception: RA2-62	Map # 06	By-law: 0206-2023
In a RA2-62 zone the permitted **uses** and applicable regulations shall be as specified for a RA2 zone except that the following **uses**/regulations shall apply:			
Additional Permitted Uses			
4.15.3.62.1	(1) **Uses** permitted in a C4 zone as contained in Table 6.2.1 of this By-law		
Regulations			
4.15.3.62.2	The provisions contained in Table 2.1.2.1.1, Subsections 2.1.14 and 2.1.30 and the regulations of Lines 15.1, 15.2, 15.3 and 15.6 contained in Table 4.15.1 of the By-law shall not apply		
4.15.3.62.3	Maximum **floor space index - apartment zone**		3.8
4.15.3.62.4	Minimum **gross floor area - non-residential**		650 m^2
4.15.3.62.5	Notwithstanding any other provisions of this By-law, the calculation of **height** for **apartment**, **long-term care** and **retirement buildings**, shall be exclusive of an enclosed rooftop **amenity area**, mechanical penthouse or architectural appurtenances such as mechanical equipment, elevator machine rooms, telecommunication equipment and enclosures, **parapets**, turrets, cupolas and elevator and stair enclosures, located on the roof of a dwelling provided that the maximum **height** of such elements is no higher than 4.5 m above the **height** limit otherwise applicable		
4.15.3.62.6	Notwithstanding Sentence 4.15.3.62.14 of this Exception, a bus shelter shall be permitted within the required setback from a **building** or **structure** to the **lot line** abutting Lakeshore Road East		
4.15.3.62.7	Notwithstanding Sentence 4.15.3.62.14 of this Exception, a **porch** inclusive of stairs shall be permitted within the required setback from a **building** or **structure** to the **lot lines** abutting Ogden Avenue and Strathy Avenue		
4.15.3.62.8	Notwithstanding Sentence 4.15.3.62.14 of this Exception, maximum projection of a **balcony** measured from the outermost face or faces of the **building** from which the **balcony** projects		1.8 m
4.15.3.62.9	Minimum number of **parking spaces** per **dwelling unit**		0.9
4.15.3.62.10	Minimum number of **parking spaces** per 100 m^2 of **gross floor area - non-residential** for **uses** contained in Sentence 4.15.3.62.1 of this Exception, except for a **restaurant** with a **gross floor area - non-residential** greater than 220 m^2		3.0
4.15.3.62.11	For the visitor component, a shared parking arrangement may be used for the calculation of required residential visitor/ non-residential parking in accordance with the following: the greater of 0.2 visitor **parking spaces** per **dwelling unit** or Parking required for all non-residential **uses** except for **restaurant** over 220 m^2 **gross floor area - non-residential** Parking for **restaurant** over 220 m^2 **gross floor area - non-residential**, shall not be included in the above shared parking arrangement and shall be provided in accordance with applicable regulations contained in Table 3.1.2.2 of this By-law		
4.15.3.62.12	Minimum number of **loading spaces** to be provided for non-residential and residential **uses**		1

Exception RA2-62 continued on next page

4.15.3.62	Exception: RA2-62	Map # 06	By-law: 0206-2023
Exception RA2-62 continued from previous page			
4.15.3.62.13	Minimum depth of a **landscaped buffer** abutting lands with a Residential Zone		4.5 m
4.15.3.62.14	All site development plans shall comply with Schedule RA2-62 of this Exception		
Holding Provision			
	The holding symbol H is to be removed from the whole or any part of the lands zoned H-RA2-62 by further amendment to Map 06 of Schedule B contained in Part 13 of this By-law, as amended, upon satisfaction of the following requirements: (1) delivery of an executed Development Agreement in a form and on terms satisfactory to The Corporation of the City of Mississauga ("City"); (2) satisfactory arrangements with the City's Transportation and Works and Planning and Building Departments regarding the details and location of the required bus shelter; (3) submission of an updated Functional Servicing Report, Traffic Impact Study and updated grading plans to the satisfaction of the City's Transportation and Works Department and Region of Peel Development Services Department; (4) satisfactory arrangements with the Region of Peel or its successor with respect to waste collection; (5) satisfactory arrangements with the City's Planning and Building Department regarding the affordable housing contribution; (6) submission of an updated Noise Study and arrangements regarding noise mitigation measures.		

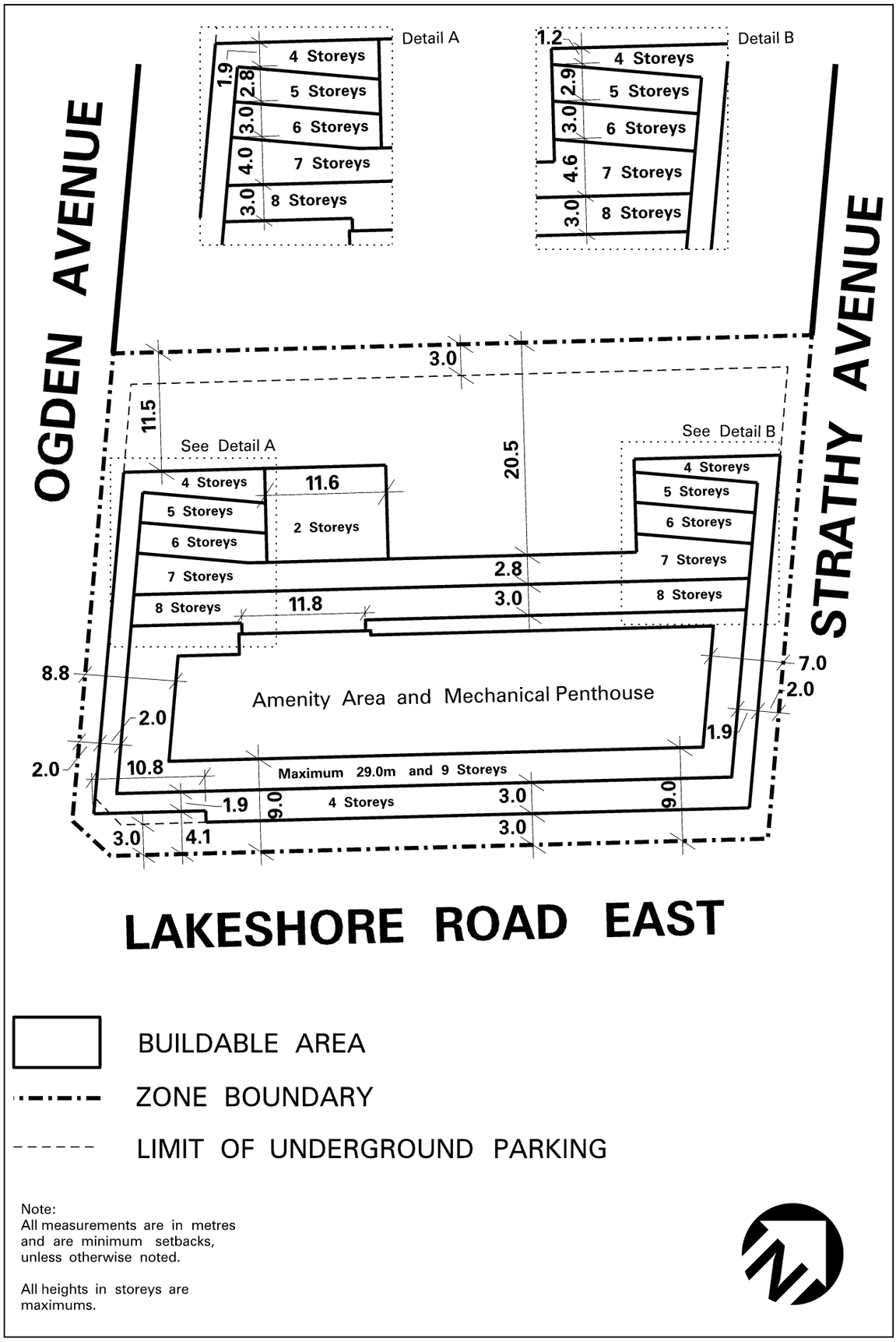

Note:
All measurements are in metres and are minimum setbacks, unless otherwise noted.

All heights in storeys are maximums.

Schedule RA2-62
Map 06

4.15.3.63	Exception: RA2-63	Map # 05	By-law: 0116-2023, 0158-2023

In a RA2-63 zone the permitted **uses** and applicable regulations shall be as specified for a RA2 zone except that the following **uses**/regulations shall apply:

Additional Permitted Use		
4.15.3.63.1	(1) **Uses** permitted in a C4 zone as contained in Table 6.2.1 of this By-law	
Regulations		
4.15.3.63.2	The provisions contained in Table 2.1.2.1.1, Subsections 2.1.14 and 2.1.30, and the regulations of Lines 15.1, 15.2, 15.3 and 15.6 contained in Table 4.15.1 of this By-law shall not apply	
4.15.3.63.3	Maximum **floor space index - apartment zone**	3.3
4.15.3.63.4	Minimum **gross floor area - non-residential**	415 m^2
4.15.3.63.5	Notwithstanding any other provisions of this By-law, the calculation of **height** for **apartment**, **long-term care** and **retirement buildings**, shall be exclusive of an enclosed rooftop **amenity area**, mechanical penthouse or architectural appurtenances such as mechanical equipment, elevator machine rooms, telecommunication equipment and enclosures, **parapets**, turrets, cupolas and elevator and stair enclosures, located on the roof of a dwelling provided that the maximum **height** of the top of such elements is no higher than 4.5 m above the **height** limit otherwise applicable	
4.15.3.63.6	Notwithstanding Sentence 4.15.3.63.13 of this Exception, a **porch** inclusive of stairs shall be permitted within the required setback from a **building** or **structure** to the **lot line** abutting Cherriebell Road	
4.15.3.63.7	Notwithstanding Sentence 4.15.3.63.13 of this Exception, maximum projection of a **balcony** measured from the outermost face or faces of the **building** from which the **balcony** projects	1.8 m
4.15.3.63.8	Minimum number of **parking spaces** per **dwelling unit**	0.9
4.15.3.63.9	Minimum number of **parking spaces** per 100 m^2 of **gross floor area - non-residential** for **uses** contained in Sentence 4.15.3.63.1 of this Exception, except for a **restaurant** with a **gross floor area - non-residential** greater than 220 m^2	3.0
4.15.3.63.10	For the visitor component, a shared parking arrangement may be used for the calculation of required residential visitor/ non-residential parking in accordance with the following: the greater of 0.2 visitor **parking spaces** per **dwelling unit** or Parking required for all non-residential **uses** except for **restaurant** over 220 m^2 **gross floor area - non-residential** Parking for **restaurant** over 220 m^2 **gross floor area - non-residential** shall not be included in the above shared parking arrangement and shall be provided in accordance with applicable regulations contained in Table 3.1.2.2 of this By-law	
4.15.3.63.11	Minimum number of **loading spaces** to be provided for residential and non-residential **uses**	1
4.15.3.63.12	Minimum depth of a **landscaped buffer** abutting a **lot line** that is abutting lands with a Residential Zone	4.5 m

Exception RA2-63 continued on next page

4.15.3.63	Exception: RA2-63	Map # 05	By-law: 0116-2023, 0158-2023
Exception RA2-63 continued from previous page			
4.15.3.63.13	All site development plans shall comply with Schedule RA2-63 of this Exception		
Holding Provision			
	The holding symbol H is to be removed from the whole or any part of the lands zoned H-RA2-63 by further amendment to Map 05 of Schedule B contained in Part 13 of this By-law, as amended, upon satisfaction of the following requirements: (1) delivery of an executed Development Agreement in a form and on terms satisfactory to The Corporation of the City of Mississauga ("City"); (2) submission of an updated Functional Servicing Report, Traffic Impact Study and Noise Study to the satisfaction of the City's Transportation and Works Department; (3) satisfactory arrangements with the Region of Peel or its successor with respect to waste collection; (4) satisfactory submission of required environmental reliance letters; (5) satisfactory arrangements with the City's Planning and Building Department regarding the affordable housing contribution.		

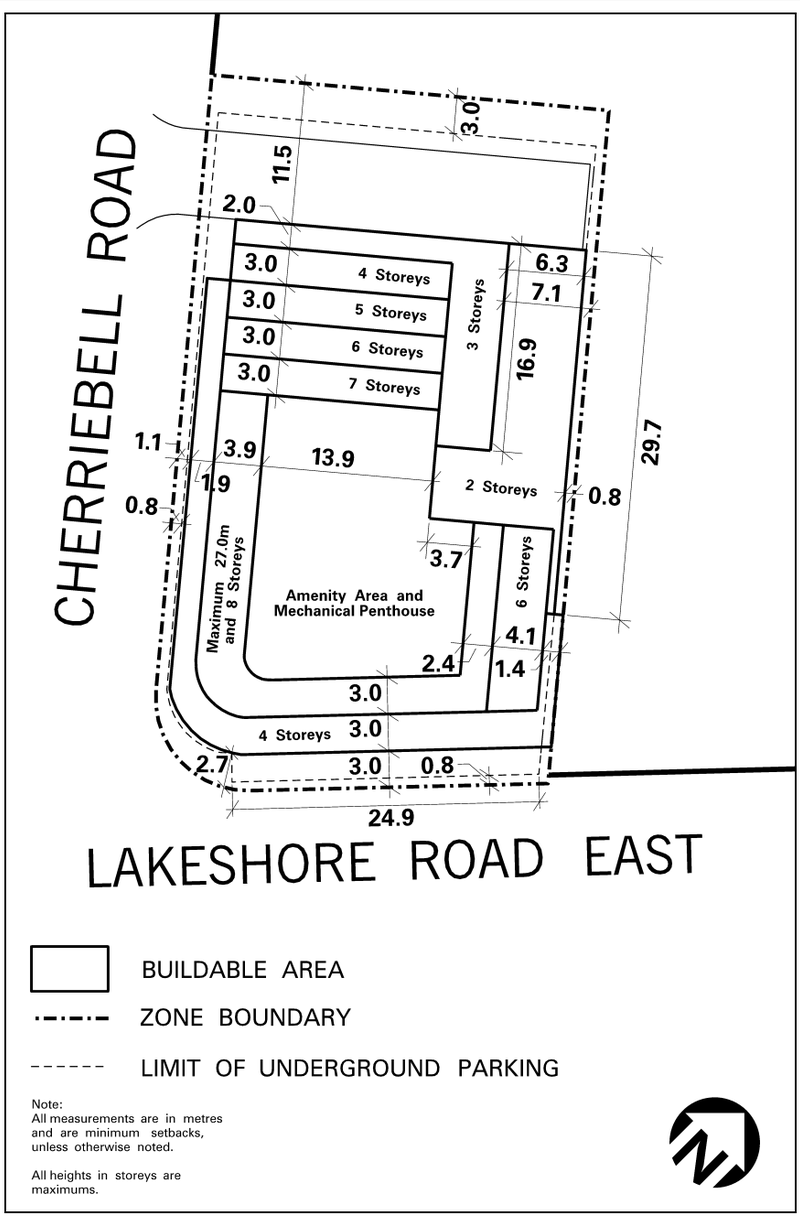

Schedule RA2-63
Map 05

4.15.3.64	Exception: RA2-64	Map # 39E	By-law: 0040-2024

In a RA2-64 zone the permitted **uses** and applicable regulations shall be as specified for a RA2 zone except that the following **uses**/regulations shall apply:

Additional Permitted Uses

4.15.3.64.1
(1) **Restaurant**
(2) **Take-out Restaurant**
(3) **Veterinary Clinic**
(4) **Recreational Establishment**
(5) **Day Care**

Regulations

4.15.3.64.2	The provisions contained in Subsection 2.1.14 of this By-law shall not apply	
4.15.3.64.3	**Uses** contained in Sentence 4.15.3.64.1 of this Exception shall not be permitted above the **first storey**	
4.15.3.64.4	The **uses** contained in Sentence 4.15.3.64.1 of this Exception shall only be located within a **building**, **structure** or part thereof, used for an **apartment**, **long-term care building**, **retirement building**, or any combination thereof	
4.15.3.64.5	Maximum **floor space index - apartment zone**	2.2
4.15.3.64.6	Minimum **gross floor area - non-residential**	550 m^2
4.15.3.64.7	Notwithstanding Sentence 4.15.3.64.15 of this Exception, maximum encroachment of a **balcony** located above the **first storey**, sunroom, window, **chimney**, pilaster, cornice, balustrade or roof eaves into a required **yard**	1.8 m
4.15.3.64.8	Notwithstanding Sentence 4.15.3.64.15 of this Exception, maximum projection of a **balcony** located above the **first storey** measured from the outermost face or faces of the **building** from which the **balcony** projects	1.8 m
4.15.3.64.9	Minimum number of resident **parking spaces** per condominium apartment **dwelling unit**	0.8
4.15.3.64.10	For the visitor component, a shared parking arrangement may be used for the calculation of required visitor/non-residential parking in accordance with the following: the greater of 0.2 visitor **parking spaces** per **dwelling unit** or Parking required for all non-residential **uses**, located in the same **building** or on the same **lot** as the residential **use**, except **restaurant** over 220 m^2 **gross floor area - non-residential** Parking for **restaurant** over 220 m^2 **gross floor area - non-residential**, shall not be included in the above shared parking arrangement and shall be provided in accordance with applicable regulations contained in Table 3.1.2.2 of this By-law	
4.15.3.64.11	Minimum number of **loading spaces** to be provided for non-residential and residential **uses**	1
4.15.3.64.12	Minimum **landscaped area**	26% of the **lot area**
4.15.3.64.13	A transformer on a hard surfaced area is permitted within a **landscaped buffer**	
4.15.3.64.14	Minimum **amenity area**	3.9 m^2 per **dwelling unit**

Exception RA2-64 continued on next page

4.15.3.64	Exception: RA2-64	Map # 39E	By-law: 0040-2024
Exception RA2-64 continued from previous page			
4.15.3.64.15	All site development plans shall comply with Schedule RA2-64 of this Exception		
Holding Provision			
	The holding symbol H is to be removed from the whole or any part of the lands zoned H-RA2-64 by further amendment to Map 39E of Schedule B contained in Part 13 of this By-law, as amended, upon satisfaction of the following requirements: (1) delivery of an executed Development Agreement in a form and on terms satisfactory to The Corporation of the City of Mississauga ("City"); (2) land dedication to achieve the ultimate 15.0 m right-of-way of James Street; (3) the submission of the following environmental studies and documents to the satisfaction of the City's Transportation and Works Department: letters of reliance for Phases One and Two Environmental Site Assessments, updated Phase Two Environmental Site Assessment, decommissioning plans and documents, letter from qualified person regarding land dedication; (4) completion and filing of a Record of Site Condition (RSC) with the Ministry of Environment, Conservation and Parks; (5) submission of an updated Parking Utilization Study satisfactory to the City's Transportation and Works Department; and, (6) submission of an evaluation confirming that the proposal complies with the Canadian Pacific Railway Guidelines.		

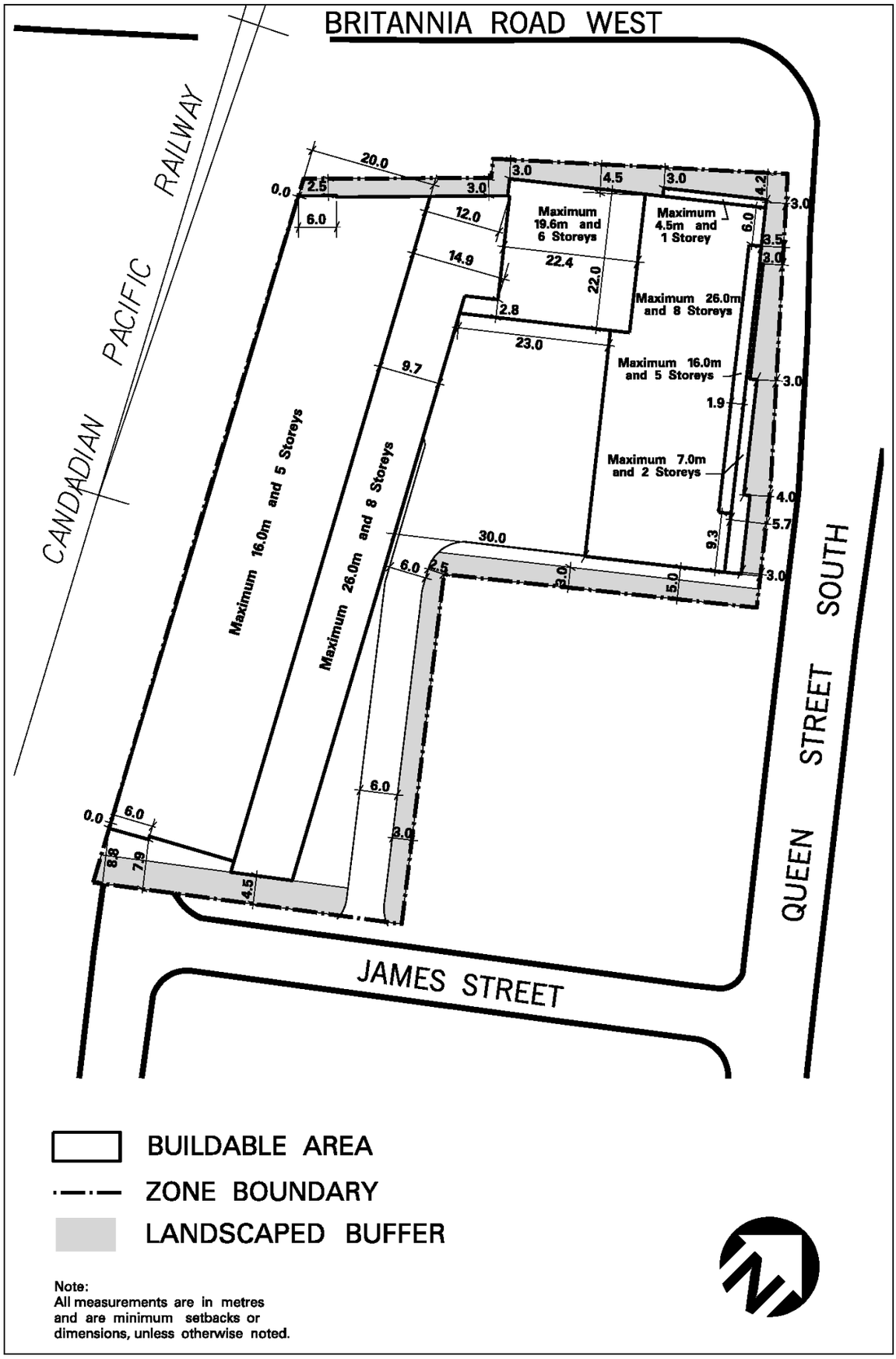

Schedule RA2-64
Map 39E

4.15.3.65	Exception: RA2-65	Map # 45W	By-law: OLT Order 2024 April 12

In a RA2-65 zone the permitted **uses** and applicable regulations shall be as specified for a RA2 zone except that the following **uses**/regulations shall apply:

Additional Permitted Uses

4.15.3.65.1
(1) **Restaurant**
(2) **Convenience Restaurant**
(3) **Take-out Restaurant**
(4) **Veterinary Clinic**
(5) **Animal Care Establishment**
(6) **Medical Office**
(7) **Recreational Establishment**
(8) **Entertainment Establishment**
(9) **Private Club**

Regulations

4.15.3.65.2	The provisions contained in Subsection 2.1.14, Sentences 3.1.1.4.3 and 3.1.1.4.4 of this By-law shall not apply	
4.15.3.65.3	**Uses** contained in Sentence 4.15.3.65.1 of this Exception shall not be permitted above the **first storey**	
4.15.3.65.4	The **uses** contained in Sentence 4.15.3.65.1 of this Exception shall only be located within a **building**, **structure** or part thereof, used for an **apartment**, **long-term care building**, **retirement building**, or any combination thereof	
4.15.3.65.5	Maximum number of condominium apartment studio **dwelling units**	164
4.15.3.65.6	Maximum **floor space index - apartment zone**	3.1
4.15.3.65.7	Minimum **gross floor area - non-residential**	1 200 m^2
4.15.3.65.8	Notwithstanding Sentence 4.15.3.65.28 of this Exception, **wing walls** shall be permitted in the side and **rear yards**	
4.15.3.65.9	Notwithstanding Sentence 4.15.3.65.28 of this Exception, maximum encroachment of a canopy above the **main front entrance** of the **first storey** or second **storey** into a required **front yard**	3.5 m
4.15.3.65.10	Notwithstanding Sentence 4.15.3.65.28 of this Exception, maximum encroachment of a canopy above the **main front entrance** of the **first storey** or second **storey** into the northerly **interior side yard**	2.1 m
4.15.3.65.11	Notwithstanding Sentence 4.15.3.65.28 of this Exception, maximum encroachment of a canopy into a required **interior side yard** and **rear yard**	1.5 m
4.15.3.65.12	Notwithstanding Sentence 4.15.3.65.28 of this Exception, maximum encroachment of architectural features into a required **yard**	2.1 m

Exception RA2-65 continued on next page

4.15.3.65	Exception: RA2-65	Map # 45W	By-law: OLT Order 2024 April 12
Exception RA2-65 continued from previous page			
4.15.3.65.13	Notwithstanding Sentence 4.15.3.65.28 of this Exception, maximum projection of a **balcony** located above the **first storey** measured from the outermost face or faces of the **building** from which the **balcony** projects		2.1 m
4.15.3.65.14	Notwithstanding Sentence 4.15.3.65.28 of this Exception, maximum projection of a canopy above the **main front entrance** of the **first storey** or second **storey**, measured from the outermost face or faces of the **building** into a required **front yard**		3.5 m
4.15.3.65.15	Notwithstanding Sentence 4.15.3.65.28 of this Exception, maximum projection of a canopy above the **main front entrance** of the **first storey** or second **storey**, located outside the **buildable area** along the northerly side **lot line**		2.1 m
4.15.3.65.16	Notwithstanding Sentence 4.15.3.65.28 of this Exception, maximum projection of a canopy measured from the outermost face or faces of the **building** into a required **interior side yard** and **rear yard**		1.5 m
4.15.3.65.17	Notwithstanding Sentence 4.15.3.65.28 of this Exception, maximum projection of architectural features measured from the outermost face of the **building** into a required **yard**		2.1 m
4.15.3.65.18	The calculation of resident **parking spaces** shall be in accordance with the following: the greater of 0.74 resident **parking spaces** per studio condominium apartment **dwelling unit**, plus 0.95 resident **parking spaces** per one-bedroom, two-bedroom, and three-bedroom condominium apartment **dwelling units** or 0.87 resident **parking spaces** per condominium apartment **dwelling unit**		
4.15.3.65.19	For the visitor component, a shared parking arrangement may be used for the calculation of required residential visitor/ non-residential parking in accordance with the following: the greater of 0.13 visitor **parking spaces** per **dwelling unit** or 4.3 **parking spaces** per 100 m^2 of **gross floor area - non-residential** located in the same **building** or on the same **lot** as the residential **use**, except **restaurant** over 220 m^2 **gross floor area - non-residential** Parking for a **restaurant** over 220 m^2 **gross floor area - non-residential**, shall not be included in the above shared parking arrangement and shall be provided in accordance with applicable regulations contained in Table 3.1.2.2 of this By-law		
4.15.3.65.20	Notwithstanding Sentence 3.1.1.4.2 of this By-law, total number of **parallel parking spaces** having a minimum width of 2.0 m and a minimum length of 5.2 m		3
4.15.3.65.21	Notwithstanding Sentence 3.1.1.4.1 of this By-law, a **tandem parking space** shall have a minimum length of 5.0 m		
4.15.3.65.22	Maximum percentage of required residential **parking spaces** that may be tandem		6.5%

Exception RA2-65 continued on next page

4.15.3.65	Exception: RA2-65	Map # 45W	By-law: OLT Order 2024 April 12
Exception RA2-65 continued from previous page			
4.15.3.65.23	Minimum **landscaped area**		37% of the **lot area**
4.15.3.65.24	Notwithstanding Sentence 4.15.3.65.28 of this Exception, ventilation shafts and **bicycle parking spaces** shall be permitted to encroach into a **landscaped buffer**		
4.15.3.65.25	Minimum depth of a **landscaped buffer** abutting the northerly **lot line**		1.8 m
4.15.3.65.26	Minimum depth of a **landscaped buffer** abutting the southerly **lot line**		2.0 m
4.15.3.65.27	"Terrace" means an accessible, external platform situated wholly on the rooftop of the **structure** below with no access to the ground		
4.15.3.65.28	All site development plans shall comply with Schedule RA2-65 of this Exception		
Holding Provision			
	The holding symbol H is to be removed from the whole or any part of the lands zoned H-RA2-65 by further amendment to Map 45W of Schedule B contained in Part 13 of this By-law, as amended, upon satisfaction of the following requirements: (1) delivery of an executed Development Agreement in a form and on terms satisfactory to The Corporation of the City of Mississauga ("City"); (2) delivery of an executed Easement Encroachment Agreement for the proposed works within the storm sewer easement to the satisfaction of the City; (3) delivery of an executed Easement Encroachment Agreement for the proposed works within the Region of Peel sanitary easement; (4) submission of the following, in a form and on terms satisfactory to the City: an updated Noise and Vibration Report, updated Transportation Impact Study, revised and updated Civil Engineering Plans, updated Functional Servicing and Stormwater Management Report, updated Phase 2 Environmental Site Assessment (ESA), a well decommissioning letter prepared by a Professional Engineer, and a Storm Sewer Use By-law Acknowledgement Letter; (5) completion and filing of a Record of Site Condition (RSC) with the Ministry of Environment; (6) submission of an updated Sun/Shadow Study to the satisfaction of the City's Planning and Building Department; (7) submission of an updated Pedestrian Level Wind Study to the satisfaction of the City's Planning and Building Department.		

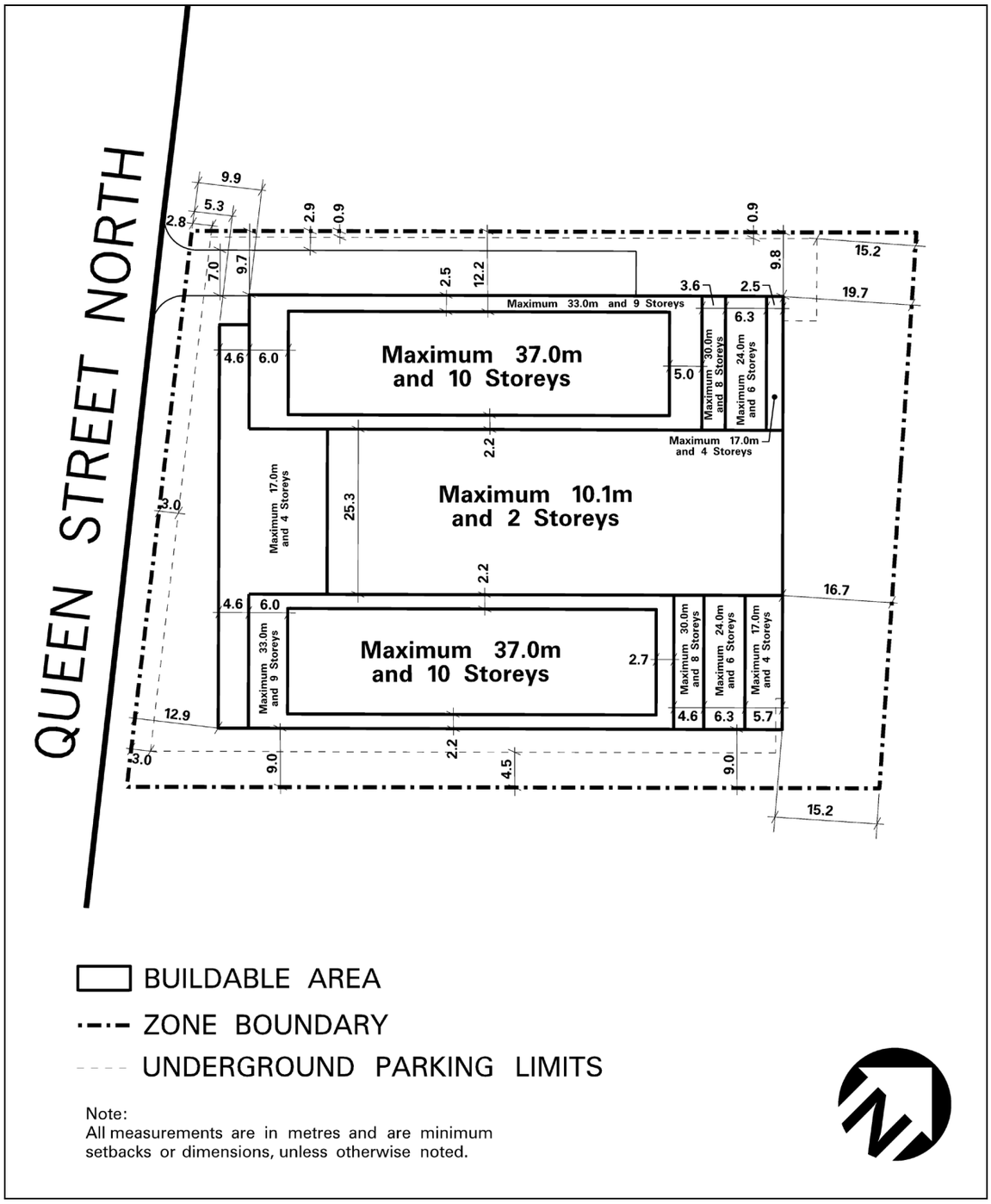

Schedule RA2-65
Map 45W

4.15.3.66	Exception: RA2-66	Map # 27	By-law: 0054-2024
In a RA2-66 zone the permitted **uses** and applicable regulations shall be as specified for a RA2 zone except that the following **uses**/regulations shall apply:			
Regulations			
4.15.3.66.1	Maximum **floor space index - apartment zone**		1.8
4.15.3.66.2	Maximum **height**		20.0 m and 6 **storeys**
4.15.3.66.3	Notwithstanding any other provisions of this By-law, the calculation of **height** for **apartment**, **long-term care** and **retirement buildings**, shall be exclusive of an enclosed rooftop **amenity area**, mechanical penthouse or architectural appurtenances such as mechanical equipment, elevator machine rooms, telecommunication equipment and enclosures, **parapets**, turrets, cupolas and elevator and stair enclosures, located on the roof of a dwelling provided that the maximum **height** of such elements is no higher than 4.8 m above the **height** limit otherwise applicable		
4.15.3.66.4	The **lot line** abutting Burnhamthorpe Road East shall be deemed to be the **front lot line**		
4.15.3.66.5	Minimum **front yard** on the **first storey**		2.0 m
4.15.3.66.6	Minimum **front yard** for that portion of the dwelling with a **height** greater than the **first storey**		0.0 m
4.15.3.66.7	Minimum **exterior side yard**		4.5 m
4.15.3.66.8	Minimum **interior side yard**		7.5 m
4.15.3.66.9	Minimum setback to a **sight triangle**		0.9 m
4.15.3.66.10	Maximum encroachment of a **balcony** located above the **first storey**, sunroom, window, **chimney**, pilaster, cornice, balustrade or roof eaves into a required **yard**		0.0 m
4.15.3.66.11	Notwithstanding Sentence 4.15.3.66.10 of this Exception, maximum encroachment of a **balcony** located above the **first storey** into a required **interior side yard**		1.5 m
4.15.3.66.12	Maximum projection of a **balcony** located above the **first storey** measured from the outermost face or faces of the **building** from which the **balcony** projects		0.0 m
4.15.3.66.13	Notwithstanding Sentence 4.15.3.66.12 of this Exception, maximum projection of a **balcony** located above the **first storey** measured from the outermost face or faces of the **building** from which the **balcony** projects		2.3 m
4.15.3.66.14	Minimum depth of a **landscaped buffer** abutting a **front lot line**		2.0 m
4.15.3.66.15	Minimum depth of a **landscaped buffer** abutting an **exterior side lot line**		3.0 m
4.15.3.66.16	Minimum depth of a **landscaped buffer** abutting an **interior side lot line**		2.8 m
4.15.3.66.17	Minimum **amenity area**		4.4 m^2 per **dwelling unit**
4.15.3.66.18	Minimum percentage of total required **amenity area** to be provided in one contiguous area		39%

Exception RA2-66 continued on next page

4.15.3.66	Exception: RA2-66	Map # 27	By-law: 0054-2024
Exception RA2-66 continued from previous page			
Holding Provision			

The holding symbol H is to be removed from the whole or any part of the lands zoned H-RA2-66 by further amendment to Map 27 of Schedule B contained in Part 13 of this By-law, as amended, upon satisfaction of the following requirements:

(1) delivery of an executed Development Agreement in a form and on terms satisfactory to The Corporation of the City of Mississauga ("City");

(2) delivery of a filed Record of Site Condition (RSC) with the Ministry of Environment, Conservation and Parks, together with updated Environmental Site Assessment (ESA) reports including Letters of Reliance to the satisfaction of City's Transportation and Works Department;

(3) delivery of a signed letter by a qualified professional regarding the suitability of fill materials and decommissioning of above ground storage tanks, oil-water separator and wells to the satisfaction of City's Transportation and Works Department;

(4) submission of an updated Functional Servicing Report (FSR), a revised Grading Plan, dedication of a sight triangle at the northeast corner of Burnhamthorpe Road East, and a road widening dedication along Burnhamthope Road East be provided to the satisfaction of City's Transportation and Works Department;

(5) delivery of a Waste Management Plan satisfactory to the City.