4.15.4 RA3 Exception Zones

Refer to Article 1.1.2.3 - Exception Zones and Exception Zone Schedules

4.15.4.1	Exception: RA3-1	Map # 19, 20	By-law: 0174-2017, 0073-2022, 0228-2024
In a RA3-1 zone the permitted **uses** and applicable regulations shall be as specified for a RA3 zone except that the following **uses**/regulations shall apply:			
Regulations			
4.15.4.1.1	Minimum **floor space index - apartment zone**		0.5
4.15.4.1.2	Maximum **floor space index - apartment zone**		1.2

4.15.4.2	Exception: RA3-2	Map # 17	By-law: 0174-2017
In a RA3-2 zone the permitted **uses** and applicable regulations shall be as specified for a RA3 zone except that the following **uses**/regulations shall apply:			
Regulations			
4.15.4.2.1	Minimum **floor space index - apartment zone**		0.7
4.15.4.2.2	Maximum **floor space index - apartment zone**		1.0

4.15.4.3	Exception: RA3-3	Map # 24, 59	By-law: 0174-2017
In a RA3-3 zone the permitted **uses** and applicable regulations shall be as specified for a RA3 zone except that the following **uses**/regulations shall apply:			
Regulations			
4.15.4.3.1	Minimum **floor space index - apartment zone**		0.8
4.15.4.3.2	Maximum **floor space index - apartment zone**		1.4

4.15.4.4	Exception: RA3-4	Map # 46W	By-law: 0174-2017
In a RA3-4 zone the permitted **uses** and applicable regulations shall be as specified for a RA3 zone except that the following **uses**/regulations shall apply:			
Regulations			
4.15.4.4.1	Minimum **floor space index - apartment zone**		1.0
4.15.4.4.2	Maximum **floor space index - apartment zone**		1.3

4.15.4.5	Exception: RA3-5	Map # 14, 25, 32, 38E, 48E	By-law: 0174-2017
In a RA3-5 zone the permitted **uses** and applicable regulations shall be as specified for a RA3 zone except that the following **uses**/regulations shall apply:			
Regulations			
4.15.4.5.1	Minimum **floor space index - apartment zone**		1.0
4.15.4.5.2	Maximum **floor space index - apartment zone**		1.5

4.15.4.6	Exception: RA3-6	Map # 26	By-law: 0174-2017
In a RA3-6 zone the permitted **uses** and applicable regulations shall be as specified for a RA3 zone except that the following **uses**/regulations shall apply:			
Regulations			
4.15.4.6.1	Minimum **floor space index - apartment zone**		1.0
4.15.4.6.2	Maximum **floor space index - apartment zone**		1.8

4.15.4.7	Exception: RA3-7	Map # 10	By-law: 0174-2017
In a RA3-7 zone the permitted **uses** and applicable regulations shall be as specified for a RA3 zone except that the following **uses**/regulations shall apply:			
Regulations			
4.15.4.7.1	Minimum **floor space index - apartment zone**		1.0
4.15.4.7.2	Maximum **floor space index - apartment zone**		2.5

4.15.4.8	Exception: RA3-8	Map # 14, 15, 21, 22, 28, 37E	By-law: 0174-2017
In a RA3-8 zone the permitted **uses** and applicable regulations shall be as specified for a RA3 zone except that the following **uses**/regulations shall apply:			
Regulations			
4.15.4.8.1	Minimum **floor space index - apartment zone**		1.5
4.15.4.8.2	Maximum **floor space index - apartment zone**		2.0

4.15.4.9	Exception: RA3-9	Map #	By-law: 0174-2017
In a RA3-9 zone the permitted **uses** and applicable regulations shall be as specified for a RA3 zone except that the following **uses**/regulations shall apply:			
Regulations			
4.15.4.9.1	Minimum **floor space index - apartment zone**		1.5
4.15.4.9.2	Maximum **floor space index - apartment zone**		2.9

4.15.4.10	Exception: RA3-10	Map #	By-law: 0174-2017
In a RA3-10 zone the permitted **uses** and applicable regulations shall be as specified for a RA3 zone except that the following **uses**/regulations shall apply:			
Regulations			
4.15.4.10.1	Minimum **floor space index - apartment zone**		1.9
4.15.4.10.2	Maximum **floor space index - apartment zone**		2.9

4.15.4.11	Exception: RA3-11	Map # 14	By-law: 0174-2017, 0121-2020/LPAT Order 2021 March 11
In a RA3-11 zone the permitted **uses** and applicable regulations shall be as specified for a RA3 zone except that the following **uses**/regulations shall apply:			
Regulations			
4.15.4.11.1	Maximum number of **dwelling units**		130
4.15.4.11.2	Minimum **floor space index - apartment zone**		1.0
4.15.4.11.3	Maximum **floor space index - apartment zone**		1.5
4.15.4.11.4	Access shall be permitted from lands zoned O1-11		

4.15.4.12	Exception: RA3-12	Map # 05	By-law: 0174-2017
In a RA3-12 zone the permitted **uses** and applicable regulations shall be as specified for a RA3 zone except that the following **uses**/regulations shall apply:			
Regulations			
4.15.4.12.1	Maximum number of **dwelling units**		210
4.15.4.12.2	Minimum **floor space index - apartment zone**		1.1
4.15.4.12.3	Maximum **floor space index - apartment zone**		1.5
4.15.4.12.4	All site development plans shall comply with Schedule RA3-12 of this Exception		

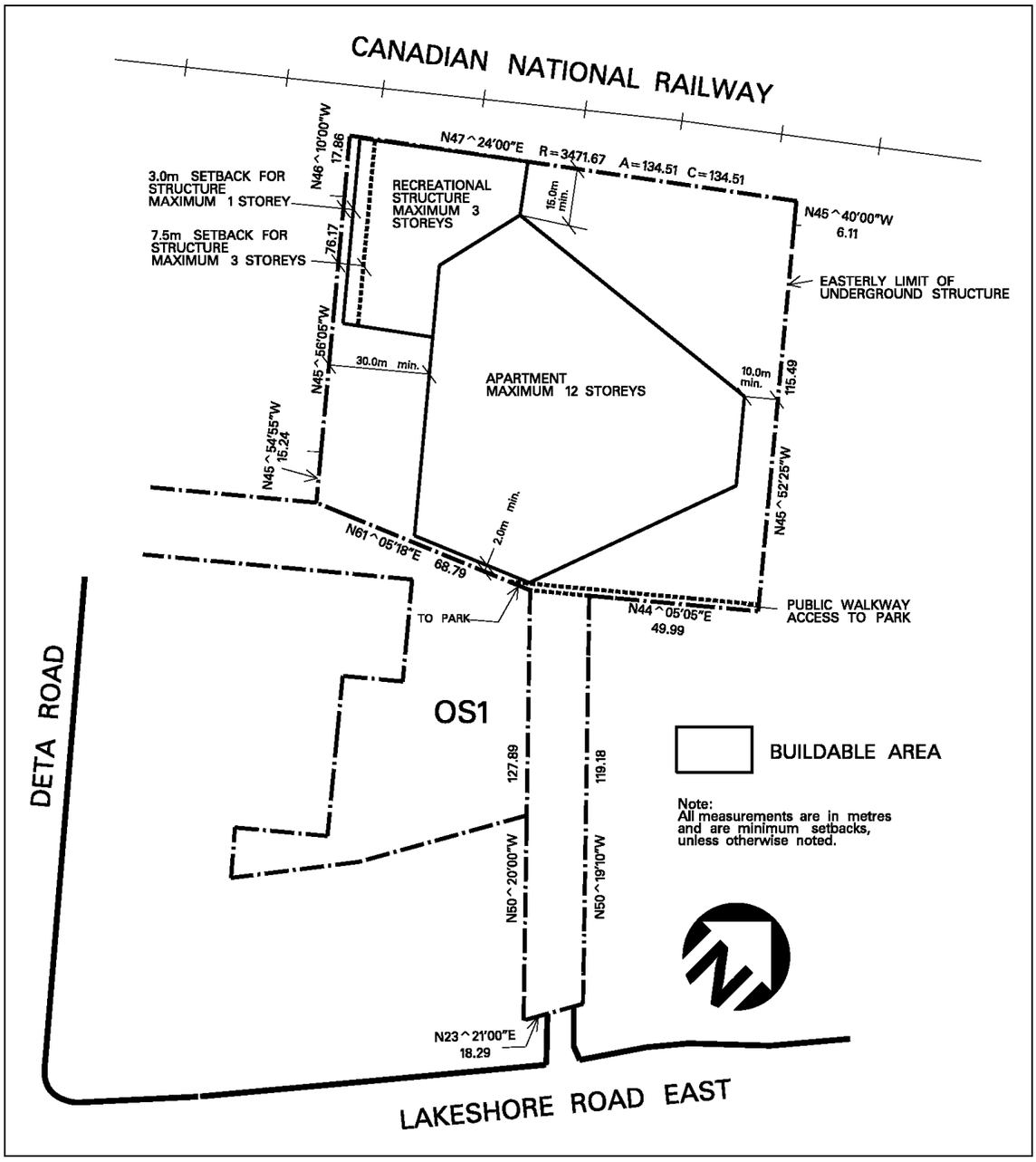

Schedule RA3-12
Map 05

4.15.4.13	Exception: RA3-13	Map # 30	By-law: 0174-2017
In a RA3-13 zone the permitted **uses** and applicable regulations shall be as specified for a RA3 zone except that the following **uses**/regulations shall apply:			
Regulations			
4.15.4.13.1	Maximum number of **dwelling units**		211
4.15.4.13.2	Minimum **floor space index - apartment zone**		0.5
4.15.4.13.3	Maximum **floor space index - apartment zone**		1.9
4.15.4.13.4	Maximum **height**		9 **storeys**
4.15.4.13.5	All site development plans shall comply with Schedule RA3-13 of this Exception		

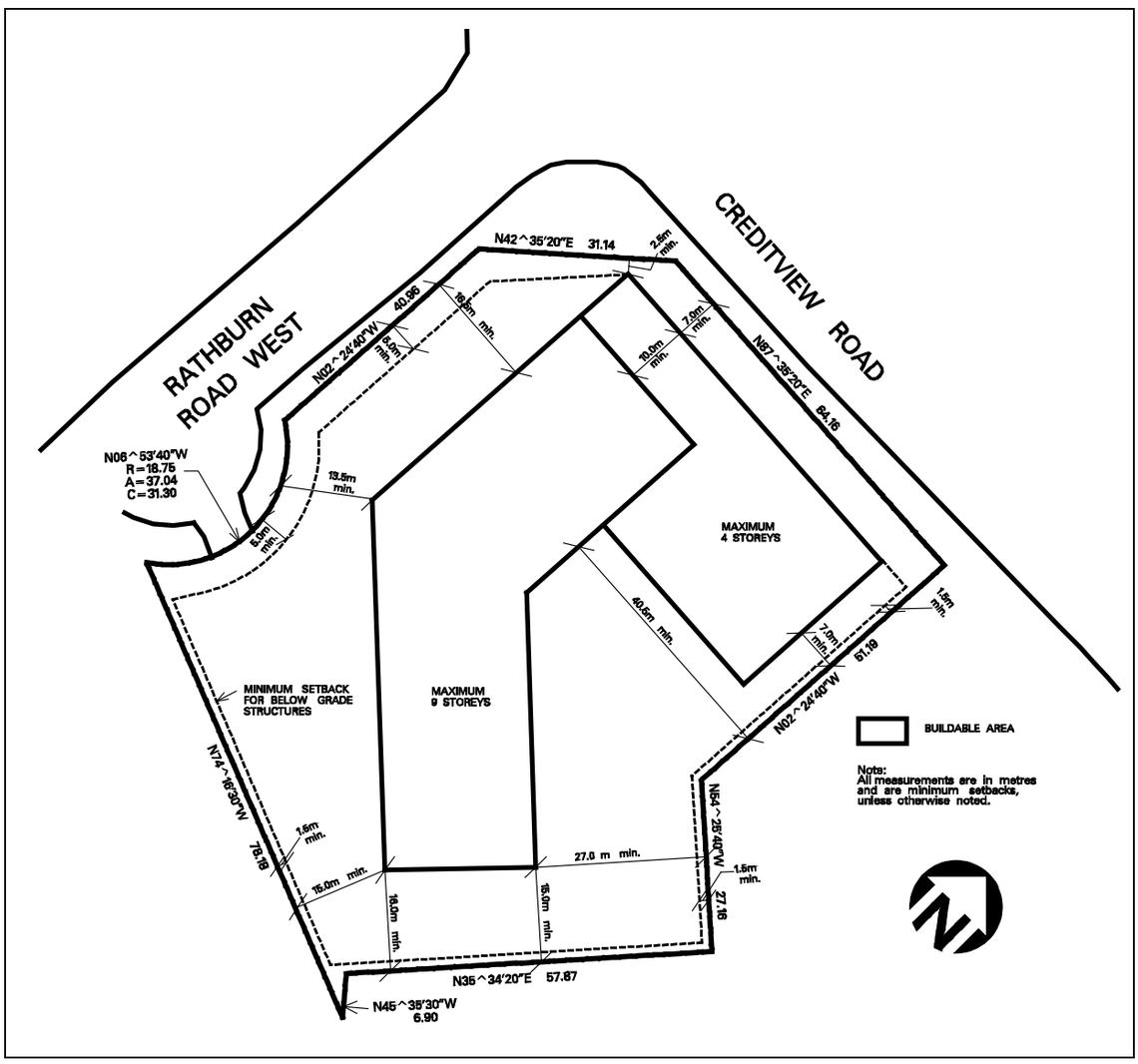

Schedule RA3-13
Map 30

4.15.4.14	Exception: RA3-14	Map # 06	By-law: 0174-2017, 0181-2018/LPAT Order 2019 February 15

In a RA3-14 zone the permitted **uses** and applicable regulations shall be as specified for a RA3 zone except that the following **uses**/regulations shall apply:

Additional Permitted Uses		
4.15.4.14.1	(1) **Townhouse** (2) **Street Townhouse** (3) **Back to Back** and **Stacked Townhouses**	
Regulations		
4.15.4.14.2	The regulations of Lines 4.0 and 5.0 contained in Table 4.15.1 of this By-law shall not apply	
4.15.4.14.3	Maximum number of **dwelling units**	410
4.15.4.14.4	Maximum percentage of required **parking spaces** that may be tandem	20%
4.15.4.14.5	**Apartment**:	
	(1) minimum setback between surface **parking spaces** and an **apartment**	6.0 m
4.15.4.14.6	**Townhouse**:	
	(1) the regulations of Lines 8.0 to 9.6 contained in Table 4.10.1 of this By-law shall apply	
	(2) the regulations of Lines 15.2 to 15.6 contained in Table 4.15.1 of this By-law shall not apply	
	(3) minimum setback to **garage face**	6.0 m
4.15.4.14.7	A **street townhouse** shall comply with the RM5 zone regulations contained in Subsection 4.11.1 of this By-law except that:	
	(1) minimum **lot area - interior lot**	185 m^2
4.15.4.14.8	**Back to Back** and **Stacked Townhouses**:	
	(1) minimum setback between surface **parking spaces** and a **back to back** and **stacked townhouse**	6.0 m
4.15.4.14.9	All site development plans shall comply with Schedule RA3-14 of this Exception	

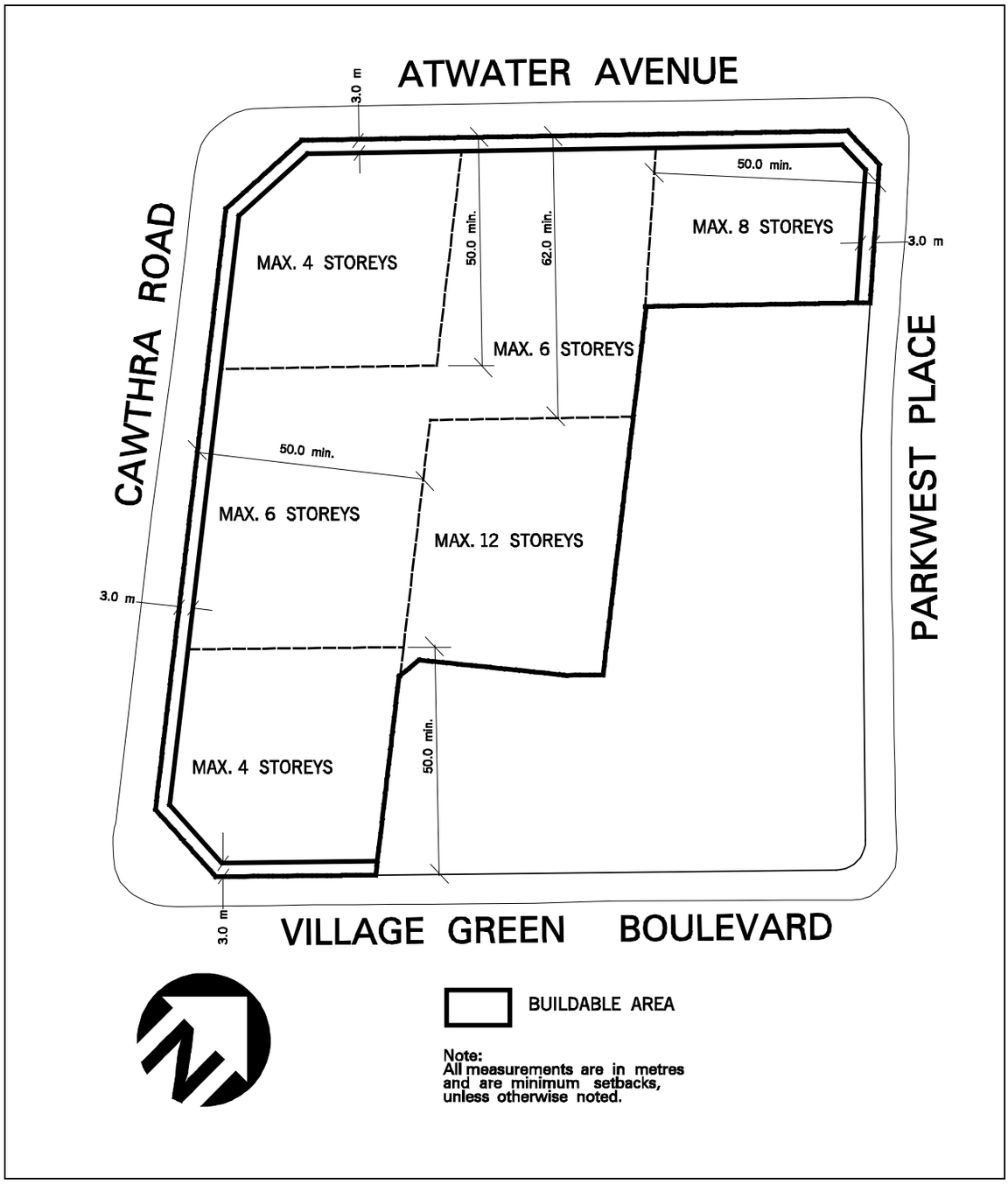

Schedule RA3-14
Map 06

4.15.4.15	Exception: RA3-15	Map # 54W	By-law: 0174-2017
In a RA3-15 zone the permitted **uses** and applicable regulations shall be as specified for a RA3 zone except that the following **uses**/regulations shall apply:			
Regulations			
4.15.4.15.1	Minimum **floor space index - apartment zone**		0.5
4.15.4.15.2	Maximum **floor space index - apartment zone**		1.0
4.15.4.15.3	Maximum **height**		10 **storeys**

4.15.4.16	Exception: RA3-16	Map # 15, 21	By-law: 0174-2017
In a RA3-16 zone the permitted **uses** and applicable regulations shall be as specified for a RA3 zone except that the following **uses**/regulations shall apply:			
Regulations			
4.15.4.16.1	Minimum **floor space index - apartment zone**		0.5
4.15.4.16.2	Maximum **floor space index - apartment zone**		1.5
4.15.4.16.3	Maximum **height**		9 **storeys**

4.15.4.17	Exception: RA3-17	Map # 15	By-law: 0174-2017
In a RA3-17 zone the permitted **uses** and applicable regulations shall be as specified for a RA3 zone except that the following **uses**/regulations shall apply:			
Regulations			
4.15.4.17.1	Minimum **floor space index - apartment zone**		0.5
4.15.4.17.2	Maximum **floor space index - apartment zone**		1.5
4.15.4.17.3	Maximum **height**		10 **storeys**

4.15.4.18	Exception: RA3-18	Map # 21	By-law: 0174-2017
In a RA3-18 zone the permitted **uses** and applicable regulations shall be as specified for a RA3 zone except that the following **uses**/regulations shall apply:			
Regulations			
4.15.4.18.1	Minimum **floor space index - apartment zone**		0.5
4.15.4.18.2	Maximum **floor space index - apartment zone**		1.5
4.15.4.18.3	Maximum **height**		11 **storeys**

4.15.4.19	Exception: RA3-19	Map # 21	By-law: 0174-2017
In a RA3-19 zone the permitted **uses** and applicable regulations shall be as specified for a RA3 zone except that the following **uses**/regulations shall apply:			
Regulations			
4.15.4.19.1	Minimum **floor space index - apartment zone**		0.5
4.15.4.19.2	Maximum **floor space index - apartment zone**		1.5

4.15.4.20	Exception: RA3-20	Map # 20	By-law: 0325-2008, 0190-2009, 0174-2017, 0121-2020/LPAT Order 2021 March 11, *deleted by OLT Order 2023 June 05*, 0058-2024, 0199-2024
In a RA3-20 zone the permitted **uses** and applicable regulations shall be as specified for a RA3 zone except that the following **uses**/regulations shall apply:			
Additional Permitted Uses			
4.15.4.20.1	(1) **Townhouse** (2) **Restaurant** (3) **Take-out Restaurant** (4) **Seasonal Outdoor Patio** (5) **Veterinary Clinic** (6) **Recreational Establishment** (7) **Education and Training Facility**		
Regulations			
4.15.4.20.2	The provisions contained in Table 2.1.14.1 and Subsection 2.1.30 of this By-law shall not apply		
4.15.4.20.3	The non-residential **uses** contained in Sentence 4.15.4.20.1 of this Exception shall not be permitted above the **first storey**		
4.15.4.20.4	The non-residential **uses** contained in Sentence 4.15.4.20.1 of this Exception shall only be located within a **building**, **structure** or part thereof, used for an **apartment**		
4.15.4.20.5	Maximum **floor space index - apartment zone**		3.0
4.15.4.20.6	Minimum **aisle** width		6.8 m
4.15.4.20.7	Minimum **amenity area** to be provided in one contiguous area within a **building**		702 m^2
4.15.4.20.8	Minimum **amenity area** to be provided in one contiguous area on a second floor rooftop		359 m^2
4.15.4.20.9	All site development plans shall comply with Schedule RA3-20 of this Exception		

Exception RA3-20 continued on next page

4.15.4.20	Exception: RA3-20	Map # 20	By-law: 0325-2008, 0190-2009, 0174-2017, 0121-2020/LPAT Order 2021 March 11, *deleted by OLT Order 2023 June 05*, 0058-2024, 0199-2024

Exception RA3-20 continued from previous page

Holding Provision

The holding symbol H is to be removed from the whole or any part of the lands zoned H-RA3-20 by further amendment to Map 20 of Schedule B contained in Part 13 of this By-law, upon satisfaction of the following requirements:

(1) delivery of an executed Development Agreement, including approval of the realigned municipal storm sewer and easement on-site, in a form and on terms satisfactory to the City of Mississauga ("City");

(2) receipt of an updated Functional Servicing and Stormwater Management Report to the satisfaction of the City's Transportation and Works Department;

(3) provision for a daylight triangle at the intersection of Dundas Street East and Haines Road, to the satisfaction of the City's Transportation and Works Department;

(4) provision for a road allowance widening towards the ultimate 42.0 m right-of-way of Dundas Street East, as identified in Mississauga Official Plan;

(5) receipt of satisfactory environmental studies and all supporting documentation for the lands to be dedicated to the City, to the satisfaction of the City's Transportation and Works Department;

(6) receipt of a Record of Site Condition (RSC) and supporting documentation for all lands to be dedicated to the City to the satisfaction of the City's Transportation and Works Department;

(7) provision of a public vehicular and pedestrian access easement through the subject site to facilitate a future connection between Haines Road and Cedar Creek Lane, to the satisfaction of the City's Transportation and Works Department;

(8) receipt of revised architectural drawings to the satisfaction of the City's Planning and Building Department;

(9) receipt of a revised Sun/Shadow Study to the satisfaction of the City's Planning and Building Department.

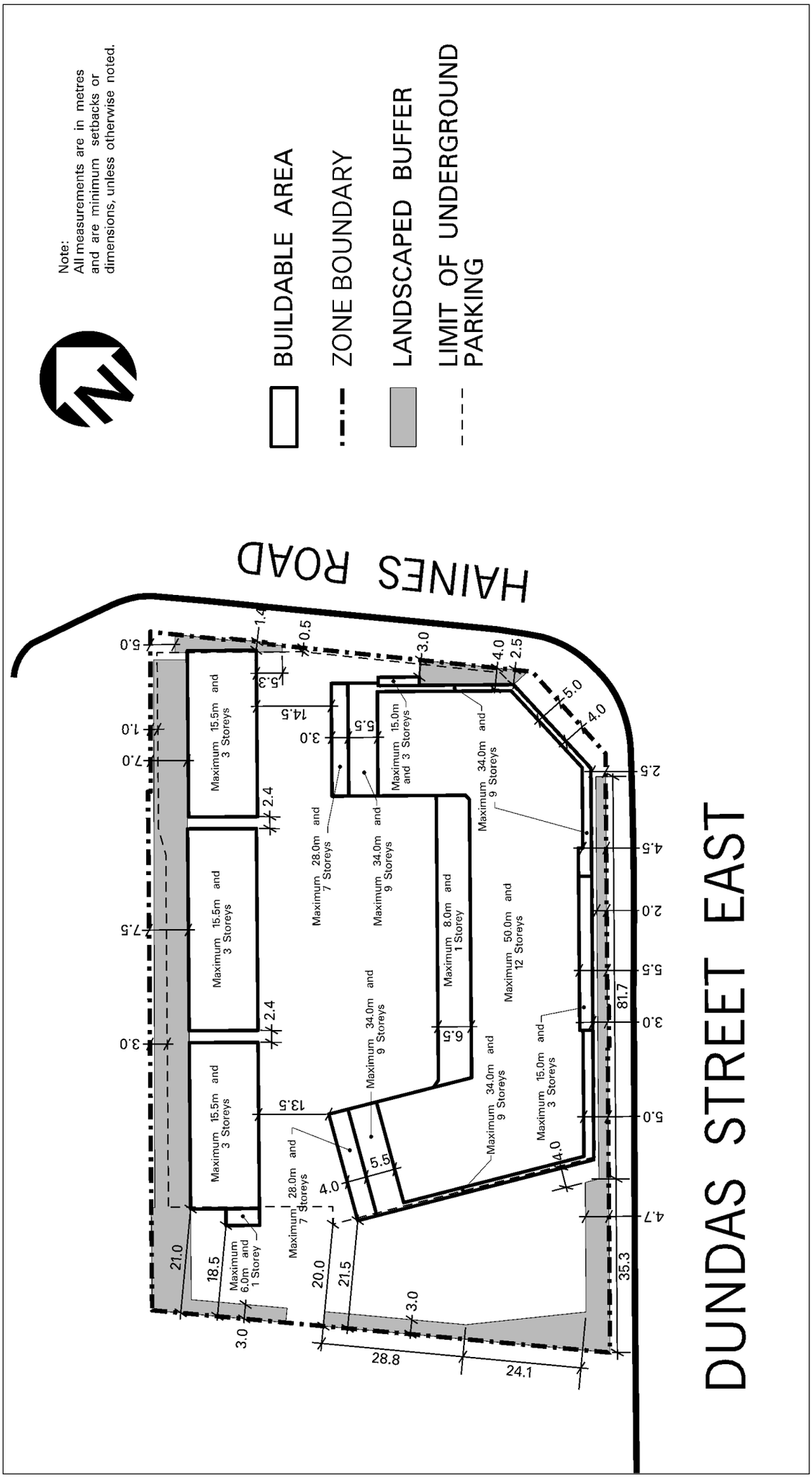

Schedule RA3-20
Map 20

4.15.4.21	Exception: RA3-21	Map # 19	By-law: 0174-2017
In a RA3-21 zone the permitted **uses** and applicable regulations shall be as specified for a RA3 zone except that the following **uses**/regulations shall apply:			
Regulations			
4.15.4.21.1	Minimum **floor space index - apartment zone**		0.5
4.15.4.21.2	Maximum **floor space index - apartment zone**		0.8

4.15.4.22	Exception: RA3-22	Map # 36W	By-law: 0174-2017
In a RA3-22 zone the permitted **uses** and applicable regulations shall be as specified for a RA3 zone except that the following **uses**/regulations shall apply:			
Regulations			
4.15.4.22.1	Maximum number of **dwelling units**		68
4.15.4.22.2	Minimum **floor space index - apartment zone**		1.9
4.15.4.22.3	Maximum **floor space index - apartment zone**		2.9
4.15.4.22.4	Maximum **height**		9 **storeys**

4.15.4.23	Exception: RA3-23	Map # 06	By-law: 0174-2017, 0181-2018/LPAT Order 2019 February 15
In a RA3-23 zone the permitted **uses** and applicable regulations shall be as specified for a RA3 zone except that the following **uses**/regulations shall apply:			
Additional Permitted Use			
4.15.4.23.1	(1) **Townhouse**		
Regulations			
4.15.4.23.2	The regulations of Lines 4.0 and 5.0 contained in Table 4.15.1 of this By-law shall not apply		
4.15.4.23.3	**Apartment**:		
	(1) maximum number of apartment **dwelling units**		112
	(2) minimum number of resident **parking spaces** per apartment **dwelling unit**		1.10
	(3) minimum number of visitor **parking spaces** per apartment **dwelling unit**		0.23
4.15.4.23.4	**Townhouse**:		
	(1) the regulations of Lines 8.0 to 9.6 contained in Table 4.10.1 of this By-law shall apply		
	(2) the regulations of Lines 15.2 to 15.6 contained in Table 4.15.1 of this By-law shall not apply		
	(3) maximum number of townhouse **dwelling units**		10
	(4) minimum number of resident **parking spaces** per townhouse **dwelling unit**		1.10
	(5) minimum number of visitor **parking spaces** per townhouse **dwelling unit**		0.23
4.15.4.23.5	All site development plans shall comply with Schedule RA3-23 of this Exception		

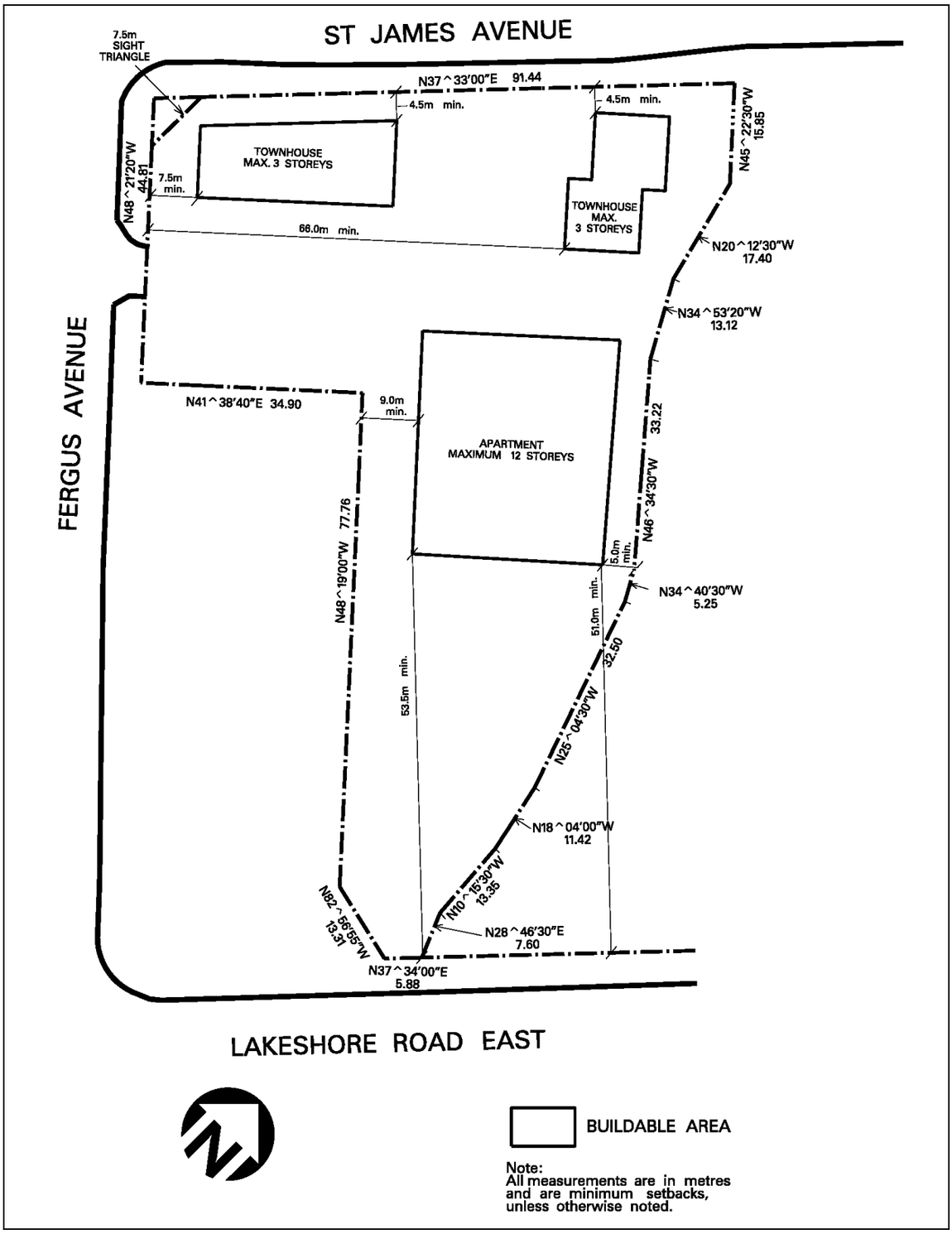

Schedule RA3-23
Map 06

4.15.4.24	Exception: RA3-24	Map # 08	By-law: 0174-2017
In a RA3-24 zone the permitted **uses** and applicable regulations shall be as specified for a RA3 zone except that the following **uses**/regulations shall apply:			
Regulations			
4.15.4.24.1	Minimum **floor space index - apartment zone**		1.0
4.15.4.24.2	Maximum **floor space index - apartment zone**		2.5

4.15.4.25	Exception: RA3-25	Map # 08	By-law: 0174-2017
In a RA3-25 zone the permitted **uses** and applicable regulations shall be as specified for a RA3 zone except that the following **uses**/regulations shall apply:			
Regulations			
4.15.4.25.1	Minimum **floor space index - apartment zone**		1.0
4.15.4.25.2	Maximum **floor space index - apartment zone**		2.5
4.15.4.25.3	Maximum **height**		11 **storeys**

4.15.4.26	Exception: RA3-26	Map # 08	By-law: 0174-2017
In a RA3-26 zone the permitted **uses** and applicable regulations shall be as specified for a RA3 zone except that the following **uses**/regulations shall apply:			
Regulations			
4.15.4.26.1	Minimum **floor space index - apartment zone**		1.0
4.15.4.26.2	Maximum **floor space index - apartment zone**		2.5
4.15.4.26.3	Maximum **height**		10 **storeys**

4.15.4.27	Exception: RA3-27	Map # 11	By-law: 0174-2017
In a RA3-27 zone the permitted **uses** and applicable regulations shall be as specified for a RA3 zone except that the following **uses**/regulations shall apply:			
Regulations			
4.15.4.27.1	Minimum **floor space index - apartment zone**		0.3
4.15.4.27.2	Maximum **floor space index - apartment zone**		0.5

4.15.4.28	Exception: RA3-28	Map # 30	By-law: OMB Order 2010 May 05, 0174-2017, 0181-2018/LPAT Order 2019 February 15
In a RA3-28 zone the permitted **uses** and applicable regulations shall be as specified for a RA3 zone except that the following **uses**/regulations shall apply:			
Additional Permitted Use			
4.15.4.28.1	(1) **Townhouse**		
Regulations			
4.15.4.28.2	The provisions contained in Subsection 2.1.14 and the regulations of Line 15.2 contained in Table 4.15.1 of this By-law shall not apply		
4.15.4.28.3	A **townhouse** shall comply with the RM4 zone regulations contained in Subsection 4.10.1 of this By-law		
4.15.4.28.4	Maximum number of apartment **dwelling units**		250
4.15.4.28.5	Maximum number of townhouse **dwelling units**		38
4.15.4.28.6	Minimum **floor space index - apartment zone**		1.0
4.15.4.28.7	Maximum **floor space index - apartment zone**		1.77
4.15.4.28.8	For the purposes of **floor space index - apartment zone** in Sentences 4.15.4.28.6 and 4.15.4.28.7 of this Exception, all lands zoned RA3-28 shall be considered one **lot**		
4.15.4.28.9	Minimum setback to Creditview Road and Eglinton Avenue West		4.5 m
4.15.4.28.10	Minimum number of resident **parking spaces** for rental **apartments**		190
4.15.4.28.11	Minimum number of visitor **parking spaces** for rental **apartments**		50
4.15.4.28.12	Minimum **landscaped area**		45% of the **lot area**

4.15.4.29	Exception: RA3-29	Map # 22	By-law: 0174-2017, 0199-2024
In a RA3-29 zone the permitted **uses** and applicable regulations shall be as specified for a RA3 zone except that the following **uses**/regulations shall apply:			
Regulations			
4.15.4.29.1	Maximum number of **dwelling units**		158
4.15.4.29.2	Minimum **floor space index - apartment zone**		1.5
4.15.4.29.3	Maximum **floor space index - apartment zone**		2.9
4.15.4.29.4	*deleted*		
4.15.4.29.5	*deleted*		

4.15.4.30	Exception: RA3-30	Map # 59	By-law: 0174-2017, 0181-2018/LPAT Order 2019 February 15
In a RA3-30 zone the permitted **uses** and applicable regulations shall be as specified for a RA3 zone except that the following **uses**/regulations shall apply:			
Regulations			
4.15.4.30.1	Maximum number of **dwelling units**		132
4.15.4.30.2	Minimum **floor space index - apartment zone**		0.8
4.15.4.30.3	Maximum **floor space index - apartment zone**		1.4
4.15.4.30.4	Minimum total number of **parking spaces**		186
4.15.4.30.5	Minimum number of required **parking spaces** that shall be visitor **parking spaces** provided at grade		27
4.15.4.30.6	Minimum number of required **parking spaces** that shall be recreational vehicle **parking spaces** provided at grade		4
4.15.4.30.7	Required number of resident **parking spaces** that shall be permitted on adjacent lands zoned RM8-3		75

4.15.4.31	Exception: RA3-31	Map # 06	By-law: 0174-2017
In a RA3-31 zone the permitted **uses** and applicable regulations shall be as specified for a RA3 zone except that the following **uses**/regulations shall apply:			
Regulations			
4.15.4.31.1	The regulations of Lines 4.0 and 5.0 contained in Table 4.15.1 of this By-law shall not apply		
4.15.4.31.2	Maximum number of **dwelling units**		124
4.15.4.31.3	Maximum percentage of required **parking spaces** that may be tandem		20%
4.15.4.31.4	Minimum setback from surface **parking spaces** to an **apartment**		6.0 m

4.15.4.32	Exception: RA3-32	Map # 06	By-law: 0174-2017
In a RA3-32 zone the permitted **uses** and applicable regulations shall be as specified for a RA3 zone except that the following **uses**/regulations shall apply:			
Regulations			
4.15.4.32.1	The regulations of Lines 4.0 and 5.0 contained in Table 4.15.1 of this By-law shall not apply		
4.15.4.32.2	Maximum number of **dwelling units**		118
4.15.4.32.3	Maximum percentage of required **parking spaces** that may be tandem		20%
4.15.4.32.4	Minimum setback from surface **parking spaces** to an **apartment**		6.0 m

4.15.4.33	Exception: RA3-33	Map # 24	By-law: 0174-2017, 0199-2024
In a RA3-33 zone the permitted **uses** and applicable regulations shall be as specified for a RA3 zone except that the following **uses**/regulations shall apply:			
Regulations			
4.15.4.33.1	Maximum number of **dwelling units**		176
4.15.4.33.2	Minimum **floor space index - apartment zone**		1.0
4.15.4.33.3	Maximum **floor space index - apartment zone**		1.8
4.15.4.33.4	Minimum depth of a **landscaped buffer** abutting the northerly **interior side lot line**		15.0 m
4.15.4.33.5	Minimum northerly **interior side yard**		30.0 m
4.15.4.33.6	Maximum **height**		11 **storeys**
4.15.4.33.7	*deleted*		

4.15.4.34	Exception: RA3-34	Map # 15	By-law: 0174-2017, 0199-2024
In a RA3-34 zone the permitted **uses** and applicable regulations shall be as specified for a RA3 zone except that the following **uses**/regulations shall apply:			
Regulations			
4.15.4.34.1	Maximum number of **dwelling units**		120
4.15.4.34.2	Minimum **floor space index - apartment zone**		1.5
4.15.4.34.3	Maximum **floor space index - apartment zone**		2.9
4.15.4.34.4	*deleted*		
4.15.4.34.5	*deleted*		
4.15.4.34.6	*deleted*		
4.15.4.34.7	*deleted*		
4.15.4.34.8	*deleted*		
4.15.4.34.9	*deleted*		
4.15.4.34.10	*deleted*		

4.15.4.35	Exception: RA3-35	Map # 40E	By-law: 0174-2017
In a RA3-35 zone the permitted **uses** and applicable regulations shall be as specified for a RA3 zone except that the following **uses**/regulations shall apply:			
Regulations			
4.15.4.35.1	Maximum number of **dwelling units** per hectare		150
4.15.4.35.2	Maximum **lot coverage**		15%
4.15.4.35.3	Minimum **floor space index - apartment zone**		1.0
4.15.4.35.4	Maximum **floor space index - apartment zone**		1.5
4.15.4.35.5	Minimum **front yard**		13.0 m
4.15.4.35.6	Minimum **interior side yard**		20.0 m
4.15.4.35.7	Minimum **rear yard**		35.0 m
4.15.4.35.8	Maximum **height**		10 **storeys**
4.15.4.35.9	Minimum setback of a **parking structure** completely below finished grade to a **street line**		3.0 m
4.15.4.35.10	Minimum setback of a **parking structure** completely below finished grade to any other **lot line**		1.5 m

4.15.4.36	Exception: RA3-36	Map # 08	By-law: LPAT Order 2019 November 15
In a RA3-36 zone the permitted **uses** and applicable regulations shall be as specified for a RA3 zone except that the following **uses**/regulations shall apply:			
Additional Permitted Uses			
4.15.4.36.1	(1) **Hospice** (2) **Uses** permitted in a C4 zone as contained in Table 6.2.1 of this By-law (3) Outdoor Market (4) **Custom Workshop** (5) **Cogeneration Facility**		
Regulations			
4.15.4.36.2	**Uses** contained in Clauses 4.15.4.36.1(1), 4.15.4.36.1(2), 4.15.4.36.1(4) and 4.15.4.36.1(5) of this Exception shall only be located within a **building**, **structure** or part thereof, used for an **apartment**, **long-term care building**, **retirement building** or any combination thereof		
4.15.4.36.3	The regulations of Lines 15.2 and 15.3 contained in Table 4.15.1 of this By-law shall not apply		
4.15.4.36.4	Maximum **floor space index - apartment zone** on all lands zoned RA3-36		3.6
4.15.4.36.5	Minimum **landscaped area**		30% of the **lot area**
4.15.4.36.6	Minimum setback of a **parking structure** constructed completely below finished grade to any **lot line**		1.0 m
4.15.4.36.7	Minimum number of resident **parking spaces** per apartment **dwelling unit**		1.0
4.15.4.36.8	Minimum number of visitor **parking spaces** per **dwelling unit**		0.15
4.15.4.36.9	Minimum number of **parking spaces** per **retirement dwelling unit**		0.3
4.15.4.36.10	Minimum number of **parking spaces** per long-term care bed		0.3
4.15.4.36.11	All site development plans shall comply with Schedule RA3-36 of this Exception		

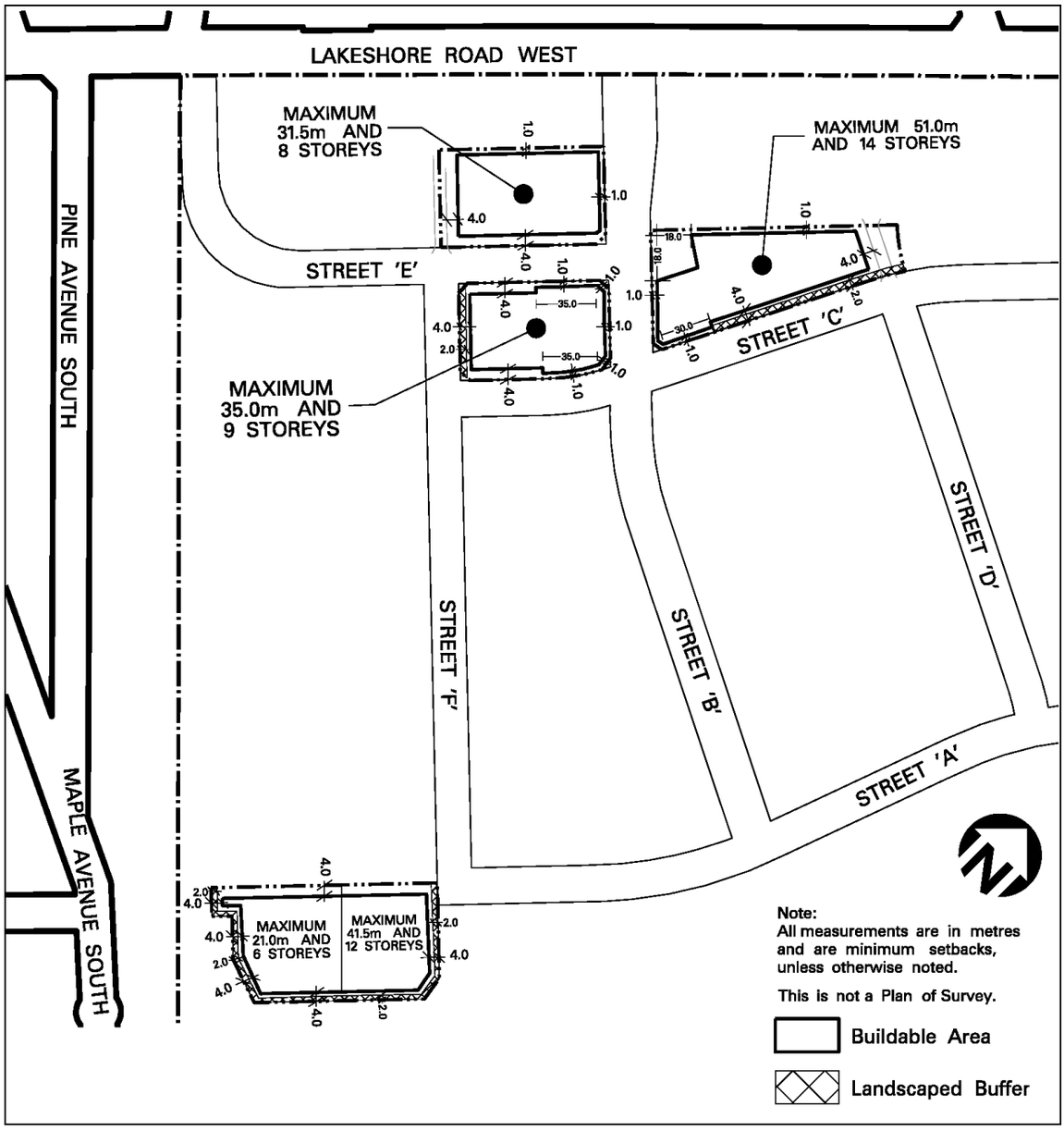

Schedule RA3-36
Map 08

4.15.4.37	Exception: RA3-37	Map # 08	By-law: LPAT Order 2019 November 15

In a RA3-37 zone the permitted **uses** and applicable regulations shall be as specified for a RA3 zone except that the following **uses**/regulations shall apply:

Regulations		
4.15.4.37.1	The regulations of Lines 15.2 and 15.3 contained in Table 4.15.1 of this By-law shall not apply	
4.15.4.37.2	Maximum **floor space index - apartment zone**	4.2
4.15.4.37.3	Minimum **landscaped area**	30% of the **lot area**
4.15.4.37.4	Minimum setback of a **parking structure** constructed completely below finished grade to any **lot line**	1.0 m
4.15.4.37.5	Minimum number of resident **parking spaces** per rental apartment **dwelling unit**	0.6
4.15.4.37.6	Minimum number of visitor **parking spaces** per **dwelling unit**	0.15
4.15.4.37.7	Minimum number of **parking spaces** per **retirement dwelling unit**	0.3
4.15.4.37.8	Minimum number of **parking spaces** per long-term care bed	0.3
4.15.4.37.9	All site development plans shall comply with Schedule RA3-37 of this Exception	

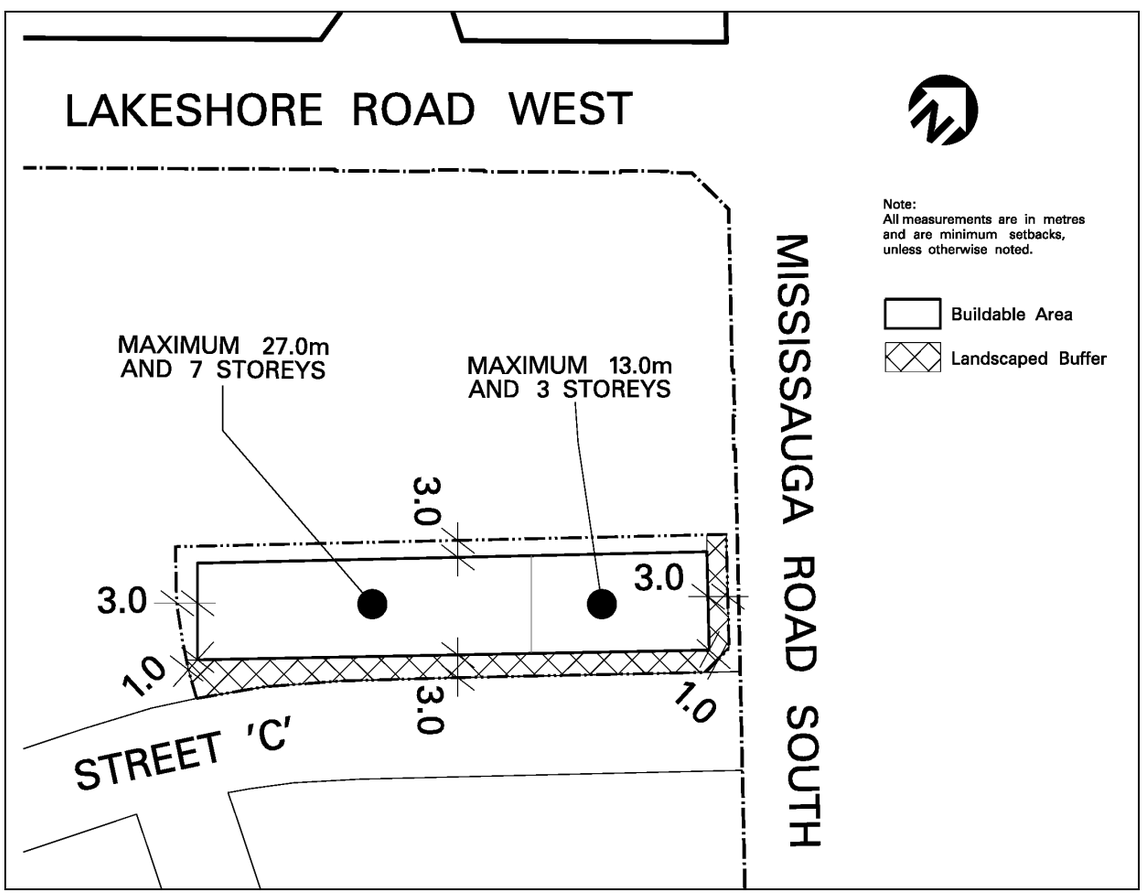

Schedule RA3-37
Map 08

4.15.4.38	Exception: RA3-38	Map # 19	By-law: 0073-2022
In a RA3-38 zone the permitted **uses** and applicable regulations shall be as specified for a RA3 zone except that the following **uses**/regulations shall apply:			
Regulations			
4.15.4.38.1	The provisions contained in Subsection 2.1.14 of this By-law shall not apply		
4.15.4.38.2	Maximum **floor space index - apartment zone**		1.8
4.15.4.38.3	For the purposes of this By-law, all lands zoned RA3-38 shall be considered one **lot**		
4.15.4.38.4	The **lot line** abutting Bloor Street shall be deemed to be the **front lot line**		
4.15.4.38.5	Maximum projection of a **balcony** located above the **first storey** measured from the outermost face or faces of the **building** from which the **balcony** projects		1.5 m
4.15.4.38.6	Minimum number of resident **parking spaces** per rental apartment **dwelling unit**		0.8
4.15.4.38.7	Minimum number of visitor **parking spaces** per rental apartment **dwelling unit**		0.09
4.15.4.38.8	Minimum setback from a waste enclosure/loading area to a **street line**		7.5 m
4.15.4.38.9	Maximum **amenity area** permitted at the mechanical penthouse level		300 m^2
4.15.4.38.10	All site development plans shall comply with Schedule RA3-38 of this Exception		

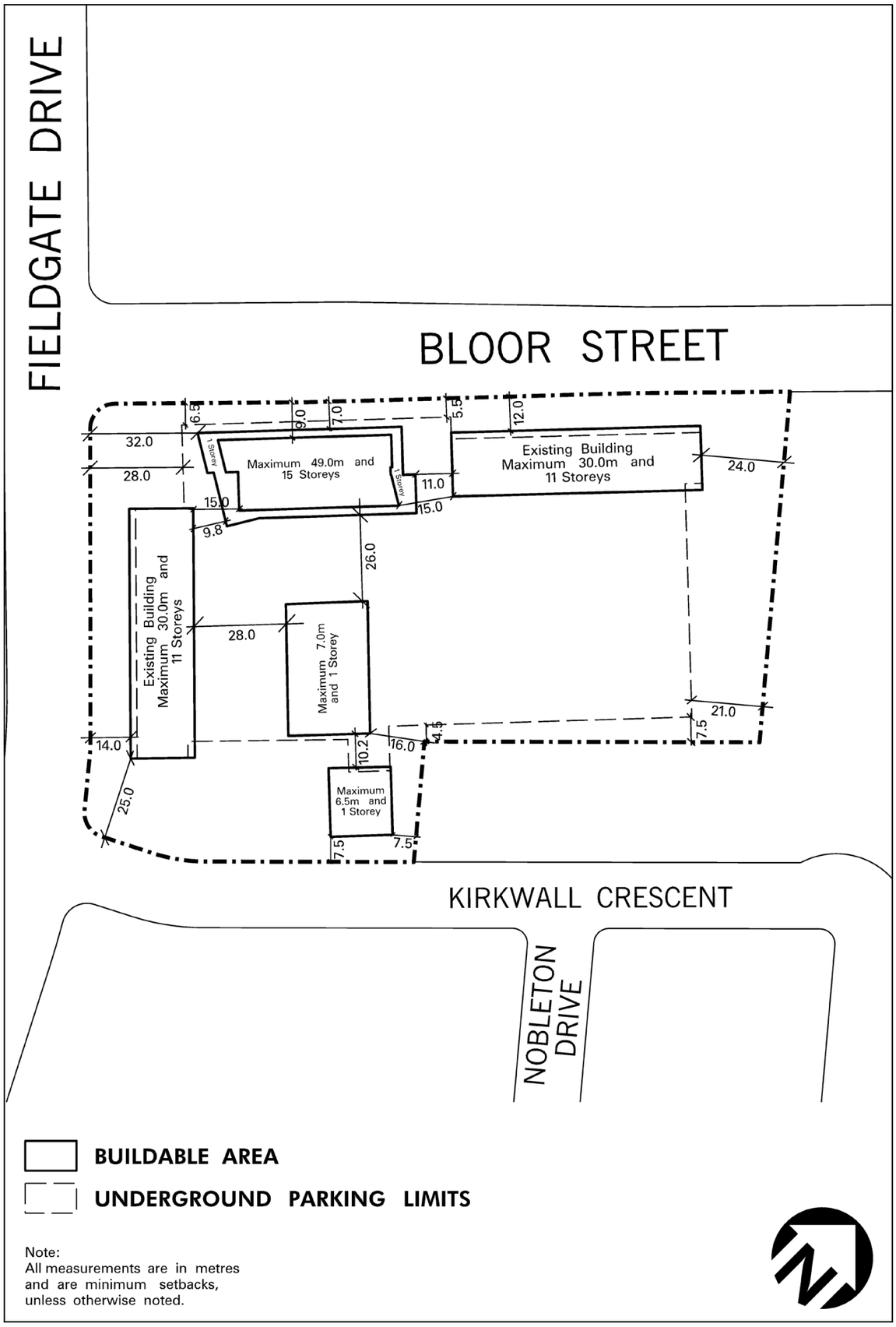

Schedule RA3-38
Map 19

4.15.4.39	Exception: RA3-39	Map # 06	By-law: 0127-2023
In a RA3-39 zone the permitted **uses** and applicable regulations shall be as specified for a RA3 zone except that the following **uses**/regulations shall apply:			
Regulations			
4.15.4.39.1	Maximum **floor space index - apartment zone**		4.2
4.15.4.39.2	Maximum **gross floor area - apartment zone**		13 640 m^2
4.15.4.39.3	Maximum **height**		34.0 m and 10 **storeys**
4.15.4.39.4	Minimum **front yard**		3.4 m
4.15.4.39.5	Minimum **exterior side yard**		4.0 m
4.15.4.39.6	Minimum **interior side yard**		3.2 m
4.15.4.39.7	Minimum **rear yard**		1.5 m
4.15.4.39.8	Minimum distance between the nearest parts of any **building** or **structure** to the centreline of the right-of-way on Lakeshore Road East		18.5 m
4.15.4.39.9	Minimum setback of a rooftop **balcony** from all exterior edges of a **building** or **structure**		0.3 m
4.15.4.39.10	Maximum projection of a rooftop patio located above the **first storey** measured from the outermost face or faces of the **building** from which the rooftop patio projects		6.2 m
4.15.4.39.11	Minimum setback from a **parking structure** completely below finished grade, inclusive of external access stairwells, to any **lot line**		0.5 m
4.15.4.39.12	Minimum **landscaped area**		27% of the **lot area**
4.15.4.39.13	Notwithstanding Sentence 4.15.4.39.20 of this Exception, walkways are permitted to traverse a **landscaped buffer** at an angle at least 60° but not greater than 120° measured from the **front lot line**		
4.15.4.39.14	Notwithstanding Sentence 4.15.4.39.20 of this Exception, walkways with a maximum width of 2.0 m are permitted to traverse a **landscaped buffer** at an angle at least 60° but not greater than 120° measured from the **exterior side lot line**		
4.15.4.39.15	Notwithstanding Sentence 4.15.4.39.20 of this Exception, one walkway with a maximum width of 3.9 m is permitted to traverse a **landscaped buffer** at an angle at least 60° but not greater than 120° measured from the **exterior side lot line**		
4.15.4.39.16	Notwithstanding Sentence 4.15.4.39.20 of this Exception, walkways with a maximum width of 2.2 m are permitted to be parallel to and within a required **landscaped buffer** abutting the **exterior side lot line**		
4.15.4.39.17	Notwithstanding Sentence 4.15.4.39.20 of this Exception, **driveways** are permitted to traverse a **landscaped buffer** from the **exterior side lot line**		
4.15.4.39.18	Bike racks and benches shall be permitted within a **landscaped buffer** abutting Lakeshore Road East		
4.15.4.39.19	Minimum **amenity area**		3.8 m^2 per **dwelling unit**

Exception RA3-39 continued on next page

4.15.4.39	Exception: RA3-39	Map # 06	By-law: 0127-2023
Exception RA3-39 continued from previous page			
4.15.4.39.20	All site development plans shall comply with Schedule RA3-39 of this Exception		
Holding Provision			
	The holding symbol H is to be removed from the whole or any part of the lands zoned H-RA3-39 by further amendment to Map 06 of Schedule B contained in Part 13 of this By-law, as amended, upon satisfaction of the following requirements: (1) completion and filing of a Record of Site Condition (RSC) with the Ministry of Environment, Conservation and Parks; (2) a remedial action plan and clean up reports submitted with a reliance letter that also captures the Phase One and Phase Two Environmental Assessments to the satisfaction of The Corporation of the City of Mississauga's ("City") Transportation and Works Department; (3) completion of the Storm Sewer Use By-law Acknowledgement form that is to be submitted to the City's Transportation and Works Department; and (4) signed letter by a qualified professional regarding the suitability of fill materials and decommissioning of wells to the satisfaction of the City's Transportation and Works Department.		

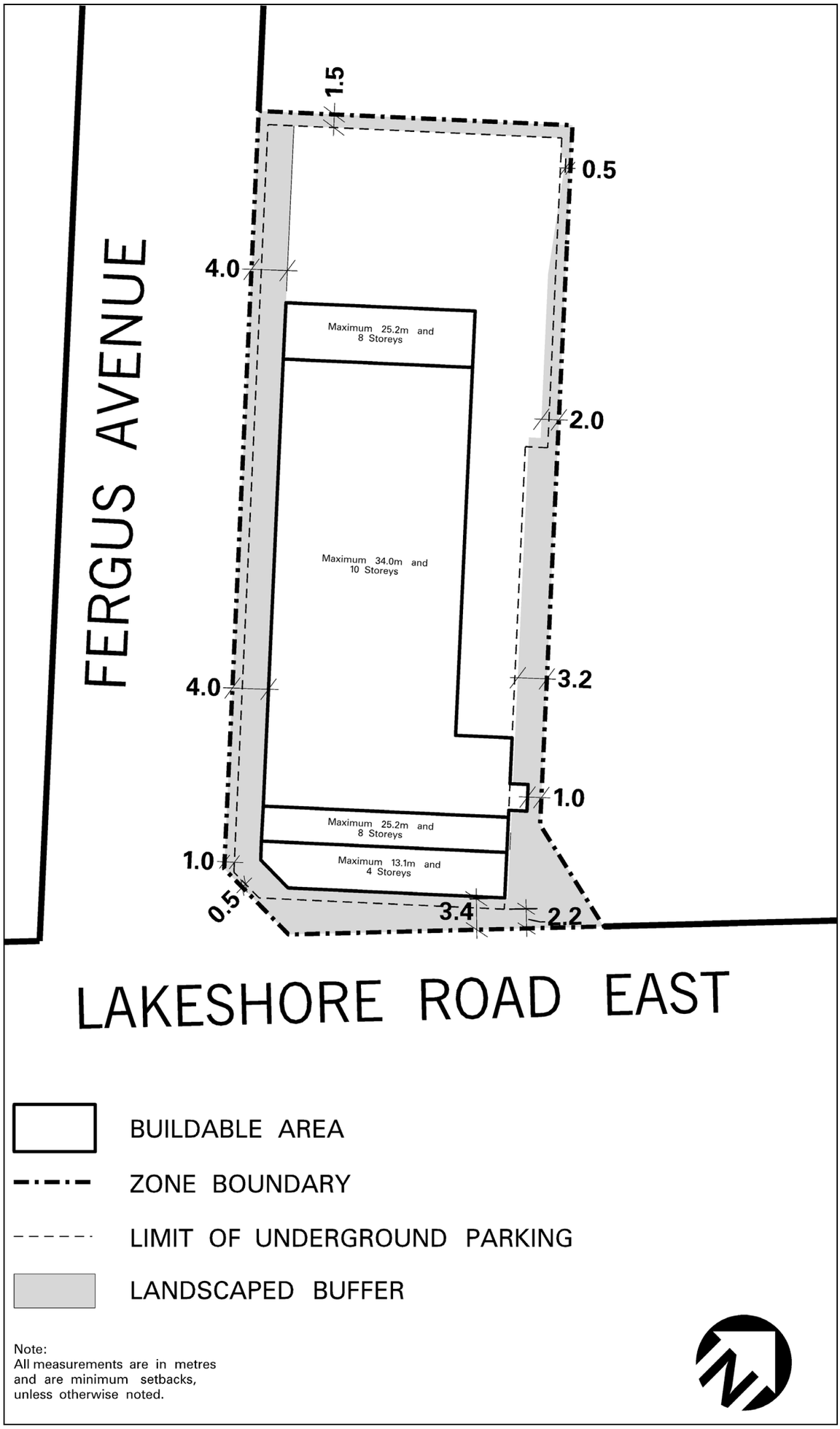

Schedule RA3-39
Map 06

4.15.4.40	Exception: RA3-40	Map # 19	By-law: 0228-2024
In a RA3-40 zone the permitted **uses** and applicable regulations shall be as specified for a RA3 zone except that the following **uses**/regulations shall apply:			
Regulations			
4.15.4.40.1	The provisions contained in Subsection 4.1.21 of this By-law shall not apply		
4.15.4.40.2	Maximum **floor space index - apartment zone**		1.5
4.15.4.40.3	Maximum **height**		34.6 m and 10 **storeys**
4.15.4.40.4	Notwithstanding any other provisions of this By-law, the calculation of **height** for **apartment**, **long-term care** and **retirement buildings**, shall be exclusive of washroom, wind screen, mechanical or architectural appurtenances such as mechanical equipment, mechanical penthouse, elevator machine rooms, telecommunication equipment and enclosures, **parapets**, turrets, cupolas, and elevator and stair enclosures, located on the roof of a dwelling provided that the maximum **height** of the top of such elements is no higher than 6.0 m above the **height** limit otherwise applicable		
4.15.4.40.5	Notwithstanding Sentence 4.15.4.40.4 of this Exception, maximum **height** of an elevator enclosure above the **height** of the mechanical penthouse		1.8 m
4.15.4.40.6	For the purposes of this By-law, all lands zoned RA3-40 shall be considered one **lot**		
4.15.4.40.7	Maximum encroachment of a **balcony** located above the **first storey**, sunroom, window, **chimney**, pilaster, cornice, balustrade or roof eaves into a required **yard**		1.5 m
4.15.4.40.8	Maximum projection of a **balcony** located above the **first storey** measured from the outermost face or faces of the **building** from which the **balcony** projects		1.5 m
4.15.4.40.9	Minimum number of resident **parking spaces** per **dwelling unit**		0.87
4.15.4.40.10	Minimum number of visitor **parking spaces** per **dwelling unit**		0.10