4.12 RM6 ZONE (TOWNHOUSES ON A CEC - ROAD)

4.12.1 RM6 Permitted Uses and Zone Regulations

All **buildings** and **structures** shall comply with the provisions contained in Parts 1 to 3 and Section 4.1 of this By-law, and the **uses** and zone regulations specified within the applicable zone column contained in Table 4.12.1 - RM6 Permitted Uses and Zone Regulations.

Table 4.12.1 - RM6 Permitted Uses and Zone Regulations
(0325-2008), (0379-2009), (0297-2013), (0190-2014), (0144-2016), (0174-2017), (0181-2018/LPAT Order 2019 February 15), (0018-2021), (0182-2024)

Column	**A**	**B**
Line 1.0	**ZONES**	**RM6**
PERMITTED USES		
2.0	RESIDENTIAL	
2.1	**Townhouses** on a **CEC - road**	✓
ZONE REGULATIONS		
3.0	MINIMUM **LOT AREA**	
3.1	**Interior lot**	115 m^2
3.2	**CEC - corner lot**	190 m^2
4.0	MINIMUM **LOT FRONTAGE**	
4.1	**Interior lot**	5.0 m
4.2	**CEC - corner lot**	8.3 m
5.0	MINIMUM **DWELLING UNIT WIDTH**	5.0 m
6.0	MINIMUM **FRONT YARD**	
6.1	**Interior lot/CEC - corner lot**	4.5 m (3)
6.2	Minimum setback from a **garage face** to a **street**, **CEC - road** or CEC - sidewalk	6.0 m
7.0	MINIMUM **EXTERIOR SIDE YARD**	
7.1	**Lot** with an **exterior side lot line** that is a **street line** of a designated right-of-way 20.0 m or greater identified in Subsection 2.1.14 of this By-law	7.5 m (3)
7.2	**Lot** with an **exterior side lot line** abutting a **street**	4.5 m (3)
7.3	**Lot** with an **exterior side lot line** abutting a **CEC - road**	4.5 m
7.4	**Lot** with an **exterior side lot line** abutting a CEC - sidewalk	3.3 m
7.5	Minimum setback from a **garage face** to a **street**, **CEC - road** or CEC - sidewalk	6.0 m
8.0	MINIMUM **INTERIOR SIDE YARD**	
8.1	**Attached side**	0.0 m
8.2	Unattached side	1.5 m (3)
8.3	Where **interior side lot line** is the **rear lot line** of an abutting parcel	2.5 m
9.0	MINIMUM **REAR YARD**	
9.1	**Interior lot/CEC - corner lot**	7.5 m (3)
9.2	**Wing wall**	3.0 m
10.0	MAXIMUM **HEIGHT**	10.7 m and 3 **storeys**

Table 4.12.1 continued on next page

Column	**A**	**B**
Line 1.0	**ZONES**	**RM6**
Table 4.12.1 continued from previous page		
11.0	MINIMUM **LANDSCAPED AREA**	25% of the **lot area**
12.0	ENCROACHMENTS, PROJECTIONS AND SETBACKS	
12.1	Maximum encroachment of a **porch** or **deck** inclusive of stairs located at and accessible from the **first storey** or below the **first storey** into the required **front** and **exterior side yards**	1.5 m (3)
12.2	Maximum encroachment of an awning, window, **chimney**, pilaster or corbel, window well, and stairs with a maximum of three risers, into the required **front** and **exterior side yards**	0.6 m (3)
12.3	Maximum encroachment of a **porch** or **deck** inclusive of stairs located at and accessible from the **first storey** or below the **first storey**, or awning into the required **rear yard**	5.0 m (3)
12.4	For a **lot** with a **townhouse** requiring a 0.0 m **interior side yard**, the setback to the **interior side yard lot line** from a **porch** or **deck** inclusive of stairs permitted in the **rear yard**, shall also be 0.0 m	✓
12.5	Maximum encroachment of a **balcony**, window, **chimney**, pilaster or corbel, window well, and stairs with a maximum of three risers, into the required **rear yard**	1.0 m (3)
12.6	Minimum setback of a **townhouse** to a CEC - visitor **parking space**	3.3 m
12.7	Minimum setback of a **townhouse** to a **CEC - amenity area**	1.5 m
13.0	ATTACHED **GARAGE**, PARKING AND **DRIVEWAY**	
13.1	Attached **garage**	Required (4)
13.2	*deleted by 0379-2009*	
13.3	Minimum **parking spaces**	✓ (5)
13.4	Minimum visitor **parking spaces**	✓ (5)(6)
13.5	Maximum **driveway** width	✓ (7)
14.0	**CEC - ROAD**, **AISLES** AND SIDEWALKS	
14.1	Minimum width of a **CEC - road**	7.0 m (8)
14.2	Minimum width of a **CEC - road** with an abutting parallel visitor **parking space**	6.0 m (8)
14.3	**CEC - roads** and **aisles** are permitted to be shared with abutting lands with the same Base Zone and/or Exception Zone	✓
14.4	Minimum width of a sidewalk	2.0 m
15.0	**ACCESSORY BUILDINGS** AND **STRUCTURES**	✓ (9)

NOTES:
(1) *deleted by 0018-2021.*
(2) *deleted by 0018-2021.*
(3) See also Subsections 4.1.7 and 4.1.8 of this By-law.
(4) See Subsection 4.1.12 of this By-law.
(5) See Part 3 of this By-law.
(6) See Article 4.1.14.1 of this By-law.
(7) See Subsection 4.1.9 of this By-law.
(8) See also Article 4.1.14.2 of this By-law.
(9) See Subsection 4.1.2 of this By-law.

4.12.2 RM6 Exception Zones

Refer to Article 1.1.2.3 - Exception Zones and Exception Zone Schedules

4.12.2.1	Exception: RM6-1	Map # 37W	By-law:
In a RM6-1 zone the permitted **uses** and applicable regulations shall be as specified for a RM6 zone except that the following **uses**/regulations shall apply:			
Regulations			
4.12.2.1.1	Maximum number of **dwelling units** on all lands zoned RM6-1		133
4.12.2.1.2	Trailer and recreational vehicle parking shall not be permitted		
4.12.2.1.3	Maximum **driveway** width		3.8 m

4.12.2.2	Exception: RM6-2	Map # 55	By-law: 0325-2008, 0181-2018/LPAT Order 2019 February 15
In a RM6-2 zone the permitted **uses** and applicable regulations shall be as specified for a RM6 zone except that the following **uses**/regulations shall apply:			
Regulations			
4.12.2.2.1	Maximum number of **dwelling units** on all lands zoned RM6-2		236
4.12.2.2.2	Minimum **lot area - interior lot**		109 m^2
4.12.2.2.3	Minimum **lot area - corner lot**		170 m^2
4.12.2.2.4	Minimum **lot frontage - interior lot**		4.27 m
4.12.2.2.5	Minimum **lot frontage - corner lot**		6.63 m
4.12.2.2.6	Minimum **exterior side yard**		1.8 m
4.12.2.2.7	Minimum setback to Tenth Line West		4.5 m
4.12.2.2.8	Minimum setback to Terragar Boulevard		16.0 m
4.12.2.2.9	Maximum encroachment of a **porch** including stairs into a required **yard** that abuts a **CEC - amenity area**		1.1 m
4.12.2.2.10	Trailer and recreational vehicle parking shall not be permitted		
4.12.2.2.11	Maximum **driveway** width		3.8 m
4.12.2.2.12	Minimum width of the paved portion of a **CEC - road** may be reduced as identified on Schedule RM6-2 of this Exception		
4.12.2.2.13	Maximum projection of a **balcony** or **deck** into a required **rear yard**		2.5 m
4.12.2.2.14	All site development plans shall comply with Schedule RM6-2 of this Exception		

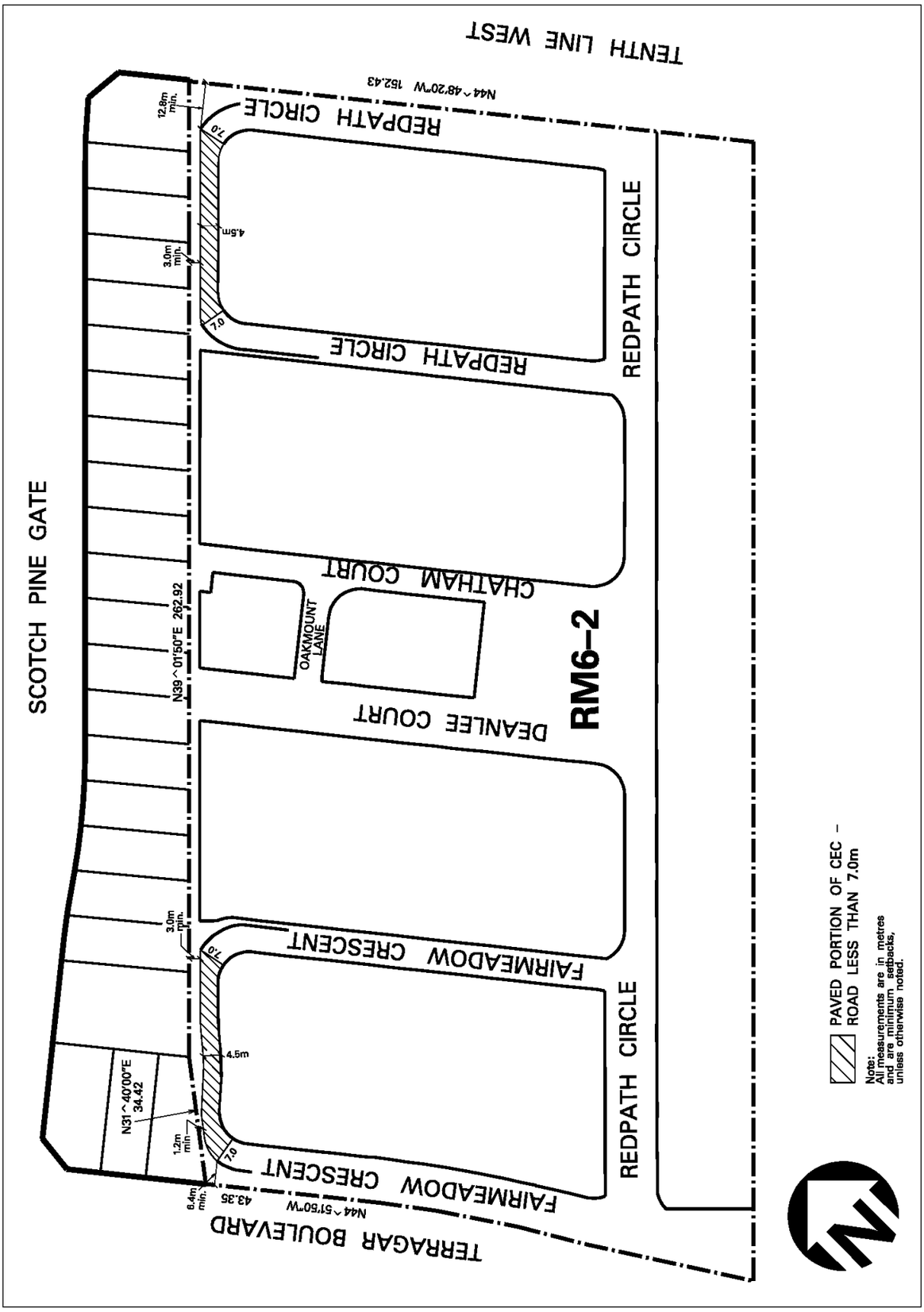

Schedule RM6-2
Map 55

4.12.2.3	Exception: RM6-3	Map # 38E	By-law: 0181-2018/LPAT Order 2019 February 15, 0208-2022
In a RM6-3 zone the permitted **uses** and applicable regulations shall be as specified for a RM6 zone except that the following **uses**/regulations shall apply:			
Regulations			
4.12.2.3.1	Maximum number of **dwelling units** on all lands zoned RM6-3		42
4.12.2.3.2	Maximum **gross floor area - residential**		0.75 times the **lot area**
4.12.2.3.3	Minimum **landscaped area**		39.6% of the **lot area**
4.12.2.3.4	Maximum encroachment of awnings, window projections with or without a foundation and architectural features, such as, but not limited to, **chimneys**, pilasters and corbels outside the **buildable area** identified on Schedule RM6-3 of this Exception, into required **front** and **rear yards**		0.6 m
4.12.2.3.5	Maximum encroachment of awnings, window projections with or without a foundation and architectural features, such as, but not limited to, **chimneys**, pilasters and corbels outside the **buildable area** identified on Schedule RM6-3 of this Exception, into required **interior** and **exterior side yards**		0.3 m
4.12.2.3.6	Maximum encroachment of a **porch**, exclusive of stairs, outside **Buildable Areas** 'A', 'B' and 'C' identified on Schedule RM6-3 of this Exception into the required **front yard**		1.5 m
4.12.2.3.7	Maximum encroachment of a **balcony**/**deck** outside the **buildable area** identified on Schedule RM6-3 of this Exception, into the required **rear yard**		2.5 m
4.12.2.3.8	Trailer and recreational vehicle parking shall not be permitted		
4.12.2.3.9	Minimum number of additional CEC - visitor **parking spaces** to be provided within the **common element** area		6
4.12.2.3.10	All **lot lines** abutting Eglinton Avenue West and Terry Fox Way shall be deemed to be the front lot line		
4.12.2.3.11	Maximum **driveway** width		3.8 m
4.12.2.3.12	"Front Lot Line" means the line that divides a **lot** from a **CEC - road** or a **street**		
4.12.2.3.13	All site development plans shall comply with Schedule RM6-3 of this Exception		

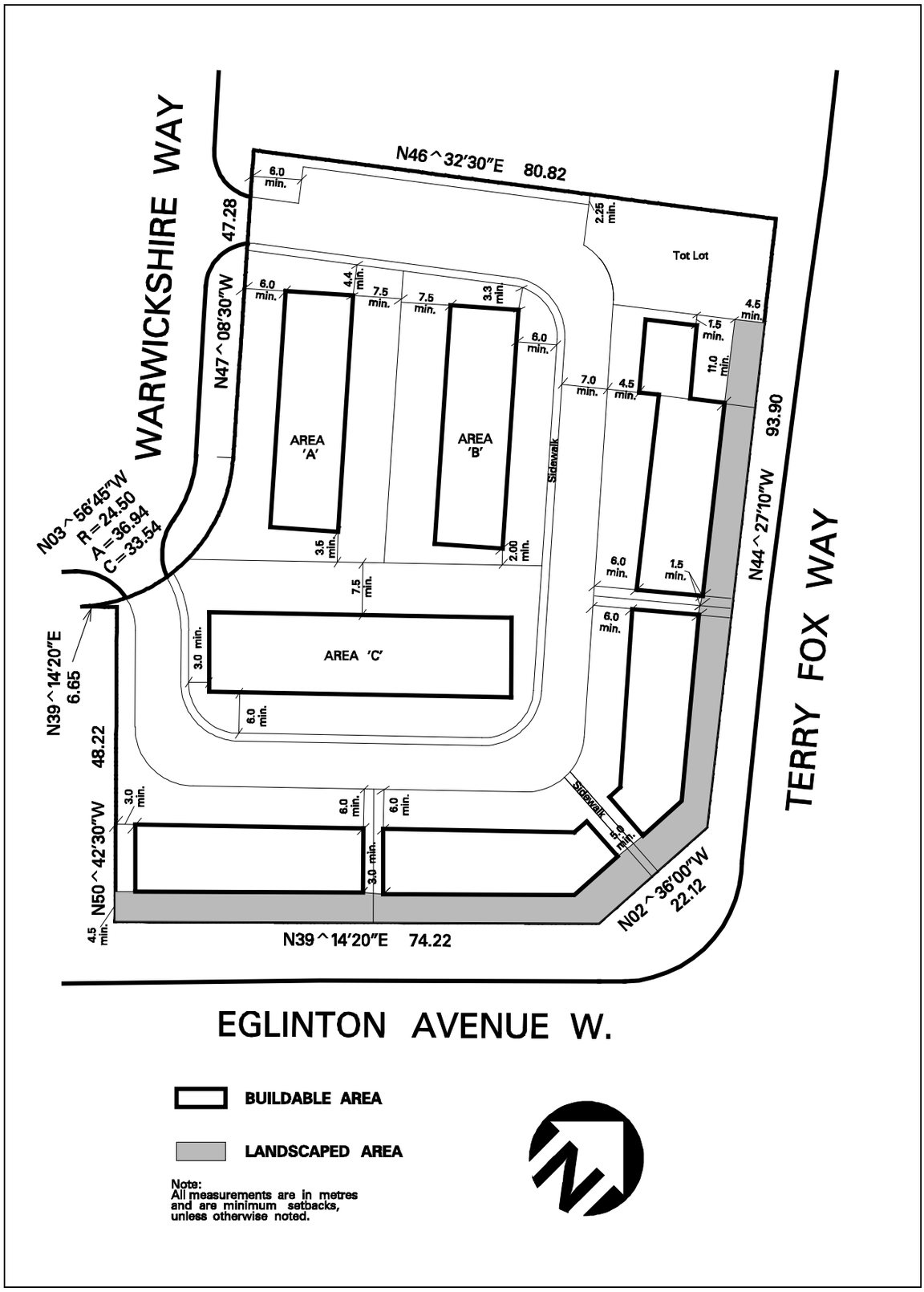

Schedule RM6-3
Map 38E

4.12.2.4	Exception: RM6-4	Map # 20	By-law: 0181-2018/LPAT Order 2019 February 15
In a RM6-4 zone the permitted **uses** and applicable regulations shall be as specified for a RM6 zone except that the following **uses**/regulations shall apply:			
Regulations			
4.12.2.4.1	Maximum number of **dwelling units** on all lands zoned RM6-4		71
4.12.2.4.2	Minimum **rear yard - lot** that abuts Palstan Road		4.5 m
4.12.2.4.3	Minimum setback to a **CEC - road sight triangle**		3.3 m
4.12.2.4.4	Trailer and recreational vehicle parking shall not be permitted		
4.12.2.4.5	Maximum **driveway** width		3.8 m
4.12.2.4.6	All site development plans within Area 'A' shall comply with Schedule RM6-4 of this Exception		

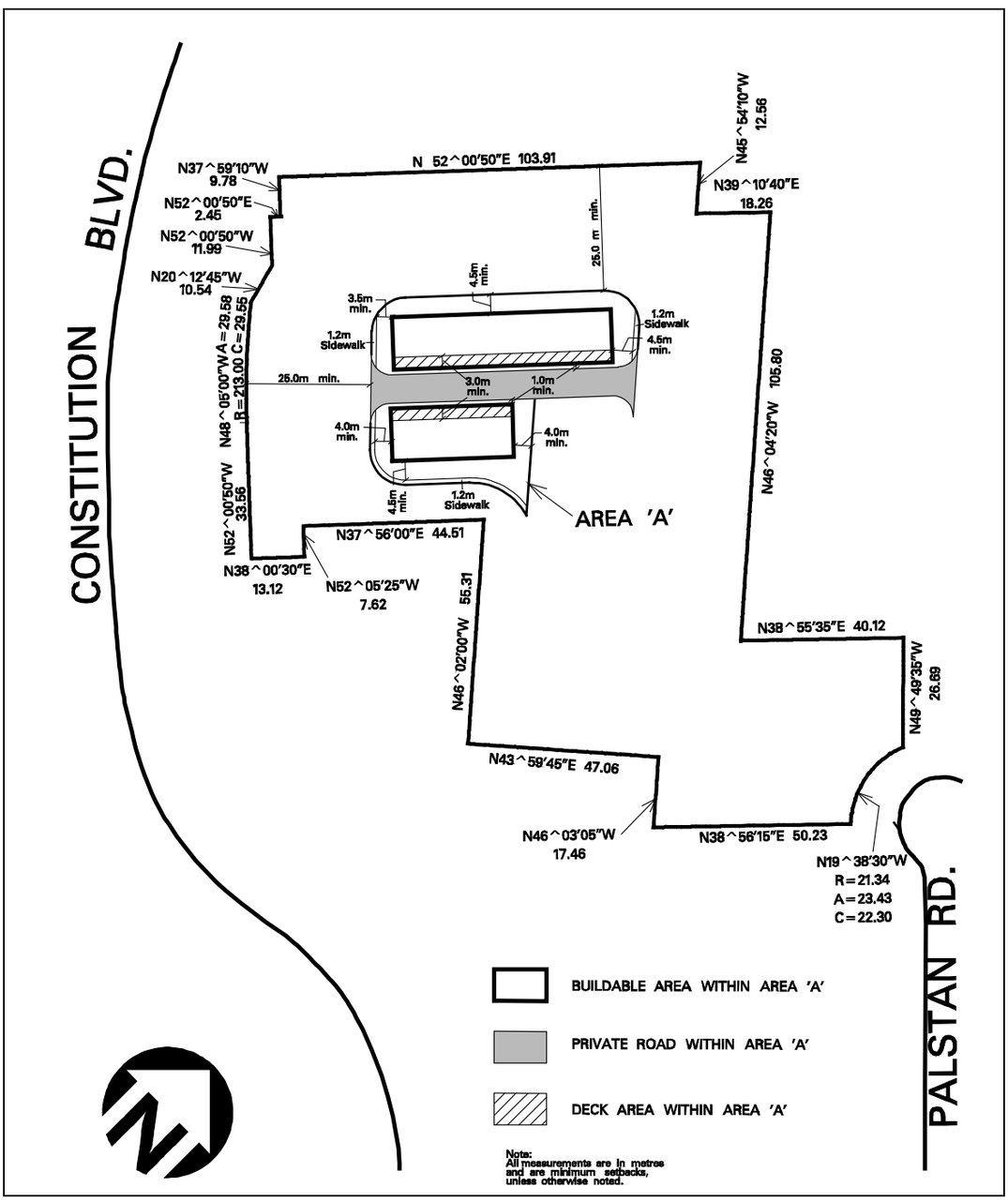

Schedule RM6-4
Map 20

4.12.2.5	Exception: RM6-5	Map # 27	By-law:
In a RM6-5 zone the permitted **uses** and applicable regulations shall be as specified for a RM6 zone except that the following **uses**/regulations shall apply:			
Regulations			
4.12.2.5.1	Maximum number of **dwelling units** on all lands zoned RM6-5		98
4.12.2.5.2	Trailer and recreational vehicle parking shall not be permitted		
4.12.2.5.3	Maximum **driveway** width		3.8 m

4.12.2.6	Exception: RM6-6	Map # 40E	By-law: 0181-2018/LPAT Order 2019 February 15
In a RM6-6 zone the permitted **uses** and applicable regulations shall be as specified for a RM6 zone except that the following **uses**/regulations shall apply:			
Regulations			
4.12.2.6.1	Maximum number of **dwelling units** on all lands zoned RM6-6		135
4.12.2.6.2	Setbacks required to **lot lines** adjacent to a **CEC - road** shall be measured to that edge of the curb adjacent to the property line		
4.12.2.6.3	Trailer and recreational vehicle parking shall not be permitted		
4.12.2.6.4	Maximum **driveway** width		3.8 m

4.12.2.7	Exception: RM6-7	Map # 20	By-law: 0390-2007, 0181-2018/LPAT Order 2019 February 15
In a RM6-7 zone the permitted **uses** and applicable regulations shall be as specified for a RM6 zone except that the following **uses**/regulations shall apply:			
Regulations			
4.12.2.7.1	Maximum number of **dwelling units** on all lands zoned RM6-7		71
4.12.2.7.2	Minimum setback to a **street**		7.5 m
4.12.2.7.3	Minimum setback to a **CEC - road sight triangle**		3.3 m
4.12.2.7.4	Maximum projection of a **balcony** or **deck** into the required **rear yard**		2.5 m
4.12.2.7.5	Maximum projection of a **porch** or **deck** into the required **exterior side yard**		0.3 m
4.12.2.7.6	Trailer and recreational vehicle parking shall not be permitted		
4.12.2.7.7	Maximum **driveway** width		3.8 m

4.12.2.8	Exception: RM6-8	Map # 36E	By-law: 0181-2018/LPAT Order 2019 February 15
In a RM6-8 zone the permitted **uses** and applicable regulations shall be as specified for a RM6 zone except that the following **uses**/regulations shall apply:			
Regulations			
4.12.2.8.1	Maximum number of **dwelling units** on all lands zoned RM6-8		163
4.12.2.8.2	Minimum setback to a **street**		7.5 m
4.12.2.8.3	Minimum setback to a **CEC - road sight triangle**		3.3 m
4.12.2.8.4	Maximum projection of a **balcony** or **deck** into the required **rear yard**		2.5 m
4.12.2.8.5	Maximum projection of a **porch** or **deck** into the required **exterior side yard**		0.3 m
4.12.2.8.6	Trailer and recreational vehicle parking shall not be permitted		
4.12.2.8.7	Maximum **driveway** width		3.8 m

4.12.2.9	Exception: RM6-9	Map # 19	By-law: OMB Order 2008 March 27, 0196-2010, 0308-2011, 0174-2017, 0181-2018/LPAT Order 2019 February 15, 0208-2022
In a RM6-9 zone the permitted **uses** and applicable regulations shall be as specified for a RM6 zone except that the following **uses**/regulations shall apply:			
Additional Permitted Uses			
4.12.2.9.1	(1) **Semi-detached** on a **CEC - road** (2) A model home		
Regulations			
4.12.2.9.2	A townhouse on a CEC - road and a **semi-detached** on a **CEC - road** shall comply with the RM6 zone regulations except that:		
	(1)	the provisions contained in Subsection 2.1.14, Article 4.1.12.3 and the regulations of Lines 3.1, 3.2, 4.1, 4.2, 12.6 and 13.2 contained in Table 4.12.1 of this By-law shall not apply	
	(2)	maximum number of townhouse **dwelling units** on all lands zoned RM6-9	96
	(3)	maximum number of semi-detached **dwelling units** on all lands zoned RM6-9	24
	(4)	maximum **gross floor area - residential** on all lands zoned RM6-9	1.2 times the **lot area**
	(5)	minimum **landscaped area** on all lands zoned RM6-9	20% of the **lot area**
	(6)	minimum **dwelling unit width**	4.2 m
	(7)	maximum **height**	12.4 m
	(8)	maximum encroachment of awnings, window projections with or without a foundation and architectural features, such as but not limited to, **chimneys**, pilasters and corbels outside the **buildable area** identified on Schedule RM6-9 of this Exception, into the **front**, **rear** and **exterior side yards** of the **dwelling unit**	0.8 m

Exception RM6-9 continued on next page

4.12.2.9	Exception: RM6-9	Map # 19	By-law: OMB Order 2008 March 27, 0196-2010, 0308-2011, 0174-2017, 0181-2018/LPAT Order 2019 February 15, 0208-2022

Exception RM6-9 continued from previous page

4.12.2.9.2 (continued)	(9)	maximum encroachment of a planter box and retaining wall, outside the **buildable area** identified on Schedule RM6-9 of this Exception, into a **front yard** of the **dwelling unit**	2.1 m
	(10)	maximum encroachment of a planter box, outside the **buildable area** for Block 'H' identified on Schedule RM6-9 of this Exception, into a **rear yard** of the **dwelling unit**	4.1 m
	(11)	air conditioning units shall only be permitted on a **balcony** area identified on Schedule RM6-9 of this Exception	
	(12)	minimum number of visitor **parking spaces** per **dwelling unit** on all lands zoned RM6-9	0.21
	(13)	trailer and recreational vehicle parking shall not be permitted	
	(14)	minimum width of the paved portion of a **CEC - road** may be reduced as identified on Schedule RM6-9 of this Exception	
	(15)	minimum width of a CEC - sidewalk	1.2 m
	(16)	in Clause 4.12.2.9.2(9) of this Exception, the **yard** abutting Burnhamthorpe Road East shall be deemed to be the **front yard** in Blocks A and B identified on Schedule RM6-9 of this Exception	
	(17)	in Clause 4.12.2.9.2(9) of this Exception, the **yard** abutting Pagehurst Avenue shall be deemed to be the **front yard** for **semi-detached** on a **CEC - road** identified on Schedule RM6-9 of this Exception	
	(18)	"Townhouse on a CEC - Road" means one of more than two attached **dwelling units**, not exceeding four storeys in **height** that are divided vertically above grade by a **party wall** at least 5.0 m in length and at least 2.0 m in **height**, having a frontage on a **CEC - road**	
	(19)	**Tandem parking spaces** within a **garage** may be included in the calculation of the number of **parking spaces** required	
	(20)	all site development plans shall comply with Schedule RM6-9 of this Exception	
	(21)	for the purposes of this By-law, all lands zoned RM6-9 shall be considered one property	
4.12.2.9.3	A model home shall comply with the following:		
	(1)	maximum number of **dwelling units**	12
	(2)	shall only be located in Block A or B identified on Schedule RM6-9 of this Exception	
	(3)	shall comply with Sentence 4.12.2.9.2 of this Exception, except Clause 4.12.2.9.2(12) of this Exception	
	(4)	"Model Home" means a townhouse on a CEC - road constructed for the purpose of display and sale of **dwelling units**	

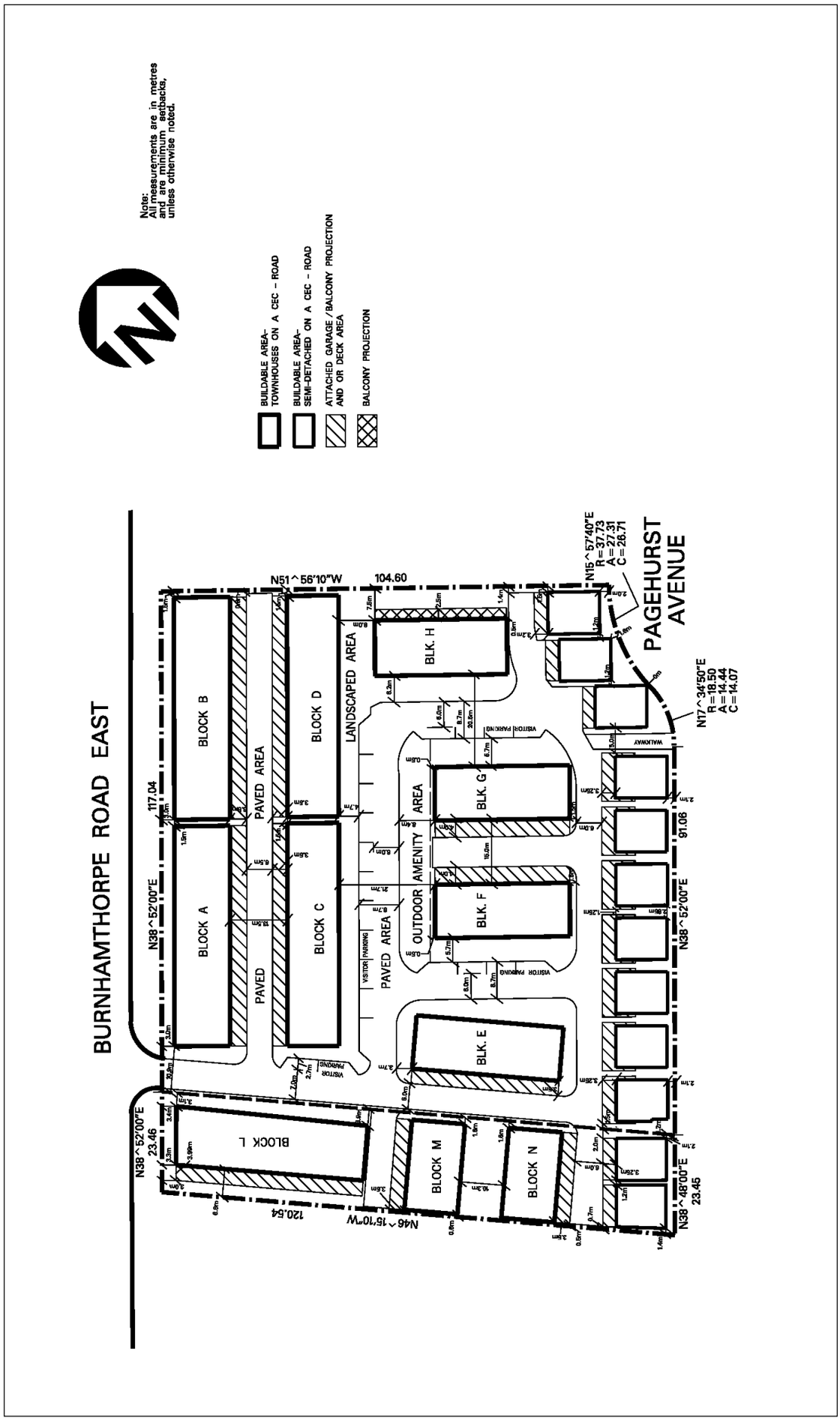

Schedule RM6-9
Map 19

4.12.2.10	Exception: RM6-10	Map # 03	By-law: 0281-2008, 0410-2008, 0181-2018/LPAT Order 2019 February 15, 0208-2022
In a RM6-10 zone the permitted **uses** and applicable regulations shall be as specified for a RM6 zone except that the following **uses**/regulations shall apply:			
Additional Permitted Use			
4.12.2.10.1	(1) **Detached dwelling** on a **CEC - road**		
Regulations			
4.12.2.10.2	Maximum number of **townhouses** on a **CEC - road** in Area 'A' identified on Schedule RM6-10 of this Exception		61
4.12.2.10.3	Maximum number of **detached dwellings** on a **CEC - road** in Area 'A' identified on Schedule RM6-10 of this Exception		2
4.12.2.10.4	Maximum number of **townhouses** on a **CEC - road** in Area 'B' identified on Schedule RM6-10 of this Exception		18
4.12.2.10.5	Minimum **lot area - interior lot**		111 m^2
4.12.2.10.6	Minimum **lot area - corner lot**		166 m^2
4.12.2.10.7	Minimum **lot frontage - corner lot**		7.3 m
4.12.2.10.8	The **lot lines** abutting Lakeshore Road West or Southdown Road shall be deemed to be the **front lot line**		
4.12.2.10.9	Maximum encroachment of a **porch** or **deck** inclusive of stairs located at and accessible from the **first storey** or below the **first storey** into the required **front** and **exterior side yards** outside the **buildable area** identified on Schedule RM6-10 of this Exception		1.5 m
4.12.2.10.10	Maximum encroachment of an awning, window, **chimney**, pilaster or corbel, window well, and stairs with a maximum of three risers into the required **front** and **exterior side yards** outside the **buildable area** identified on Schedule RM6-10 of this Exception		0.6 m
4.12.2.10.11	Maximum encroachment of a **porch** or **deck** inclusive of stairs located at and accessible from the **first storey** or below the **first storey**, or awning into the required **rear yard** outside the **buildable area** identified on Schedule RM6-10 of this Exception		5.0 m
4.12.2.10.12	For a **lot** with a **townhouse** requiring a 0.0 m **interior side yard**, the setback to the **interior side lot line** from a **porch** or **deck** inclusive of stairs permitted in the **rear yard**, shall also be 0.0 m		
4.12.2.10.13	Maximum encroachment of a window, **chimney**, heating and/or air conditioning equipment, pilaster or corbel, window well, and stairs with a maximum of three risers into the required **rear yard** outside the **buildable area** identified on Schedule RM6-10 of this Exception		1.0 m
4.12.2.10.14	Maximum encroachment of a **balcony** into the required **rear yard** outside the **buildable area** identified on Schedule RM6-10 of this Exception		2.5 m
4.12.2.10.15	A **townhouse** on a **CEC - road** fronting on Lakeshore Road West or Southdown Road is permitted to have a **balcony** with a maximum area of 16.5 m^2 on top of an attached **garage** provided that the balcony does not project beyond the **garage face**		
4.12.2.10.16	Trailer and recreational vehicle parking shall not be permitted		
4.12.2.10.17	Maximum **driveway** width, unless otherwise identified on Schedule RM6-10 of this Exception		3.0 m

Exception RM6-10 continued on next page

4.12.2.10	Exception: RM6-10	Map # 03	By-law: 0281-2008, 0410-2008, 0181-2018/LPAT Order 2019 February 15, 0208-2022
Exception RM6-10 continued from previous page			
4.12.2.10.18	Minimum setback from a **garage face** to a **street**, **CEC - road** or CEC - sidewalk unless otherwise identified on Schedule RM6-10 of this Exception		6.0 m
4.12.2.10.19	Minimum distance from a **porch** to visitor **parking spaces**		2.2 m
4.12.2.10.20	All site development plans shall comply with Schedule RM6-10 of this Exception		

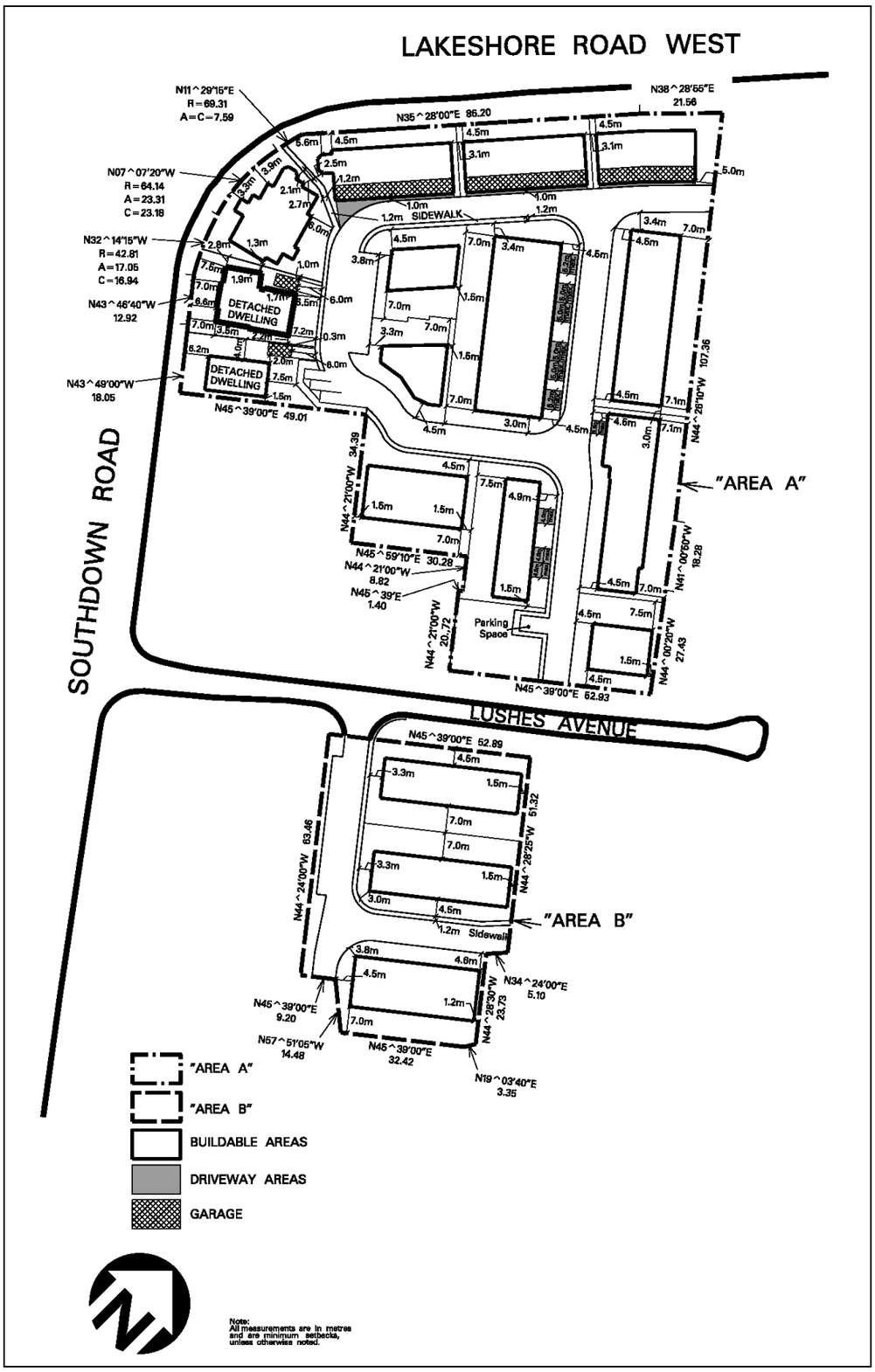

Schedule RM6-10
Map 03

4.12.2.11	Exception: RM6-11	Map # 52E	By-law: 0403-2008, 0181-2018/LPAT Order 2019 February 15, 0048-2025
In a RM6-11 zone the permitted **uses** and applicable regulations shall be as specified for a RM6 zone except that the following **uses**/regulations shall apply:			
Regulations			
4.12.2.11.1	The provisions contained in Subsection 2.1.14 of this By-law shall not apply		
4.12.2.11.2	Minimum setback to McLaughlin Road		6.0 m
4.12.2.11.3	Minimum **exterior side yard** within 25.0 m of McLaughlin Road		2.7 m
4.12.2.11.4	Maximum **building height** within 30.0 m of all lands zoned RS		11.3 m
4.12.2.11.5	Minimum width of a **CEC - road** within 45.0 m of McLaughlin Road		6.0 m
4.12.2.11.6	Maximum **driveway** width		3.2 m

4.12.2.12	Exception: RM6-12	Map # 07	By-law: OMB Order 2009 February 04, *deleted by 0222-2015*, 0076-2017, 0181-2018/LPAT Order 2019 February 15
In a RM6-12 zone the permitted **uses** and applicable regulations shall be as specified for a RM6 zone except that the following **uses**/regulations shall apply:			
Regulations			
4.12.2.12.1	The provision of Line 7.1 contained in Table 4.12.1 of this By-law shall not apply		
4.12.2.12.2	Minimum **lot area - interior lot**		135 m^2
4.12.2.12.3	Minimum setback of all **buildings** and **structures** to a **sight triangle**		2.0 m
4.12.2.12.4	Minimum **exterior side yard** abutting South Service Road		3.0 m
4.12.2.12.5	Notwithstanding the RM6 zone, a maximum of eight **townhouses** shall be permitted to front a **street**		

4.12.2.13	Exception: RM6-13	Map # 36W	By-law: 0088-2013/OMB Order 2013 November 18, 0259-2020, 0208-2022
In a RM6-13 zone the permitted **uses** and applicable regulations shall be as specified for a RM6 zone except that the following **uses**/regulations shall apply:			
Regulations			
4.12.2.13.1	Maximum number of **dwelling units** on all lands zoned RM6-13 excluding lands in **Buildable Area** 'A' identified on Schedule RM6-13 of this Exception		30
4.12.2.13.2	Maximum number of **dwelling units** on lands in **Buildable Area** 'A' identified on Schedule RM6-13 of this Exception		4
4.12.2.13.3	Maximum **height**		13.0 m
4.12.2.13.4	Trailer and recreational vehicle parking shall not be permitted		
4.12.2.13.5	Maximum **driveway** width		3.8 m
4.12.2.13.6	All site development plans shall comply with Schedule RM6-13 of this Exception		

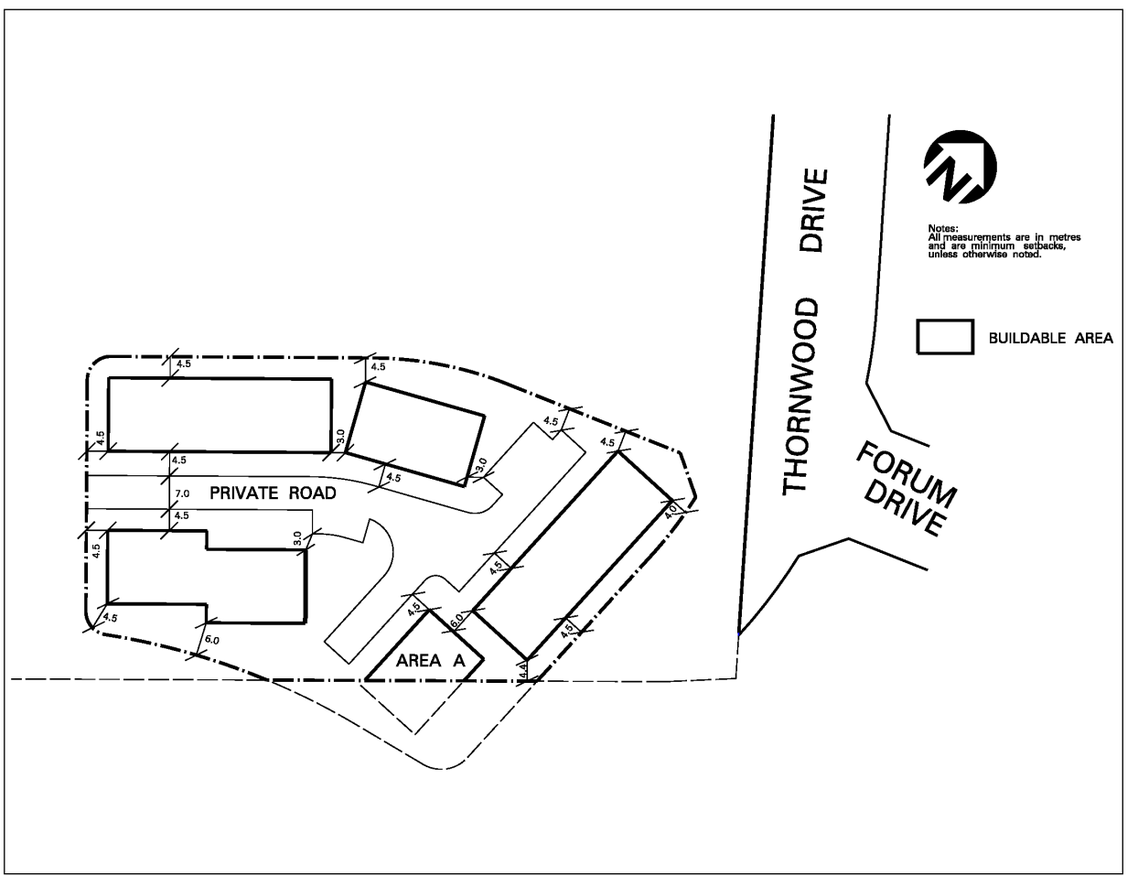

Schedule RM6-13
Map 36W

4.12.2.14	Exception: RM6-14	Map # 38E	By-law: 0132-2012, 0181-2018/LPAT Order 2019 February 15

In a RM6-14 zone the permitted **uses** and applicable regulations shall be as specified for a RM6 zone except that the following **uses**/regulations shall apply:

Regulations		
4.12.2.14.1	Maximum number of **dwelling units** on all lands zoned RM6-14	104
4.12.2.14.2	Minimum **lot area - corner lot**	127 m^2
4.12.2.14.3	Minimum **lot frontage - corner lot**	5.1 m
4.12.2.14.4	Minimum **exterior side yard** abutting Creditview Road	4.5 m
4.12.2.14.5	Minimum **exterior side yard** abutting a **CEC - road**	2.6 m
4.12.2.14.6	Minimum **interior side yard** - unattached side	1.2 m
4.12.2.14.7	Minimum **rear yard**	7.0 m
4.12.2.14.8	Notwithstanding Sentence 4.12.2.14.7, minimum **rear yard** for a minimum of 12 **dwelling units** with a **rear lot line** abutting the southerly RM6-14 zone boundary	8.2 m
4.12.2.14.9	Minimum setback of a **townhouse** to a CEC - visitor **parking space**	2.0 m

4.12.2.15	Exception: RM6-15	Map # 15	By-law: OMB Order 2015 January 22, 0130-2017, 0181-2018/LPAT Order 2019 February 15, 0199-2024

In a RM6-15 zone the permitted **uses** and applicable regulations shall be as specified for a RM6 zone except that the following **uses**/regulations shall apply:

Regulations		
4.12.2.15.1	The provisions of Line 12.5 contained in Table 4.12.1 of this By-law shall not apply	
4.12.2.15.2	Maximum number of **dwelling units**	120
4.12.2.15.3	Minimum outdoor **amenity area**	650 m^2
4.12.2.15.4	Minimum **landscaped area**	22%
4.12.2.15.5	Maximum encroachment of a **porch** or **deck** inclusive of stairs located at and accessible from the **first storey** or below the **first storey** or a **balcony** into the required **front**, **rear** and **exterior side yards**	3.0 m
4.12.2.15.6	**Driveways**, **aisles** and **CEC - roads** may be shared with abutting lands zoned C4-8	
4.12.2.15.7	Minimum width of a sidewalk	1.2 m
4.12.2.15.8	A **townhouse** on a **CEC - road** located in Area 'A' identified on Schedule RM6-15 of this Exception shall comply with the RM6 zone regulations except that:	
	(1) minimum **lot area - interior lot**	85 m^2
	(2) minimum **lot area - corner lot**	110 m^2
	(3) minimum **lot frontage - interior lot**	4.75 m
	(4) minimum **lot frontage - corner lot**	6.25 m

Exception RM6-15 continued on next page

4.12.2.15	Exception: RM6-15	Map # 15	By-law: OMB Order 2015 January 22, 0130-2017, 0181-2018/LPAT Order 2019 February 15, 0199-2024

Exception RM6-15 continued from previous page

4.12.2.15.8 (continued)	(5)	minimum **dwelling unit width**	4.75 m
	(6)	minimum **front yard**	1.5 m
	(7)	minimum **exterior side yard**	3.0 m
	(8)	minimum setback from a **garage face** to a **CEC - road** or CEC - sidewalk	5.5 m
	(9)	minimum **rear yard - interior lot**	1.0 m
	(10)	maximum **height**	12.5 m
	(11)	maximum **driveway** width	4.75 m
4.12.2.15.9	A **townhouse** on a **CEC - road** located in Area 'B' identified on Schedule RM6-15 of this Exception shall comply with the RM6 zone regulations except that:		
	(1)	minimum **lot area - interior lot**	120 m^2
	(2)	minimum **lot area - corner lot**	190 m^2
	(3)	minimum **lot frontage - interior lot**	5.0 m
	(4)	minimum **lot frontage - corner lot**	8.0 m
	(5)	minimum **front yard**	4.5 m
	(6)	minimum setback from a **garage face** to a **CEC - road** or CEC - sidewalk	5.5 m
	(7)	minimum **rear yard**	6.5 m
	(8)	maximum **height**	12.0 m
	(9)	minimum setback of a **townhouse** on a **CEC - road** to a CEC - visitor **parking space**	3.0 m
4.12.2.15.10	A **townhouse** on a **CEC - road** located in Area 'C' identified on Schedule RM6-15 of this Exception shall comply with the RM6 zone regulations except that:		
	(1)	minimum **lot area - interior lot**	110 m^2
	(2)	minimum **lot area - exterior lot**	170 m^2
	(3)	minimum **lot frontage - interior lot**	5.0 m
	(4)	minimum **lot frontage - exterior lot**	8.0 m
	(5)	minimum **front yard**	4.5 m
	(6)	minimum side yard setback to abutting lands zoned C4-8	0.0 m
	(7)	minimum **exterior side yard** for a **lot** with an **exterior side yard** abutting a **street**	3.5 m
	(8)	minimum setback from a **garage face** to a **CEC - road** or CEC - sidewalk	5.5 m
	(9)	minimum **rear yard**	6.5 m
	(10)	maximum **height**	12.0 m
	(11)	minimum setback of a **townhouse** on a **CEC - road** to a CEC - visitor **parking space**	3.0 m
4.12.2.15.11	A **townhouse** on a **CEC - road** located in Area 'D' identified on Schedule RM6-15 of this Exception shall comply with the RM6 zone regulations except that:		
	(1)	minimum **lot area - interior lot**	70 m^2
	(2)	minimum **lot area - corner lot**	98 m^2
	(3)	minimum **lot frontage - interior lot**	6.1 m

Exception RM6-15 continued on next page

4.12.2.15	Exception: RM6-15	Map # 15	By-law: OMB Order 2015 January 22, 0130-2017, 0181-2018/LPAT Order 2019 February 15, 0199-2024

Exception RM6-15 continued from previous page

4.12.2.15.11 (continued)	(4)	minimum **lot frontage - corner lot**	9.1 m
	(5)	minimum **dwelling unit width**	6.1 m
	(6)	minimum **front yard** abutting a **CEC - road**	3.0 m
	(7)	minimum **exterior side yard** abutting a **CEC - road**	3.0 m
	(8)	minimum setback from a **garage face** to a **CEC - road** or CEC - sidewalk	5.5 m
	(9)	minimum **rear yard**	0.0 m
	(10)	maximum **height**	12.0 m
4.12.2.15.12	All site development plans shall comply with Schedule RM6-15 of this Exception		

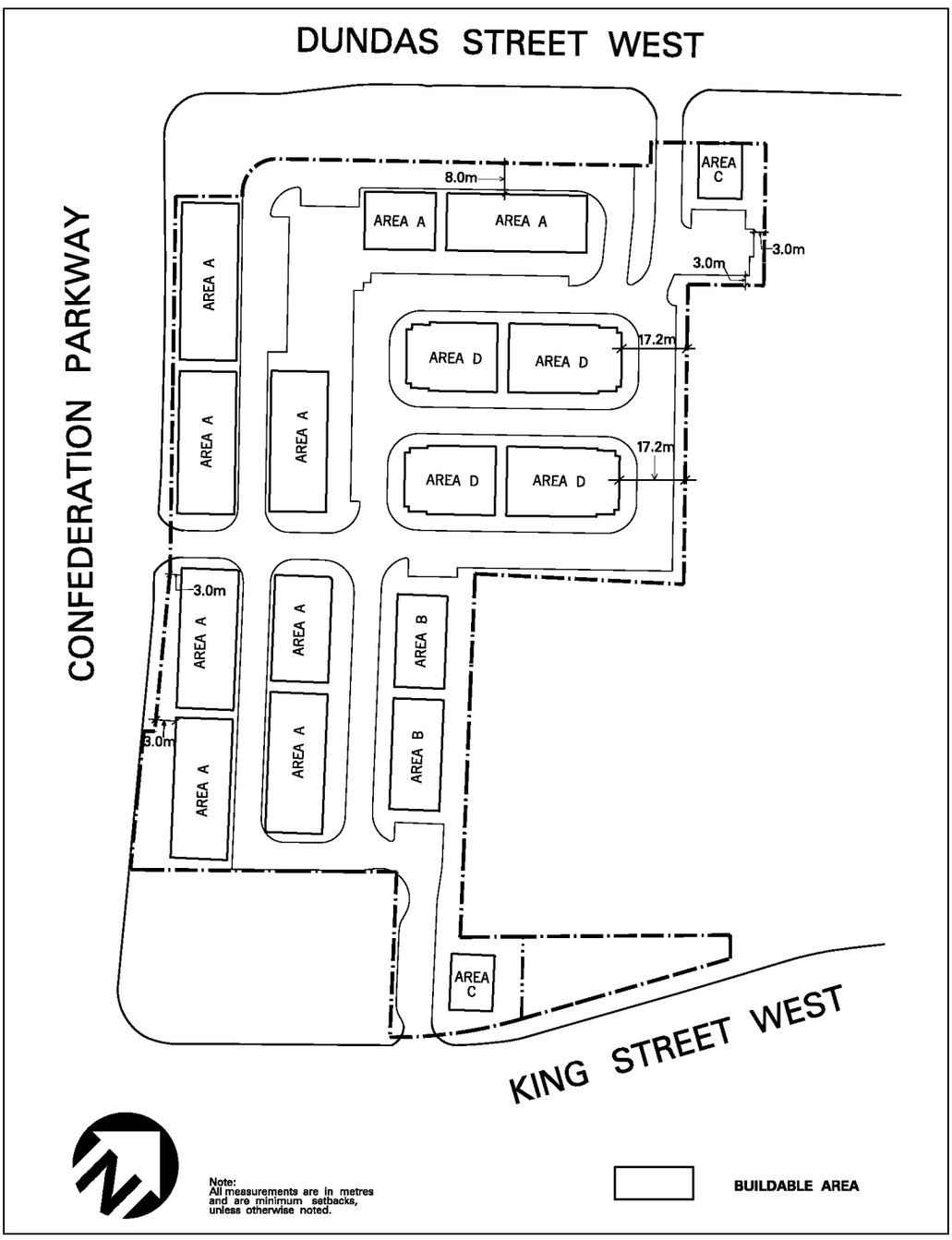

Schedule RM6-15
Map 15

4.12.2.16	Exception: RM6-16	Map # 07	By-law: 0222-2013, 0181-2018/LPAT Order 2019 February 15
In a RM6-16 zone the permitted **uses** and applicable regulations shall be as specified for a RM6 zone except that the following **uses**/regulations shall apply:			
Regulations			
4.12.2.16.1	Minimum **exterior side yard - lot** with an **exterior side lot line** abutting a **CEC - road**		3.0 m
4.12.2.16.2	Minimum **interior side yard - lot** with an **interior side lot line** abutting a C4-61 zone		2.0 m
4.12.2.16.3	Minimum **interior side yard - lot** with an **interior side lot line** abutting a C4-14 zone		1.2 m
4.12.2.16.4	Maximum **driveway** width of a **dwelling unit** with a two car **garage**		5.0 m
4.12.2.16.5	Maximum encroachment of a **balcony** into the required **rear yard**		1.5 m
4.12.2.16.6	**Driveways**, **aisles**, and visitor parking may be shared with abutting lands zoned C4-61		
4.12.2.16.7	For the purposes of this By-law, all lands zoned RM6-16 and C4-61 shall be considered as one **lot**		

4.12.2.17	Exception: RM6-17	Map 08	By-law: 0189-2014, 0181-2018/LPAT Order 2019 February 15, 0208-2022
In a RM6-17 zone the permitted **uses** and applicable regulations shall be as specified for a RM6 zone except that the following **uses**/regulations shall apply:			
Regulations			
4.12.2.17.1	Minimum **lot area - interior lot**		82 m^2
4.12.2.17.2	Minimum **lot area - corner lot**		140 m^2
4.12.2.17.3	Minimum **lot frontage - interior lot**		6.0 m
4.12.2.17.4	Minimum **lot frontage - corner lot**		7.0 m
4.12.2.17.5	Minimum **dwelling unit width**		6.0 m
4.12.2.17.6	Maximum **height**		13.0 m and 4 **storeys**
4.12.2.17.7	Maximum encroachment of a **porch** or **deck** inclusive of stairs located at and accessible from the **first storey** outside the **buildable area** identified on Schedule RM6-17 of this Exception		1.9 m
4.12.2.17.8	Maximum encroachment of a **balcony** outside the **buildable area** identified on Schedule RM6-17 of this Exception		1.9 m
4.12.2.17.9	Maximum **driveway** width		6.0 m
4.12.2.17.10	"Townhouse" means a **building** or **structure** not exceeding four **storeys** in **height** consisting of more than two attached **dwelling units**, which are divided vertically above grade by a **party wall** at least 5.0 m in length and at least 2.0 m in **height**, and having a **yard** abutting at least two exterior walls of each **dwelling unit**		
4.12.2.17.11	All site development plans shall comply with Schedule RM6-17 of this Exception		

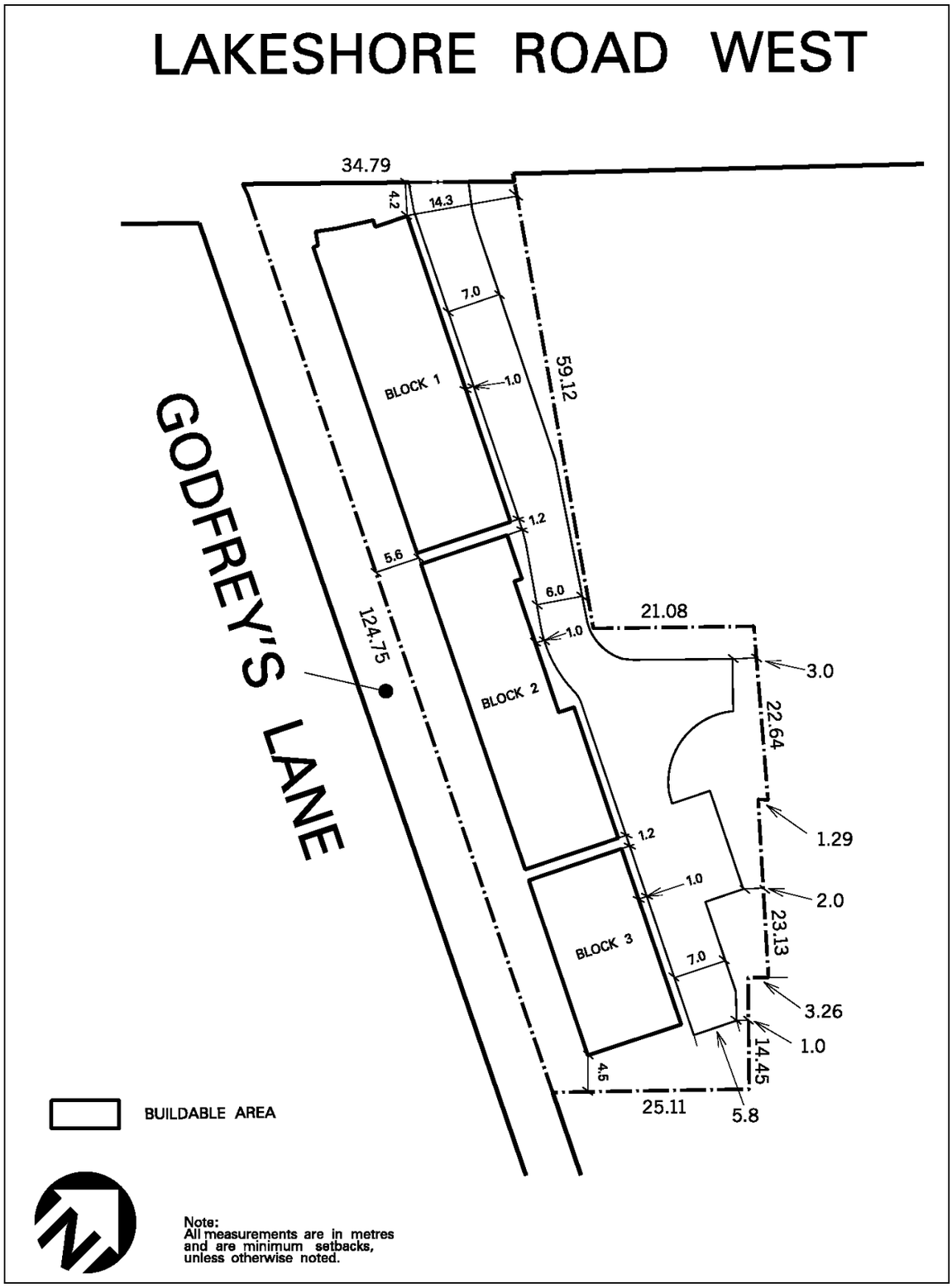

Schedule RM6-17
Map 08

4.12.2.18	Exception: RM6-18	Map # 07	By-law: OMB Order 2017 November 28, 0181-2018/LPAT Order 2019 February 15, 0126-2019

In a RM6-18 zone the permitted **uses** and applicable regulations shall be as specified for a RM6 zone except that the following **uses**/regulations shall apply:

Regulations		
4.12.2.18.1	The provisions contained in Subsection 2.1.14 and the regulations of Lines 10.0 and 12.1 contained in Table 4.12.1 of this By-law shall not apply	
4.12.2.18.2	Maximum number of **dwelling units** on all lands zoned RM6-18	20
4.12.2.18.3	Minimum **lot area - CEC - corner lot**	189 m^2
4.12.2.18.4	All **lot lines** abutting Crestview Avenue shall be deemed to be the front lot line	
4.12.2.18.5	Minimum **exterior side yard** setback to:	
	(1) **CEC - road**	4.0 m
	(2) CEC - sidewalk	2.5 m
4.12.2.18.6	Minimum **exterior side yard** setback of a **porch** or **deck**, exclusive of stairs, located at and accessible from the **first storey** or below the **first storey** to:	
	(1) **CEC - road**	2.9 m
	(2) CEC - sidewalk	1.6 m
4.12.2.18.7	Minimum **rear yard**	6.5 m
4.12.2.18.8	Maximum **height - highest ridge**	10.5 m
4.12.2.18.9	Minimum setback to the **lot line** abutting Area 'A' as identified on Schedule RM6-18 of this Exception	1.8 m
4.12.2.18.10	Minimum setback from a **porch** or **deck**, exclusive of stairs, located at and accessible from the **first storey** or below the **first storey** to the **lot line** abutting Area 'A' as identified on Schedule RM6-18 of this Exception	1.5 m
4.12.2.18.11	Maximum encroachment of a **balcony** located at and accessible from the second **storey** into the required **rear yard**	1.5 m
4.12.2.18.12	Maximum projection of a box or bay window containing **floor area**, located above the **first storey**, into a required **front yard** and/or **rear yard**, provided such box or bay window does not exceed 50% of the width of the **dwelling unit**	0.5 m
4.12.2.18.13	Maximum encroachment of a **porch** or **deck**, exclusive of stairs, located at and accessible from the **first storey** or below the **first storey**, into the required **front yard**	1.5 m
4.12.2.18.14	A **balcony** shall not be permitted to encroach into the **front** or **exterior side yards**	
4.12.2.18.15	Maximum number of risers between a **porch** or **deck** of a townhouse **dwelling unit** and a **lot line** that divides a **lot** from a **CEC - road** or a **street**	3
4.12.2.18.16	Minimum setback to a **sight triangle**	2.0 m
4.12.2.18.17	Maximum angle of a sloped roof for the front and side elevations only	60°
4.12.2.18.18	Maximum allowable roof area dedicated to architectural features measured for each roof elevation for the front and side elevations only	50%
4.12.2.18.19	Maximum sloped roof angle shall not apply to architectural features contained within the roof area	
4.12.2.18.20	Minimum width of a **CEC - road**	6.0 m

Exception RM6-18 continued on next page

4.12.2.18	Exception: RM6-18	Map # 07	By-law: OMB Order 2017 November 28, 0181-2018/LPAT Order 2019 February 15, 0126-2019
Exception RM6-18 continued from previous page			
4.12.2.18.21	Minimum **aisle** width		6.0 m
4.12.2.18.22	Minimum width of a sidewalk		1.6 m
4.12.2.18.23	"Front Lot Line" means the line that divides a **lot** from a **CEC - road** or a **street**		
4.12.2.18.24	All site development plans shall comply with Schedule RM6-18 of this Exception		

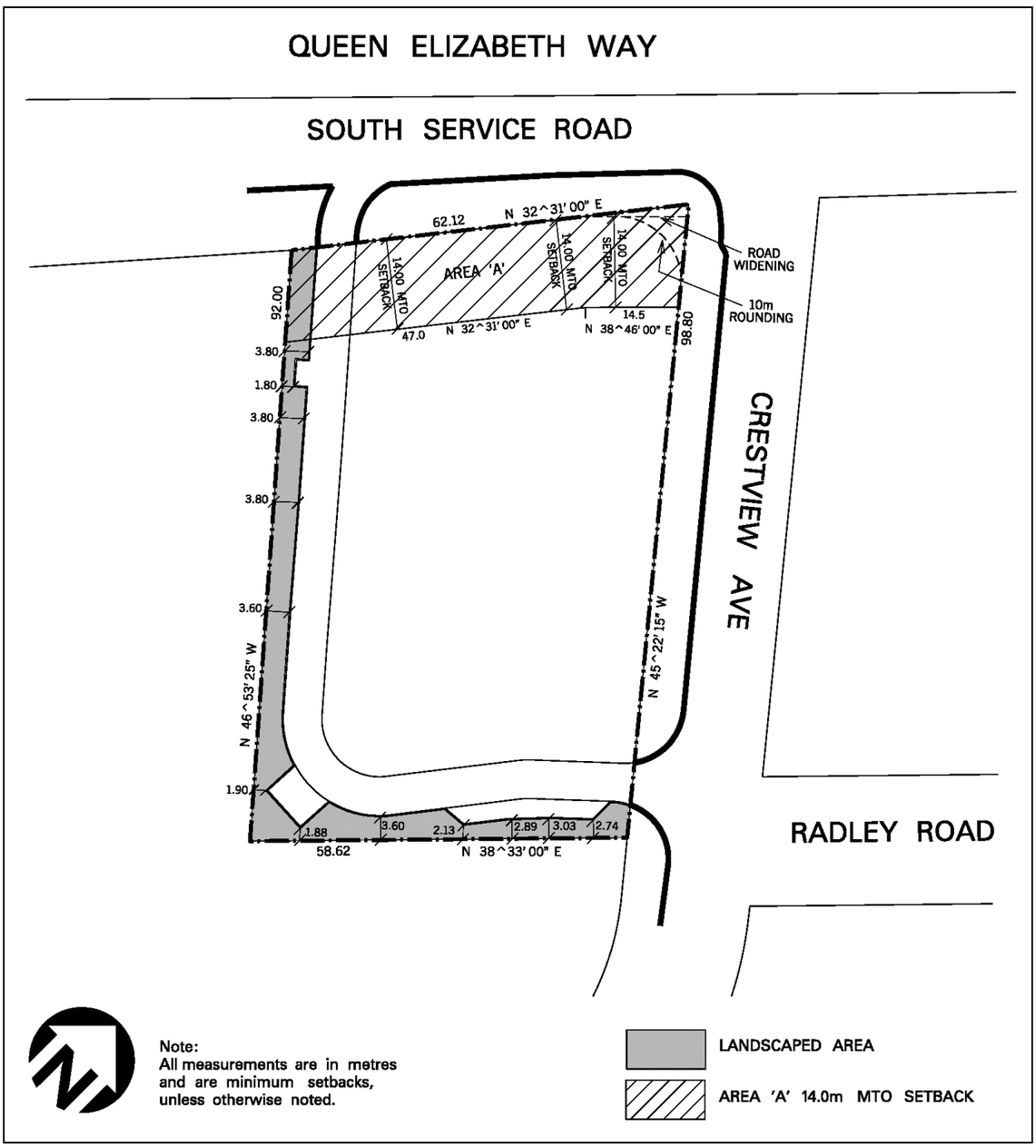

Schedule RM6-18
Map 07

4.12.2.19	Exception: RM6-19	Map # 38W	By-law: LPAT Order 2019 February 08, 0128-2020

In a RM6-19 zone the permitted **uses** and applicable regulations shall be as specified for a RM6 zone except that the following **uses**/regulations shall apply:

Additional Permitted Uses

4.12.2.19.1
(1) **Back to back townhouse** on a **CEC - road**
(2) **Semi-detached** on a **CEC - road**

Regulations

4.12.2.19.2	The provisions contained in Article 2.1.3.1, Subsection 2.1.14, and the regulations of Line 13.1 contained in Table 4.12.1 of this By-law shall not apply	
4.12.2.19.3	Minimum width of a sidewalk	1.5 m
4.12.2.19.4	Lands identified as Area 'A' on Schedule RM6-19 of this Exception shall only be used for **back to back townhouses** and shall comply with the following:	
	(1) maximum number of **dwelling units**	4
	(2) minimum number of resident **parking spaces** for **back to back townhouses**	7
	(3) all **parking spaces** for **back to back townhouses** shall be provided on the paved **parking area**	
4.12.2.19.5	Lands identified as Area 'B' on Schedule RM6-19 of this Exception shall only be used for **semi-detached** and shall comply with the following:	
	(1) maximum number of **dwelling units**	2
	(2) maximum **height - highest ridge**	12.8 m
	(3) minimum area of a **balcony** over an attached **garage**	10 m^2
	(4) the **main front entrance** for Unit 1 shall face Mississauga Road	
	(5) the **main front entrance** for Unit 2 shall face the **CEC - road**	
	(6) access for **semi-detached** shall be via a CEC - shared driveway	
	(7) "CEC - Shared Driveway" means a designated access for **semi-detached**	
4.12.2.19.6	Lands identified as Area 'C' on Schedule RM6-19 of this Exception shall only be used for **townhouses** and shall comply with the RM6 zone regulations except:	
	(1) maximum encroachment of a **balcony** into the required **rear yard**	1.7 m
	(2) maximum **height**	10.9 m and 3 **storeys**
4.12.2.19.7	All site development plans shall comply with Schedule RM6-19 of this Exception	

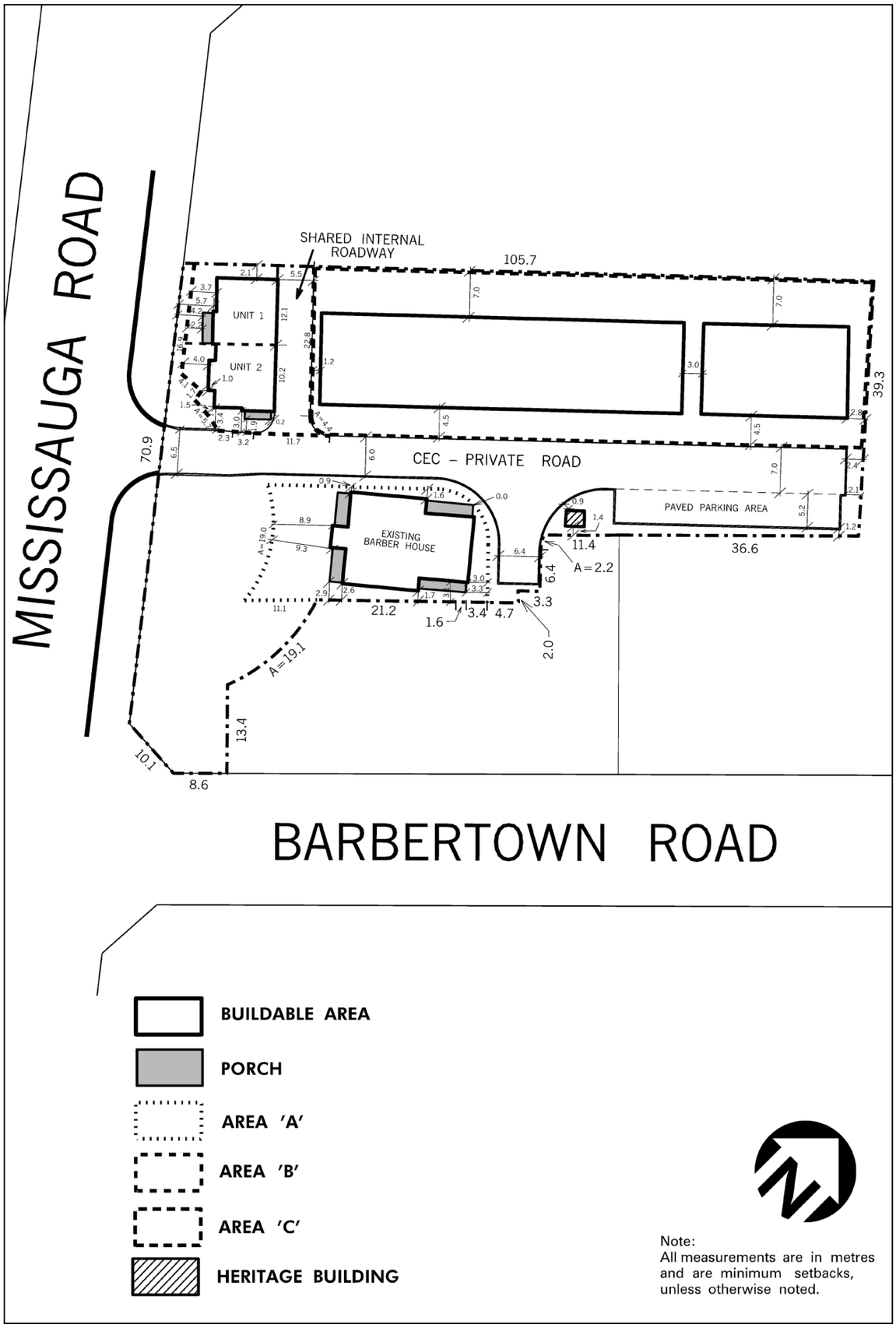

Schedule RM6-19
Map 38W

4.12.2.20	Exception: RM6-20	Map # 03	By-law: 0166-2018
In a RM6-20 zone the permitted **uses** and applicable regulations shall be as specified for a RM6 zone except that the following **uses**/regulations shall apply:			
Regulations			
4.12.2.20.1	Minimum **lot area - interior lot**		135 m^2
4.12.2.20.2	Minimum **lot frontage - interior lot**		6.4 m
4.12.2.20.3	Minimum **front yard - interior lot**		3.8 m
4.12.2.20.4	Minimum **rear yard**		7.0 m
4.12.2.20.5	Maximum encroachment of a **balcony** into a required **rear yard**		2.5 m
4.12.2.20.6	Minimum width of a sidewalk		1.2 m

4.12.2.21	Exception: RM6-21	Map # 20	By-law: LPAT Order 2019 March 26, 0221-2022, 0199-2024
In a RM6-21 zone the permitted **uses** and applicable regulations shall be as specified for a RM6 zone except that the following **uses**/regulations shall apply:			
Regulations			
4.12.2.21.1	The provisions contained in Subsections 2.1.14 and 2.1.30 and the regulations of Line 11.0 contained in Table 4.12.1 of this By-law shall not apply		
4.12.2.21.2	Maximum **height**		11.5 m and 3 **storeys**
4.12.2.21.3	Maximum encroachment of a **porch** or **deck**, exclusive of stairs accessible from the **first storey** or below the **first storey** into a required **yard**		1.8 m
4.12.2.21.4	Maximum encroachment of a **balcony** or **deck** inclusive of stairs, located at and accessible from the second **storey** into a required **yard**		2.5 m
4.12.2.21.5	Minimum width of a sidewalk		1.5 m
4.12.2.21.6	A **balcony** with a maximum area of 20 m^2 is permitted on top of an attached **garage**, provided that the **balcony** does not project more than 3.0 m beyond the **garage face**		
4.12.2.21.7	All site development plans shall comply with Schedule RM6-21 of this Exception		

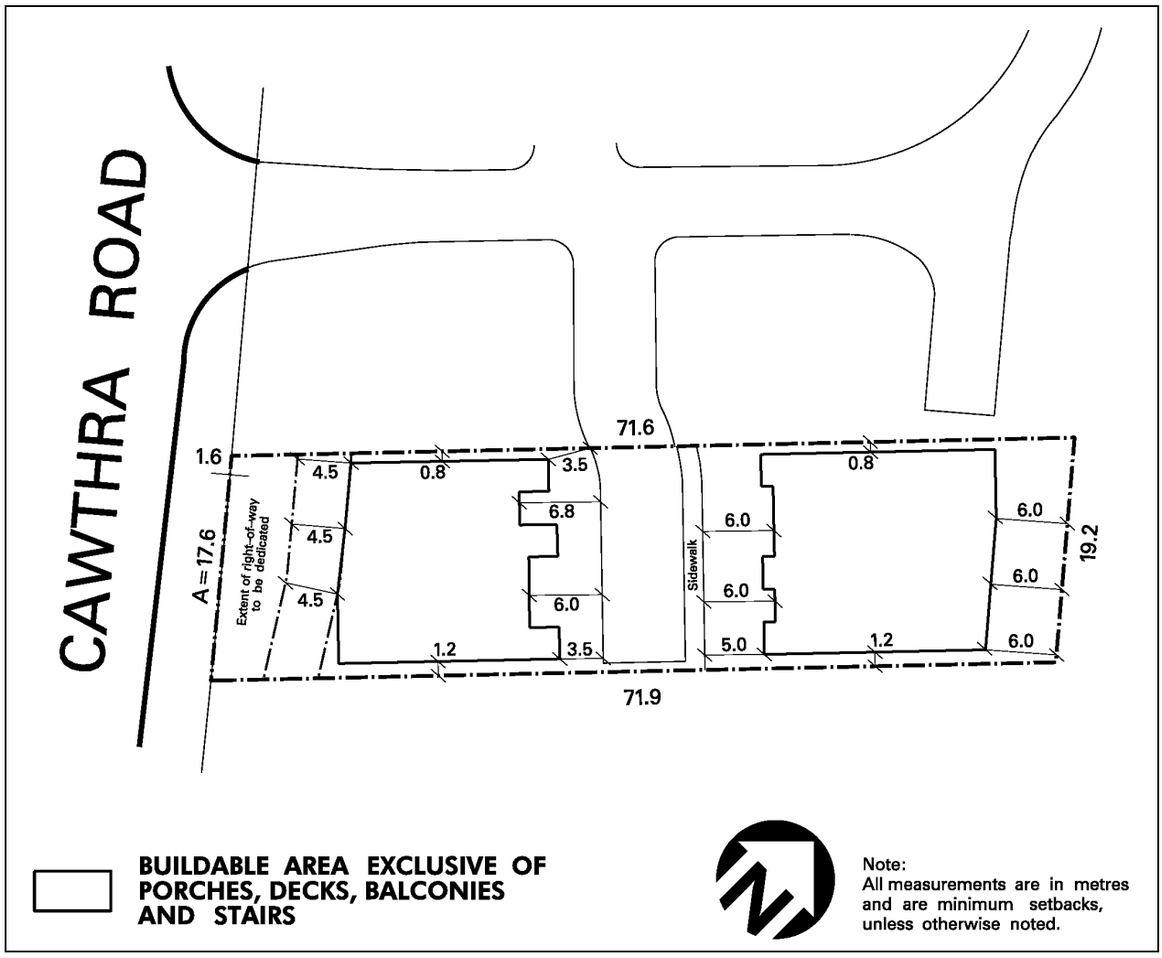

Schedule RM6-21
Map 20

4.12.2.22	Exception: RM6-22	Map # 38W	By-law: 0162-2019
In a RM6-22 zone the permitted **uses** and applicable regulations shall be as specified for a RM6 zone except that the following **uses**/regulations shall apply:			
Regulations			
4.12.2.22.1	The provisions contained in Subsection 2.1.30 of this By-law shall not apply		
4.12.2.22.2	Minimum setback of a **dwelling unit** to a railway right-of-way		25.0 m
4.12.2.22.3	Maximum number of **dwelling units**		75
4.12.2.22.4	Minimum **interior side yard -** unattached side		1.2 m
4.12.2.22.5	Minimum **rear yard**		7.0 m
4.12.2.22.6	Maximum number of **dwelling units** with a minimum **rear yard** of 6.0 m		1
4.12.2.22.7	Maximum **height**		14.0 m and 4 **storeys**
4.12.2.22.8	Maximum encroachment of a **porch** or **deck** inclusive of stairs into a required **front yard**		2.5 m
4.12.2.22.9	Maximum encroachment of stairs into an **interior side yard** provided that the **interior side yard** is a minimum of 1.2 m		0.6 m
4.12.2.22.10	Minimum depth of a **balcony** on the highest **storey** of a **townhouse** measured from the **front wall** of the **building**		3.0 m
4.12.2.22.11	Minimum setback of a **townhouse** to a CEC - visitor **parking space**		1.8 m

4.12.2.23	Exception: RM6-23	Map # 38W	By-law: 0029-2021, 0050-2022, 0048-2025
In a RM6-23 zone the permitted **uses** and applicable regulations shall be as specified for a RM6 zone except that the following **uses**/regulations shall apply:			
Regulations			
4.12.2.23.1	The provisions contained in Subsections 2.1.14 and 4.1.8 and the regulations of Lines 7.1 and 8.3 contained in Table 4.12.1 of this By-law shall not apply		
4.12.2.23.2	Minimum **lot area - CEC - corner lot**		170 m^2
4.12.2.23.3	Minimum **lot frontage - interior lot**		4.7 m
4.12.2.23.4	Minimum **lot frontage - CEC - corner lot**		7.0 m
4.12.2.23.5	Minimum **dwelling unit width**		4.2 m
4.12.2.23.6	Minimum **landscaped area**		19% of the **lot area**
4.12.2.23.7	Notwithstanding Sentence 4.12.2.23.13 of this Exception, maximum encroachment of eaves into a required **yard**		0.7 m
4.12.2.23.8	Notwithstanding Sentence 4.12.2.23.13 of this Exception, maximum encroachment of stairs attached to a **deck** located at and accessible from the **first storey** or below the **first storey** of the dwelling into a required **rear yard**		2.8 m
4.12.2.23.9	Notwithstanding Sentence 4.12.2.23.13 of this Exception, maximum encroachment of a third **storey balcony** into a required **rear yard**		1.0 m
4.12.2.23.10	Notwithstanding Sentence 4.12.2.23.9 of this Exception, a third **storey balcony** shall not be permitted within 12.0 m of a RL zone		

Exception RM6-23 continued on next page

4.12.2.23	Exception: RM6-23	Map # 38W	By-law: 0029-2021, 0050-2022, 0048-2025
Exception RM6-23 continued from previous page			
4.12.2.23.11	Notwithstanding Sentence 4.12.2.23.13 of this Exception, external heating, air conditioning, and home back-up generator equipment is permitted between Building 'A' identified on Schedule RM6-23 of this Exception and a **CEC - road**		
4.12.2.23.12	Notwithstanding Sentence 4.12.2.23.13 of this Exception, external heating, air conditioning, and home back-up generator equipment is permitted in a required **rear yard**		
4.12.2.23.13	All site development plans shall comply with Schedule RM6-23 of this Exception		

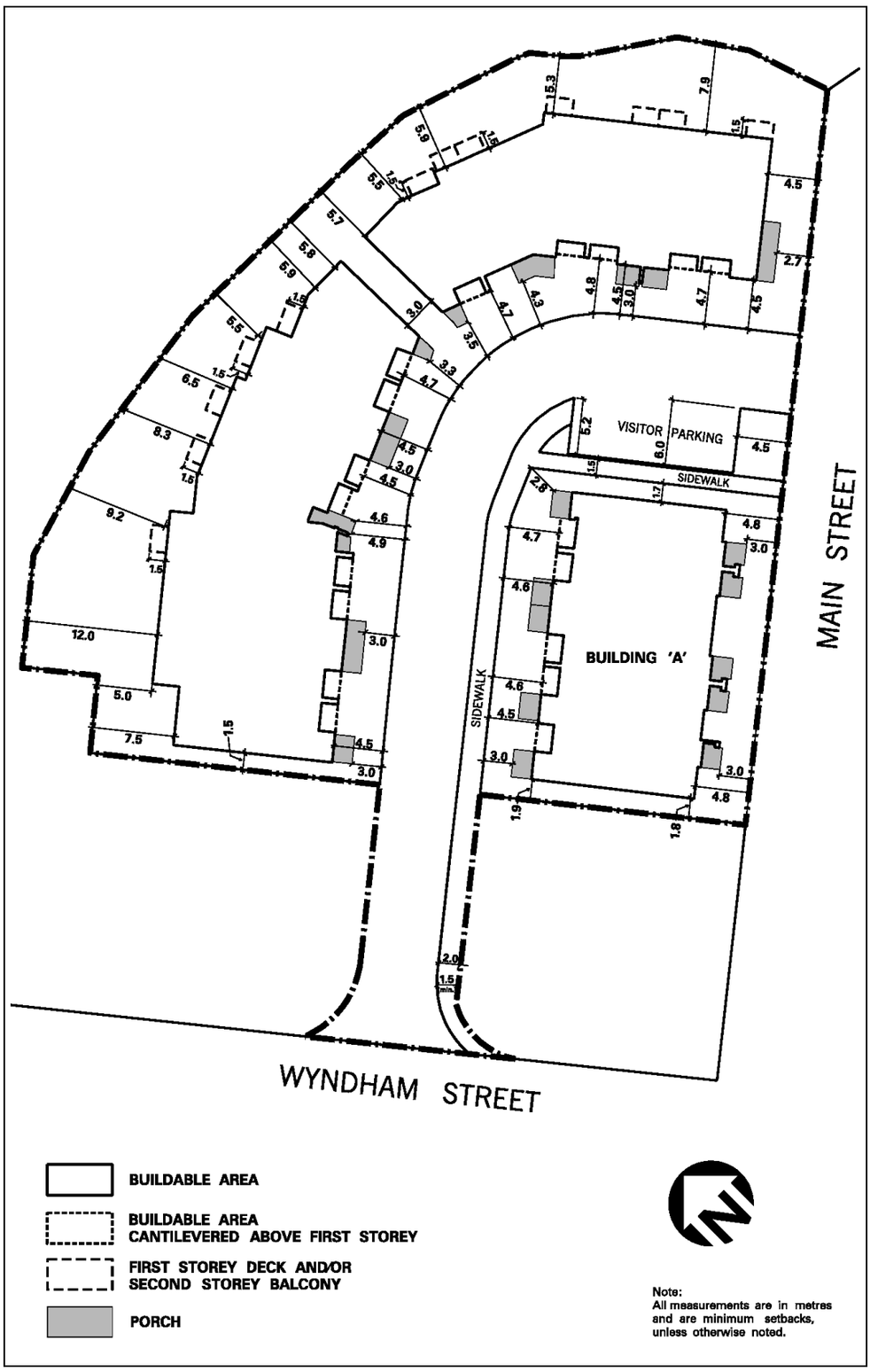

Schedule RM6-23
Map 38W

4.12.2.24	Exception: RM6-24	Map # 07	By-law: 0068-2022
In a RM6-24 zone the permitted **uses** and applicable regulations shall be as specified for a RM6 zone except that the following **uses**/regulations shall apply:			
Additional Permitted Use			
4.12.2.24.1	(1)	**Detached dwelling** on a **CEC - road**	
Regulations			
4.12.2.24.2	**Flat roofs** shall not be permitted		
4.12.2.24.3	Maximum number of **detached dwellings** on a **CEC - road** on all lands zoned RM6-24		4
4.12.2.24.4	Maximum number of **townhouses** on a **CEC - road** on all lands zoned RM6-24		12
4.12.2.24.5	Notwithstanding Sentence 4.12.2.24.12 of this Exception, minimum **front yard** setback from a **garage face** to a **CEC - road** or CEC - sidewalk		6.0 m
4.12.2.24.6	Notwithstanding Sentence 4.12.2.24.12 of this Exception, maximum encroachment of a **porch** or **deck** inclusive of stairs located at and accessible from the **first storey** or below the **first storey**, or awning into the required **rear yard**		3.5 m
4.12.2.24.7	The nearest part of a **driveway** shall have a minimum setback of 1.8 m from any side lot line other than the common side lot line separating an attached **townhouse** on a **CEC - road**		
4.12.2.24.8	A **townhouse** on a **CEC - road** shall comply with the RM6 zone regulations except that:		
	(1)	minimum **lot area** - **interior lot**	150 m^2
	(2)	minimum **lot area** - **CEC - corner lot**	185 m^2
	(3)	minimum **lot frontage** - **CEC - corner lot**	8.0 m
	(4)	a **townhouse** on a **CEC - road** with an **exterior side lot line** abutting Cawthra Road shall have the **main front entrance** and **main entry feature** facing Cawthra Road	
	(5)	maximum height - highest ridge of a townhouse on a CEC - road	9.9 m and 3 **storeys**
	(6)	notwithstanding Sentence 4.12.2.24.12 of this Exception, maximum encroachment of a **porch** or **deck** inclusive of stairs located at and accessible from the **first storey** or below the **first storey** into the required **front yard** or **exterior side yard**	1.6 m
	(7)	notwithstanding Sentence 4.12.2.24.12 of this Exception, maximum encroachment of a window, **chimney**, pilaster or corbel, and window well into the required **rear yard**	1.0 m
	(8)	minimum setback of a **townhouse** on a **CEC - road** to a CEC - visitor **parking space**	2.3 m
4.12.2.24.9	A **detached dwelling** on a **CEC - road** shall comply with the RM6 zone regulations except that:		
	(1)	minimum **lot area**	400 m^2
	(2)	minimum **lot frontage**	15.0 m
	(3)	minimum **interior side yard**	1.8 m
	(4)	maximum height - highest ridge of a detached dwelling on a CEC - road	9.0 m and 2 **storeys**
	(5)	minimum **landscaped area**	45% of the **lot area**

Exception RM6-24 continued on next page

4.12.2.24	Exception: RM6-24	Map # 07	By-law: 0068-2022
Exception RM6-24 continued from previous page			
4.12.2.24.9 (continued)	(6)	notwithstanding Sentence 4.12.2.24.12 of this Exception, maximum encroachment of a **porch** or **deck** inclusive of stairs located at and accessible from the **first storey** or below the **first storey** into the required **front yard**	2.0 m
	(7)	notwithstanding Sentence 4.12.2.24.12 of this Exception, maximum encroachment of a window, **chimney**, pilaster or corbel, and window well into the required **interior side yard** and **rear yard**	1.0 m
	(8)	maximum **driveway** width	6.5 m
4.12.2.24.10	"Height - Highest Ridge of a Detached Dwelling on a CEC - Road" means with reference to the height of a **detached dwelling** on a **CEC - road**, the vertical distance between **established grade** and the highest ridge of a **sloped roof**		
4.12.2.24.11	"Height - Highest Ridge of a Townhouse on a CEC - Road" means with reference to the height of a **townhouse** on a **CEC - road**, the vertical distance between **established grade** and the highest ridge of a **sloped roof**		
4.12.2.24.12	All site development plans shall comply with Schedule RM6-24 of this Exception		

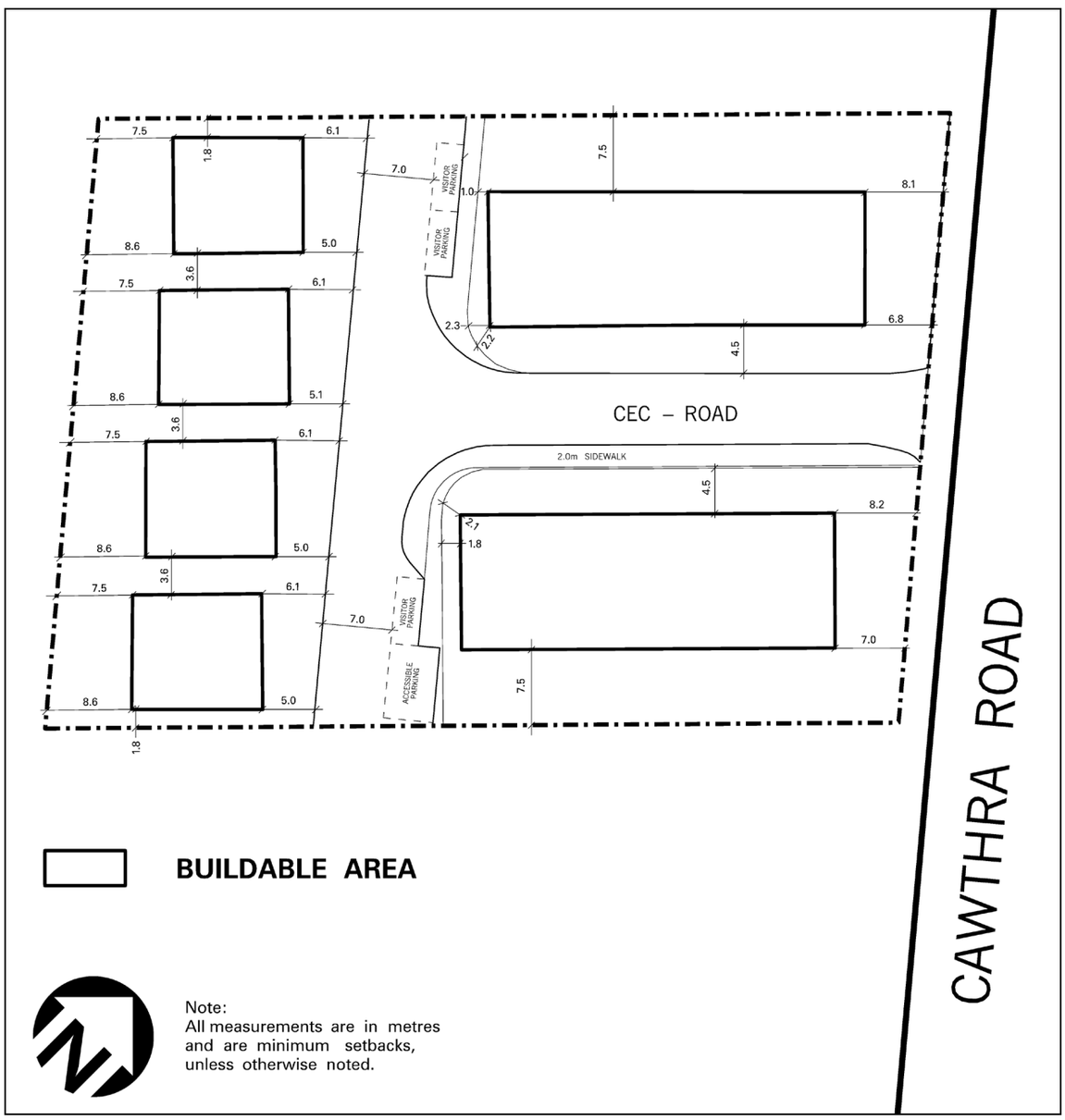

Schedule RM6-24
Map 07

4.12.2.25	Exception: RM6-25	Map # 38E	By-law: 0143-2021, 0072-2024

In a RM6-25 zone the permitted **uses** and applicable regulations shall be as specified for a RM6 zone except that the following **uses**/regulations shall apply:

Regulations		
4.12.2.25.1	Maximum number of **dwelling units** on all lands zoned RM6-25	105
4.12.2.25.2	The **lot line** abutting Britannia Road West for Blocks '4' to '6' identified on Schedule RM6-25 of this Exception shall be deemed to be the front lot line	
4.12.2.25.3	The **lot line** abutting Galesway Boulevard for Blocks '10' to '12' identified on Schedule RM6-25 of this Exception shall be deemed to be the front lot line	
4.12.2.25.4	Minimum **lot area - CEC - corner lot**	160 m^2
4.12.2.25.5	Minimum **lot frontage - CEC - corner lot**	6.4 m
4.12.2.25.6	Minimum **exterior side yard** abutting a **street**	3.4 m
4.12.2.25.7	Minimum **exterior side yard** abutting a CEC - sidewalk	1.2 m
4.12.2.25.8	Minimum **interior side yard** - unattached side	1.2 m
4.12.2.25.9	Minimum **interior side yard** where the **interior side lot line** is the **rear lot line** of an abutting parcel	1.2 m
4.12.2.25.10	Minimum **rear yard - interior lot/CEC - corner lot**	7.0 m
4.12.2.25.11	Maximum **height**	13.0 m and 3 **storeys**
4.12.2.25.12	Notwithstanding Sentence 4.12.2.25.23 of this Exception, maximum encroachment of a **porch** or **deck** inclusive of stairs located at and accessible from the **first storey** or below the **first storey** into the required **rear yard** for Blocks '4' to '6' and '10' to '12'	2.5 m
4.12.2.25.13	Notwithstanding Sentence 4.12.2.25.23 of this Exception, maximum encroachment of a **balcony** into the required **rear yard** for Blocks '4' to '6' and '10' to '12'	2.5 m
4.12.2.25.14	Notwithstanding Sentence 4.12.2.25.23 of this Exception, maximum encroachment of a **balcony** or **deck** inclusive of stairs into the required **rear yard** for Blocks '1' to '3' and '7' to '9'	1.5 m
4.12.2.25.15	Notwithstanding Sentence 4.12.2.25.23 of this Exception, maximum encroachment of a **balcony** or **deck** inclusive of stairs into the required **rear yard** for Blocks '13' to '17'	2.5 m
4.12.2.25.16	Notwithstanding Sentence 4.12.2.25.23 of this Exception, external heating and air conditioning equipment is permitted on a **balcony** for Blocks '4' to '6' and '10' to '12'	
4.12.2.25.17	Minimum setback of a **townhouse** to a CEC - visitor **parking space**	1.8 m
4.12.2.25.18	Maximum **driveway** width of an end unit for Blocks '4' to '6'	6.2 m
4.12.2.25.19	The areas identified on Schedule RM6-25 of this Exception as a tree preservation area, shall only be used for conservation purposes, and no **buildings** or **structures**, **swimming pools**, tennis courts or any like recreational facilities, except for fences along the **lot lines**, shall be permitted	
4.12.2.25.20	Minimum **CEC - amenity area** for all lands zoned RM6-25 to be provided in one contiguous area	630 m^2
4.12.2.25.21	Minimum setback of a **townhouse** to a **CEC - amenity area**	1.2 m

Exception RM6-25 continued on next page

4.12.2.25	Exception: RM6-25	Map # 38E	By-law: 0143-2021, 0072-2024
Exception RM6-25 continued on next page			
4.12.2.25.22	"Front Lot Line" means the line that divides a **lot** from a **CEC - road** or a **street**		
4.12.2.25.23	All site development plans shall comply with Schedule RM6-25 of this Exception		

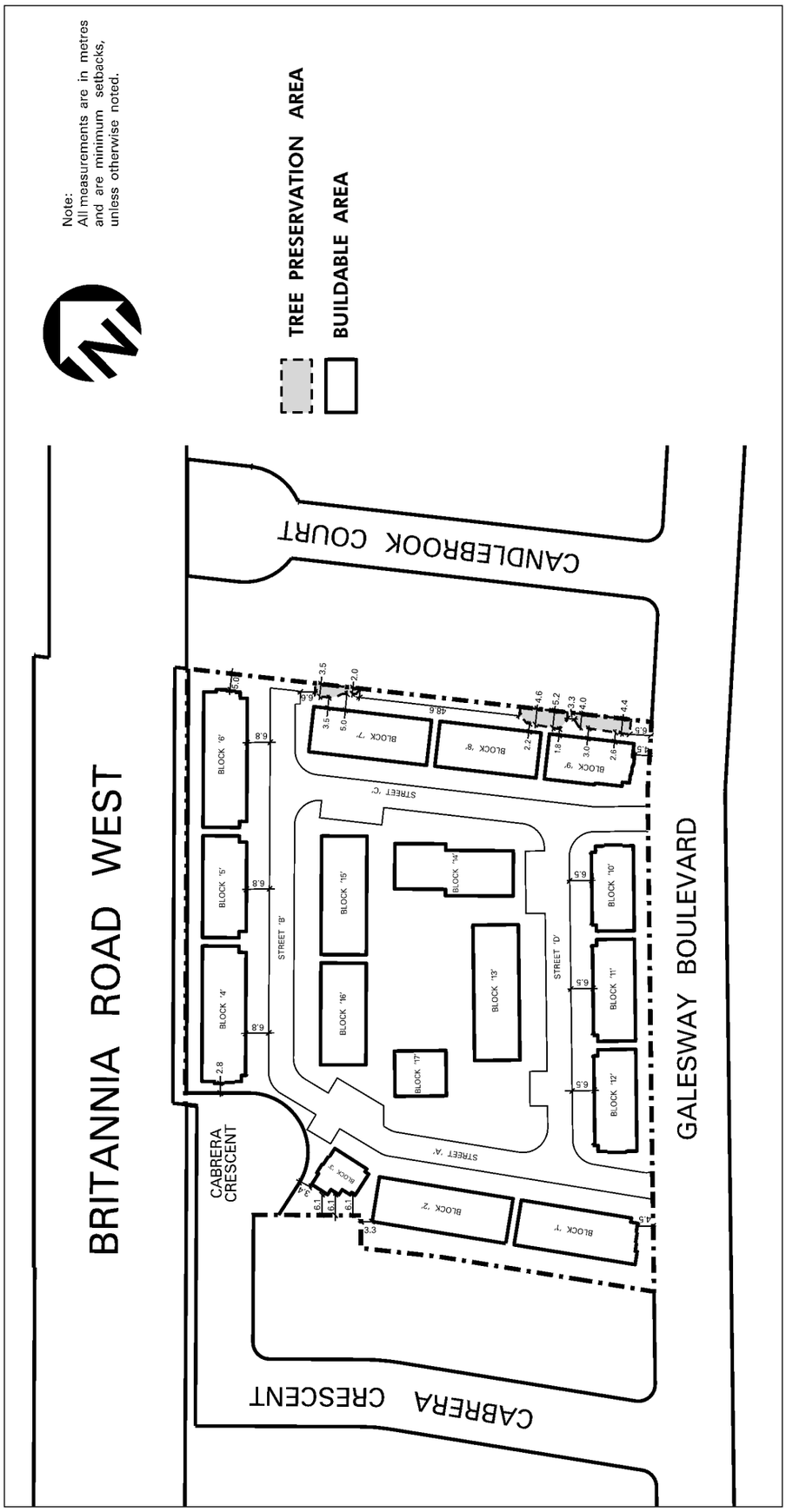

Schedule RM6-25
Map 38E

4.12.2.26	Exception: RM6-26	Map # 57	By-law: 0209-2021
In a RM6-26 zone the permitted **uses** and applicable regulations shall be as specified for a RM6 zone except that the following **uses**/regulations shall apply:			
Regulations			
4.12.2.26.1	The provisions contained in Article 4.1.5.9 and Subsection 4.1.6 of this By-law shall not apply		
4.12.2.26.2	Minimum **lot area - CEC - corner lot**		185 m^2
4.12.2.26.3	Maximum **height**		13.5 m and 3 **storeys**
4.12.2.26.4	Minimum **landscaped area**		21% of the **lot area**
4.12.2.26.5	Notwithstanding Sentence 4.12.2.26.16 of this Exception, maximum encroachment of a **porch** inclusive of stairs into the required **front yard**		1.6 m
4.12.2.26.6	Notwithstanding Sentence 4.12.2.26.16 of this Exception, maximum encroachment of a **porch** inclusive of stairs into the required **exterior side yard** for Blocks '1' and '3'		2.0 m
4.12.2.26.7	Notwithstanding Sentence 4.12.2.26.16 of this Exception, maximum encroachment of a **porch** inclusive of stairs into the required rear yard		2.1 m
4.12.2.26.8	Notwithstanding Sentence 4.12.2.26.16 of this Exception, maximum encroachment of a second **storey balcony** into the required **front yard**		0.5 m
4.12.2.26.9	Notwithstanding Sentence 4.12.2.26.16 of this Exception, maximum encroachment of a building projection above the **first storey** that is not more than 3.0 m wide with windows and/or doors covering a minimum of 15% of the total projection into a required **yard**		0.61 m
4.12.2.26.10	Notwithstanding Sentence 4.12.2.26.16 of this Exception, maximum encroachment of eaves into a required **yard**		0.61 m
4.12.2.26.11	External heating, air conditioning, home back-up generator shall be permitted in an **interior** or **exterior side yard** and on a second or third **storey balcony** in any **yard**, provided that it is not closer than 0.5 m to any **lot line**		
4.12.2.26.12	Required number of visitor **parking spaces**		0
4.12.2.26.13	Maximum **driveway** width		3.6 m
4.12.2.26.14	**CEC - roads** and **aisles** are permitted to be shared with abutting lands zoned RM6-27		
4.12.2.26.15	"Rear Yard" means any **yard** that contains a **driveway**		
4.12.2.26.16	All site development plans shall comply with Schedule RM6-26 of this Exception		
Holding Provision			
	The holding symbol H is to be removed from the whole or any part of the lands zoned H-RM6-26 by further amendment to Map 57 of Schedule B contained in Part 13 of this By-law, as amended, upon satisfaction of the following requirements: (1) confirmation from the City of Mississauga ("City") Transportation and Works Department that the temporary turning circle is no longer required; (2) confirmation from the City Fire and Emergency Services that the temporary emergency access lane is no longer required.		

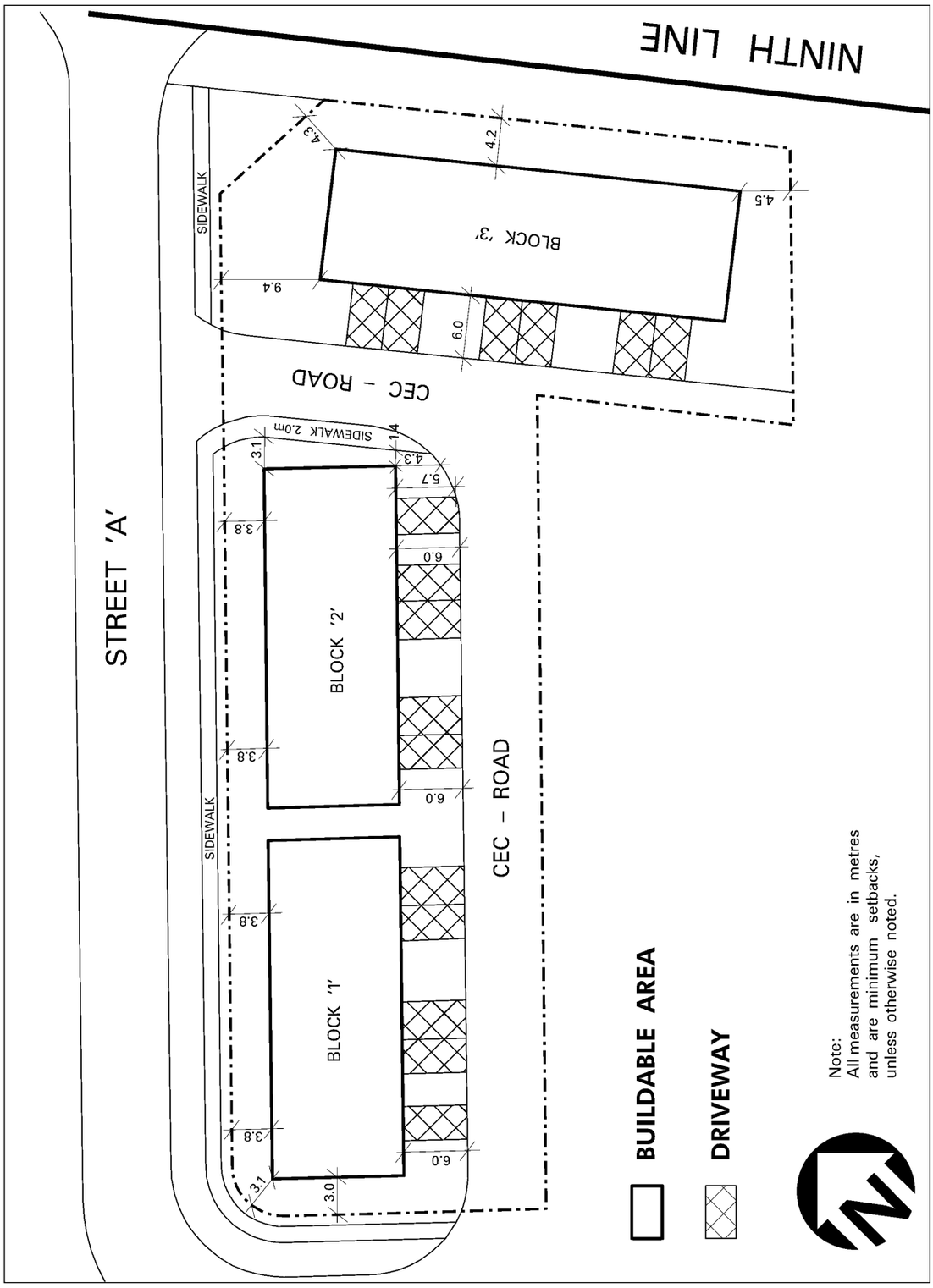

Schedule RM6-26
Map 57

4.12.2.27	Exception: RM6-27	Map # 57	By-law: 0209-2021
In a RM6-27 zone the permitted **uses** and applicable regulations shall be as specified for a RM6 zone except that the following **uses**/regulations shall apply:			
Regulations			
4.12.2.27.1	The provisions contained in Article 4.1.5.9 of this By-law shall not apply		
4.12.2.27.2	Notwithstanding Sentence 4.12.2.27.17 of this Exception, minimum **front yard - garage face**		6.0 m
4.12.2.27.3	Maximum **height**		15.0 m and 3 **storeys**
4.12.2.27.4	Notwithstanding Sentence 4.12.2.27.17 of this Exception, maximum encroachment of a **porch** inclusive of stairs into the required **front yard**		1.5 m
4.12.2.27.5	Notwithstanding Sentence 4.12.2.27.17 of this Exception, maximum encroachment of a **porch** inclusive of stairs into the required **exterior side yard** for Block '2'		2.0 m
4.12.2.27.6	Notwithstanding Sentence 4.12.2.27.17 of this Exception, maximum encroachment of a **porch** inclusive of stairs into the required **exterior side yard** for Block '3'		1.5 m
4.12.2.27.7	Notwithstanding Sentence 4.12.2.27.17 of this Exception, maximum encroachment of a second **storey balcony** into the required **front yard**		1.5 m
4.12.2.27.8	Notwithstanding Sentence 4.12.2.27.17 of this Exception, maximum encroachment of a **first storey porch** inclusive of stairs into the required **rear yard**		2.5 m
4.12.2.27.9	Notwithstanding Sentence 4.12.2.27.17 of this Exception, maximum encroachment of a second **storey balcony** into the required **rear yard**		2.5 m
4.12.2.27.10	Notwithstanding Sentence 4.12.2.27.17 of this Exception, maximum area of a second **storey balcony** in the **rear yard**		6 m^2
4.12.2.27.11	Notwithstanding Sentence 4.12.2.27.17 of this Exception, maximum encroachment of a building projection above the **first storey** that is not more than 3.0 m wide with windows and/or doors covering a minimum of 15% of the total projection into a required **yard**		0.61 m
4.12.2.27.12	Notwithstanding Sentence 4.12.2.27.17 of this Exception, maximum encroachment of eaves into a required **yard**		0.61 m
4.12.2.27.13	External heating, air conditioning, home back-up generator may be located in a **yard**, other than the **front yard** provided it is not closer than 0.1 m to any **lot line**		
4.12.2.27.14	Required number of visitor **parking spaces**		5
4.12.2.27.15	Maximum **driveway** width		3.4 m
4.12.2.27.16	**CEC - roads** and **aisles** are permitted to be shared with abutting lands zoned RM6-26 and RM11-1		

Exception RM6-27 continued on next page

4.12.2.27	Exception: RM6-27	Map # 57	By-law: 0209-2021
Exception RM6-27 continued from previous page			
4.12.2.27.17	All site development plans shall comply with Schedule RM6-27 of this Exception		
Holding Provision			
	The holding symbol H is to be removed from the whole or any part of the lands zoned H-RM6-27 by further amendment to Map 57 of Schedule B contained in Part 13 of this By-law, as amended, upon satisfaction of the following requirements: (1) confirmation from the City of Mississauga ("City") Transportation and Works Department that the temporary turning circle is no longer required; (2) confirmation from the City Fire and Emergency Services that the temporary emergency access lane is no longer required.		

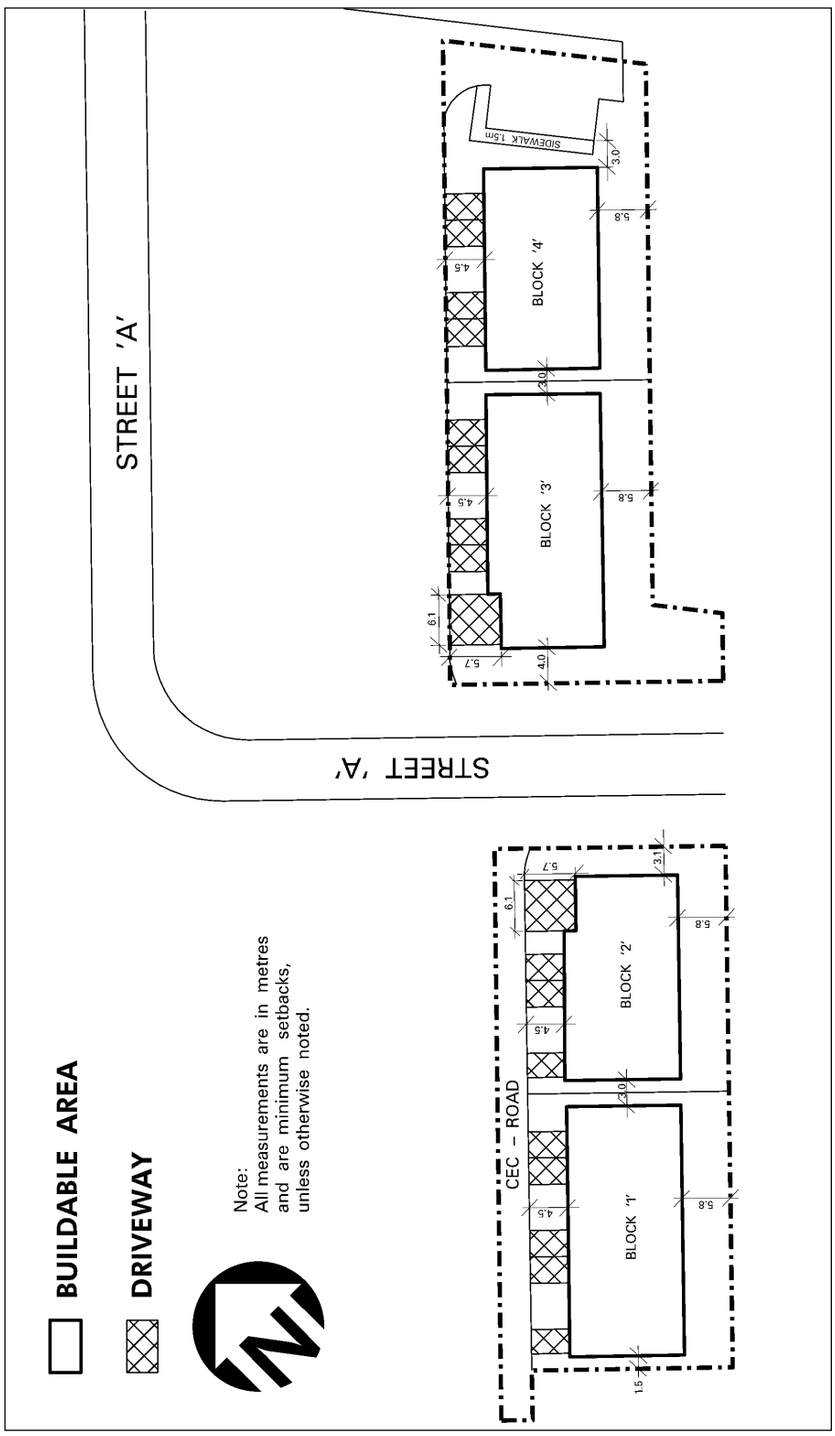

Schedule RM6-27
Map 57

4.12.2.28	Exception: RM6-28	Map # 57	By-law: 0209-2021
In a RM6-28 zone the permitted **uses** and applicable regulations shall be as specified for a RM6 zone except that the following **uses**/regulations shall apply:			
Regulations			
4.12.2.28.1	The provisions contained in Article 4.1.5.9 of this By-law shall not apply		
4.12.2.28.2	Minimum **lot area - CEC - corner lot**		155 m^2
4.12.2.28.3	Minimum **lot frontage - CEC - corner lot**		7.8 m
4.12.2.28.4	Notwithstanding Sentence 4.12.2.28.19 of this Exception, minimum **front yard - garage face**		6.0 m
4.12.2.28.5	Minimum **rear yard - interior lot/CEC - corner lot**		6.0 m
4.12.2.28.6	Maximum **height**		15.0 m and 3 **storeys**
4.12.2.28.7	Notwithstanding Sentence 4.12.2.28.19 of this Exception, maximum encroachment of a **porch** inclusive of stairs into the required **front yard**		1.5 m
4.12.2.28.8	Notwithstanding Sentence 4.12.2.28.19 of this Exception, maximum encroachment of a **porch** inclusive of stairs into the required **exterior side yard** for Blocks '4' to '7'		1.5 m
4.12.2.28.9	Notwithstanding Sentence 4.12.2.28.19 of this Exception, maximum encroachment of a **first storey porch** inclusive of stairs into the required **rear yard**		2.5 m
4.12.2.28.10	Notwithstanding Sentence 4.12.2.28.19 of this Exception, maximum encroachment of a second **storey balcony** into the required **front yard**		1.5 m
4.12.2.28.11	Notwithstanding Sentence 4.12.2.28.19 of this Exception, maximum encroachment of a second **storey balcony** into the required **rear yard**		2.5 m
4.12.2.28.12	Notwithstanding Sentence 4.12.2.28.19 of this Exception, maximum area of a second **storey balcony** in the **rear yard**		6 m^2
4.12.2.28.13	Notwithstanding Sentence 4.12.2.28.19 of this Exception, maximum encroachment of a building projection above the **first storey** that is not more than 3.0 m wide with windows and/or doors covering a minimum of 15% of the total projection into a required **yard**		0.61 m
4.12.2.28.14	Notwithstanding Sentence 4.12.2.28.19 of this Exception, maximum encroachment of eaves into a required **yard**		0.61 m
4.12.2.28.15	External heating, air conditioning, home back-up generator may be located in a **yard**, other than the **front yard** provided it is not closer than 0.1 m to any **lot line**		
4.12.2.28.16	Required number of visitor **parking spaces**		26
4.12.2.28.17	Maximum **driveway** width		3.4 m
4.12.2.28.18	**CEC - roads** and **aisles** are permitted to be shared with abutting lands zoned RM11-1		
4.12.2.28.19	All site development plans shall comply with Schedule RM6-28 of this Exception		

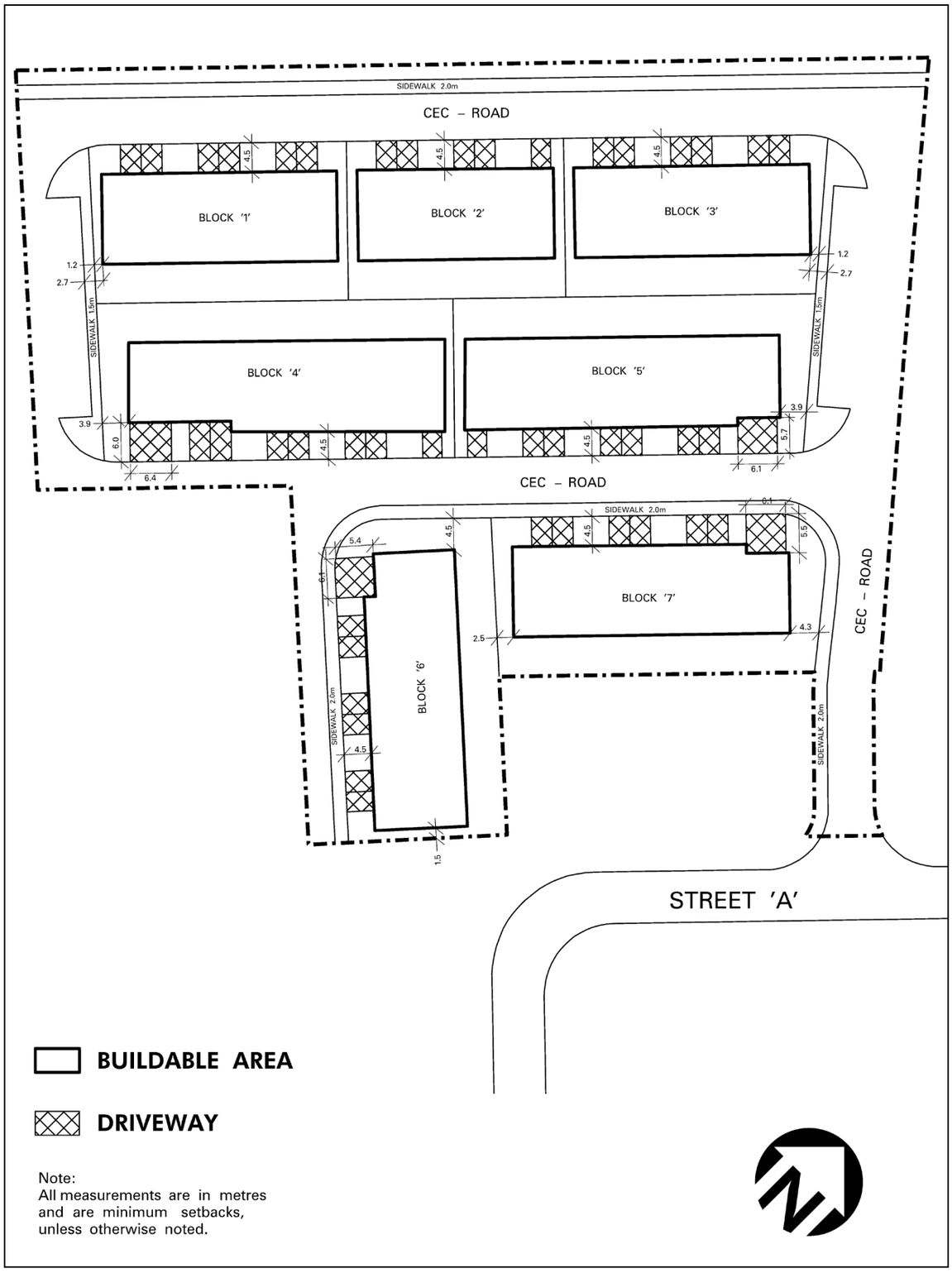

Schedule RM6-28
Map 57

4.12.2.29	Exception: RM6-29	Map # 57	By-law: 0005-2023
In a RM6-29 zone the permitted **uses** and applicable regulations shall be as specified for a RM6 zone except that the following **uses**/regulations shall apply:			
Regulations			
4.12.2.29.1	The provisions contained in Articles 2.1.3.1 and 4.1.5.9 of this By-law shall not apply		
4.12.2.29.2	Notwithstanding Sentence 4.12.2.29.17 of this Exception, minimum **front yard - garage face**		6.0 m
4.12.2.29.3	Maximum **height**		15.0 m and 3 **storeys**
4.12.2.29.4	Minimum **landscaped area**		24% of the **lot area**
4.12.2.29.5	Notwithstanding Sentence 4.12.2.29.17 of this Exception, maximum projection of a **porch** inclusive of stairs outside the **buildable area** and into the required **front yard**		1.5 m
4.12.2.29.6	Notwithstanding Sentence 4.12.2.29.17 of this Exception, maximum projection of a **porch** inclusive of stairs outside the **buildable area** and into the required **exterior side yard**		1.8 m
4.12.2.29.7	Notwithstanding Sentence 4.12.2.29.17 of this Exception, maximum projection of a **first storey porch** inclusive of stairs outside the **buildable area** and into the required **rear yard**		2.5 m
4.12.2.29.8	Notwithstanding Sentence 4.12.2.29.17 of this Exception, maximum projection of a second **storey balcony** outside the **buildable area** and into the required **front yard**		1.5 m
4.12.2.29.9	Notwithstanding Sentence 4.12.2.29.17 of this Exception, maximum projection of a second **storey balcony** outside the **buildable area** and into the required **rear yard**		2.5 m
4.12.2.29.10	Notwithstanding Sentence 4.12.2.29.17 of this Exception, maximum area of a second **storey balcony** in the **rear yard**		6 m^2
4.12.2.29.11	Notwithstanding Sentence 4.12.2.29.17 of this Exception, maximum projection of a **building** above the **first storey** and outside the **buildable area** that is not more than 3.0 m wide with windows and/or doors covering a minimum of 15% of the total projection into a required **yard**		0.61 m
4.12.2.29.12	Notwithstanding Sentence 4.12.2.29.17 of this Exception, maximum projection of eaves outside the **buildable area** and into a required **yard**		0.61 m
4.12.2.29.13	External heating, air conditioning, home back-up generator may be located in a **yard**, other than the **front yard** provided it is not closer than 0.1 m to any **lot line**		
4.12.2.29.14	Minimum number of visitor **parking spaces** per **dwelling unit**		0
4.12.2.29.15	Maximum **driveway** width		3.4 m
4.12.2.29.16	**CEC - roads** and **aisles** are permitted to be shared with abutting lands zoned RM11-2		
4.12.2.29.17	All site development plans shall comply with Schedule RM6-29 of this Exception		

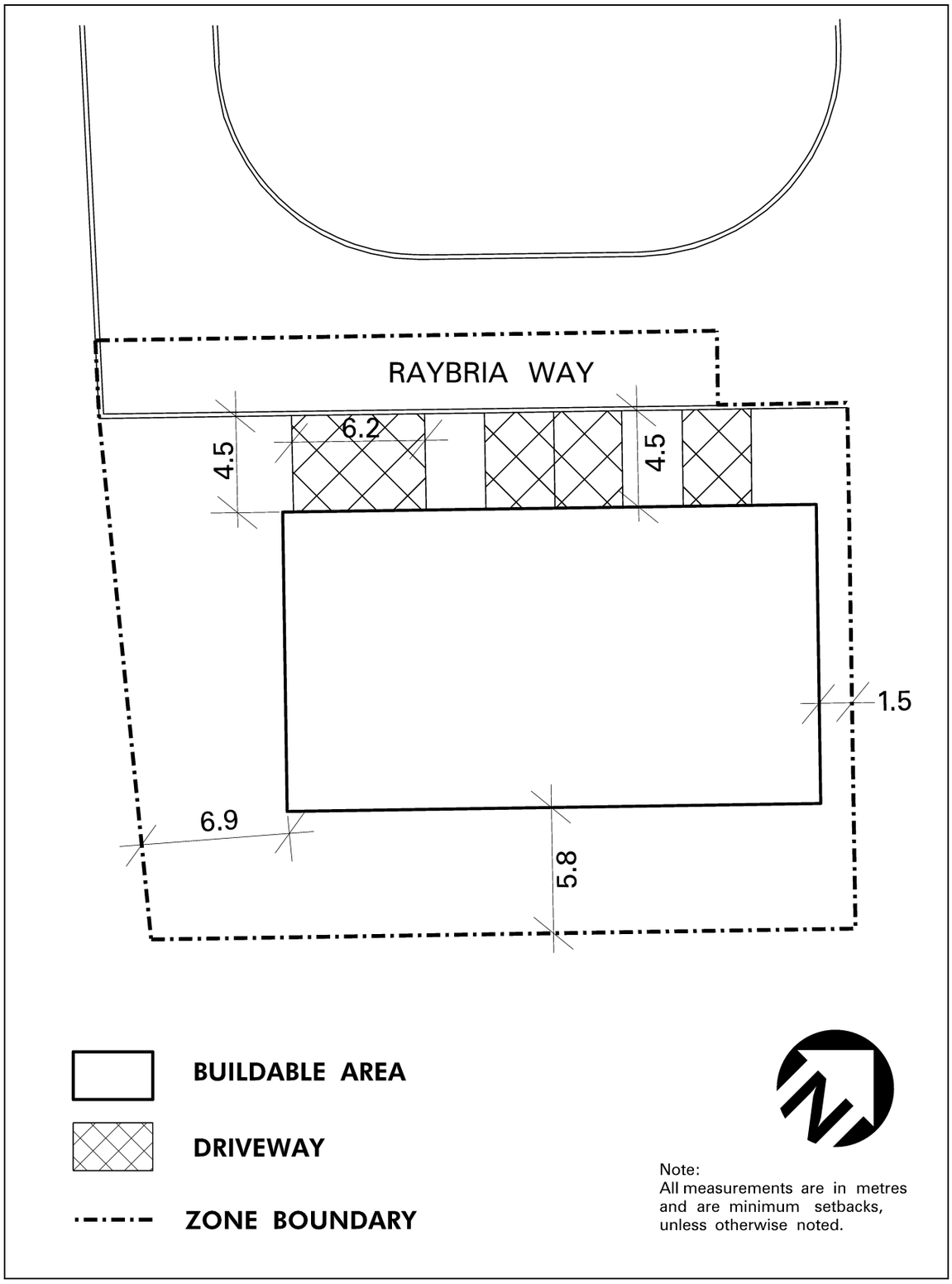

Schedule RM6-29
Map 57

4.12.2.30	Exception: RM6-30	Map #	By-law:

4.12.2.31	Exception: RM6-31	Map #	By-law:

4.12.2.32	Exception: RM6-32	Map #	By-law:

4.12.2.33	Exception: RM6-33	Map #	By-law:

4.12.2.34	Exception: RM6-34	Map #	By-law:

4.12.2.35	Exception: RM6-35	Map #	By-law:

4.12.2.36	Exception: RM6-36	Map #	By-law:

4.12.2.37	Exception: RM6-37	Map #	By-law:

4.12.2.38	Exception: RM6-38	Map #	By-law:

4.12.2.39	Exception: RM6-39	Map # 44E	By-law: 0105-2024
In a RM6-39 zone the permitted **uses** and applicable regulations shall be as specified for a RM6 zone except that the following **uses**/regulations shall apply:			
Regulations			
4.12.2.39.1	The provisions contained in Subsection 2.1.14 of this By-law shall not apply		
4.12.2.39.2	Minimum **lot area - interior lot**		100 m^2
4.12.2.39.3	Minimum **lot area - CEC - corner lot**		160 m^2
4.12.2.39.4	Minimum setback from a **garage face** to a **CEC - road** or CEC - sidewalk		1.0 m
4.12.2.39.5	For the purposes of this By-law, all lands zoned RM6-39 shall be considered a **townhouse** on a **CEC - road**		
4.12.2.39.6	Maximum **height**		15.0 m and 3 **storeys**
4.12.2.39.7	Minimum **landscaped area**		10% of the **lot area**
4.12.2.39.8	Total number of shared visitor **parking spaces** provided for all lands zoned RM6-39, RM6-40 and RM11-8		30
4.12.2.39.9	CEC - visitor **parking spaces** shall be provided within a **common element** area and on abutting lands zoned RM6-40 and RM11-8		
4.12.2.39.10	Maximum **driveway** width		5.5 m
4.12.2.39.11	**CEC - roads** and **aisles** are permitted to be shared with abutting lands zoned RM6-40, RM11-8 and C2		
4.12.2.39.12	All site development plans shall comply with Schedule RM6-39 of this Exception		

Exception RM6-39 continued on next page

4.12.2.39	Exception: RM6-39	Map # 44E	By-law: 0105-2024

Exception RM6-39 continued from previous page

Holding Provision

The holding symbol H is to be removed from the whole or any part of the lands zoned H-RM6-39 by further amendment to Map 44E of Schedule B contained in Part 13 of this By-law, as amended, upon satisfaction of the following requirements:

(1) delivery of an executed Development Agreement with Municipal and Regional Infrastructure Schedules in a form and on terms satisfactory to The Corporation of the City of Mississauga ("City");

(2) submission of a Draft Reference Plan illustrating the required land dedications, conveyances, and easements including part block numbers, to the satisfaction of the City and the Region of Peel ("Region");

(3) gratuitous dedication of lands to achieve the ultimate 50.5 m right-of-way of Regional Road 5 (Derry Road West), as well as a 0.3 m reserve, to the satisfaction of the Region;

(4) submission of a revised Functional Servicing and Stormwater Management Report to the satisfaction of the City's Transportation and Works Department and the Region;

(5) submission of a revised Traffic Impact Study (TIS) to the satisfaction of the City's Transportation and Works Department, Municipal Parking Section, and the Region;

(6) submission of a detailed engineering submission for the road and access works impacting Derry Road West, to the satisfaction of the Region;

(7) submission of revised Grading and Servicing Plans to the satisfaction of the City's Transportation and Works and Planning and Building Departments;

(8) submission of a revised Noise Feasibility Study to the satisfaction of the City's Planning and Building Department;

(9) submission of a revised Phase One and Phase Two Environmental Site Assessment, Storm Sewer Use By-law Acknowledgment and related documents required for environmental compliance to the satisfaction of the City's Transportation and Works Department;

(10) submission of a revised Tree Inventory/Survey, Tree Preservation Plan, and Arborist Report to the satisfaction of the City's Planning and Building Department.

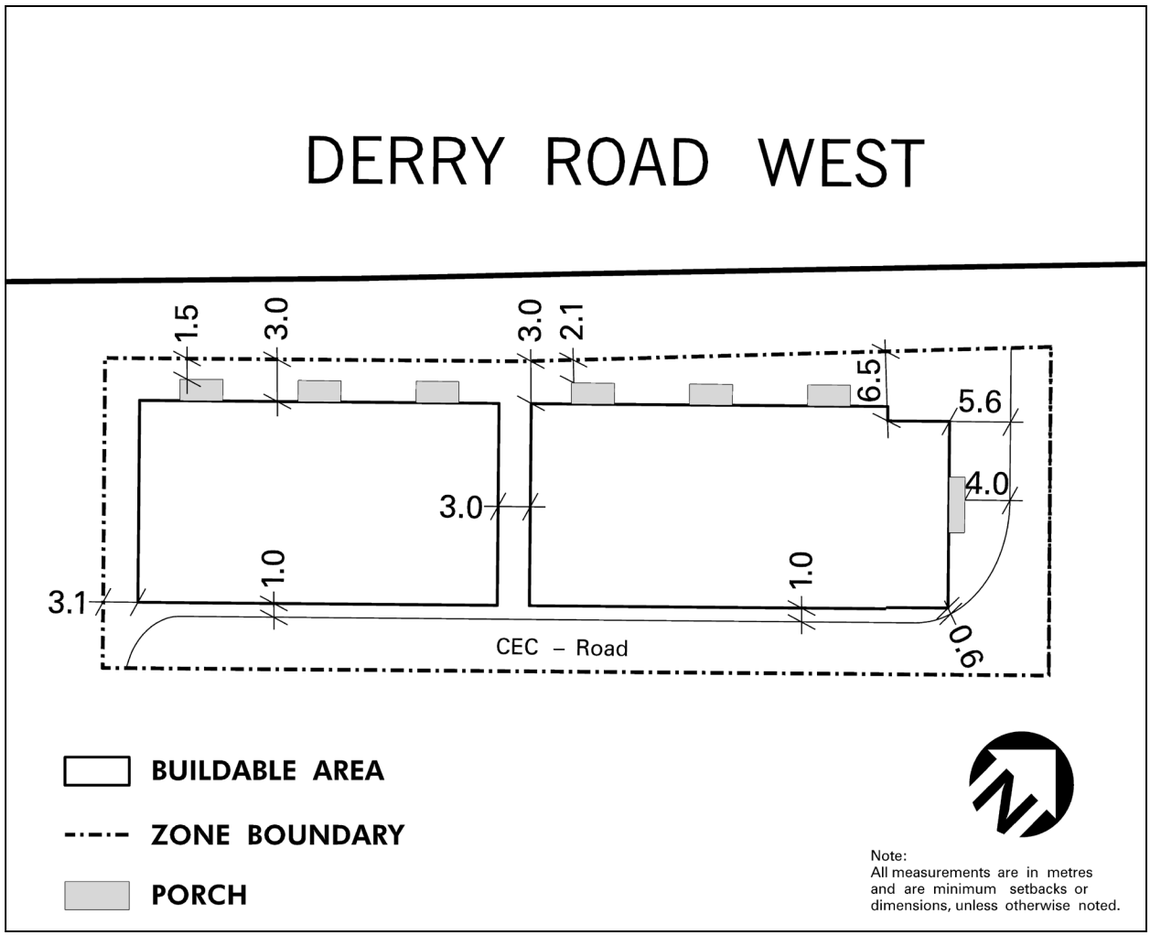

Schedule RM6-39
Map 44E

4.12.2.40	Exception: RM6-40	Map # 44E	By-law: 0105-2024
In a RM6-40 zone the permitted **uses** and applicable regulations shall be as specified for a RM6 zone except that the following **uses**/regulations shall apply:			
Regulations			
4.12.2.40.1	Minimum **lot area - CEC - corner lot**		168 m^2
4.12.2.40.2	Minimum **lot frontage - CEC - corner lot**		7.2 m
4.12.2.40.3	Maximum **height**		15.0 m and 3 **storeys**
4.12.2.40.4	Minimum **landscaped area**		10% of the **lot area**
4.12.2.40.5	A **porch** or **deck**, inclusive of stairs and a **balcony** may project outside the **buildable area** identified on Schedule RM6-40 of this Exception		
4.12.2.40.6	Notwithstanding Sentence 4.12.2.40.10 of this Exception, a **porch**, **deck**, or **balcony** shall comply with the regulations of Lines 12.1, 12.3, 12.4 and 12.5 contained in Table 4.12.1 of this By-law		
4.12.2.40.7	Total number of shared visitor **parking spaces** provided for all lands zoned RM6-39, RM6-40 and RM11-8		30
4.12.2.40.8	CEC - visitor **parking spaces** shall be provided within a **common element** area and on abutting lands zoned RM6-39 and RM11-8		
4.12.2.40.9	**CEC - roads** and **aisles** are permitted to be shared with abutting lands zoned RM6-39, RM11-8 and C2		
4.12.2.40.10	All site development plans shall comply with Schedule RM6-40 of this Exception		

Exception RM6-40 continued on next page

4.12.2.40	Exception: RM6-40	Map # 44E	By-law: 0105-2024

Exception RM6-40 continued from previous page

Holding Provision

The holding symbol H is to be removed from the whole or any part of the lands zoned H-RM6-40 by further amendment to Map 44E of Schedule B contained in Part 13 of this By-law, as amended, upon satisfaction of the following requirements:

(1) delivery of an executed Development Agreement with Municipal and Regional Infrastructure Schedules in a form and on terms satisfactory to The Corporation of the City of Mississauga ("City");

(2) submission of a Draft Reference Plan illustrating the required land dedications, conveyances, and easements including part block numbers, to the satisfaction of the City and the Region of Peel ("Region");

(3) gratuitous dedication of lands to achieve the ultimate 50.5 m right-of-way of Regional Road 5 (Derry Road West), as well as a 0.3 m reserve, to the satisfaction of the Region;

(4) submission of a revised Functional Servicing and Stormwater Management Report to the satisfaction of the City's Transportation and Works Department and the Region;

(5) submission of a revised Traffic Impact Study (TIS) to the satisfaction of the City's Transportation and Works Department, Municipal Parking Section, and the Region;

(6) submission of a detailed engineering submission for the road and access works impacting Derry Road West, to the satisfaction of the Region;

(7) submission of revised Grading and Servicing Plans to the satisfaction of the City's Transportation and Works and Planning and Building Departments;

(8) submission of a revised Noise Feasibility Study to the satisfaction of the City's Planning and Building Department;

(9) submission of a revised Phase One and Phase Two Environmental Site Assessment, Storm Sewer Use By-law Acknowledgment and related documents required for environmental compliance to the satisfaction of the City's Transportation and Works Department;

(10) submission of a revised Tree Inventory/Survey, Tree Preservation Plan, and Arborist Report to the satisfaction of the City's Planning and Building Department.

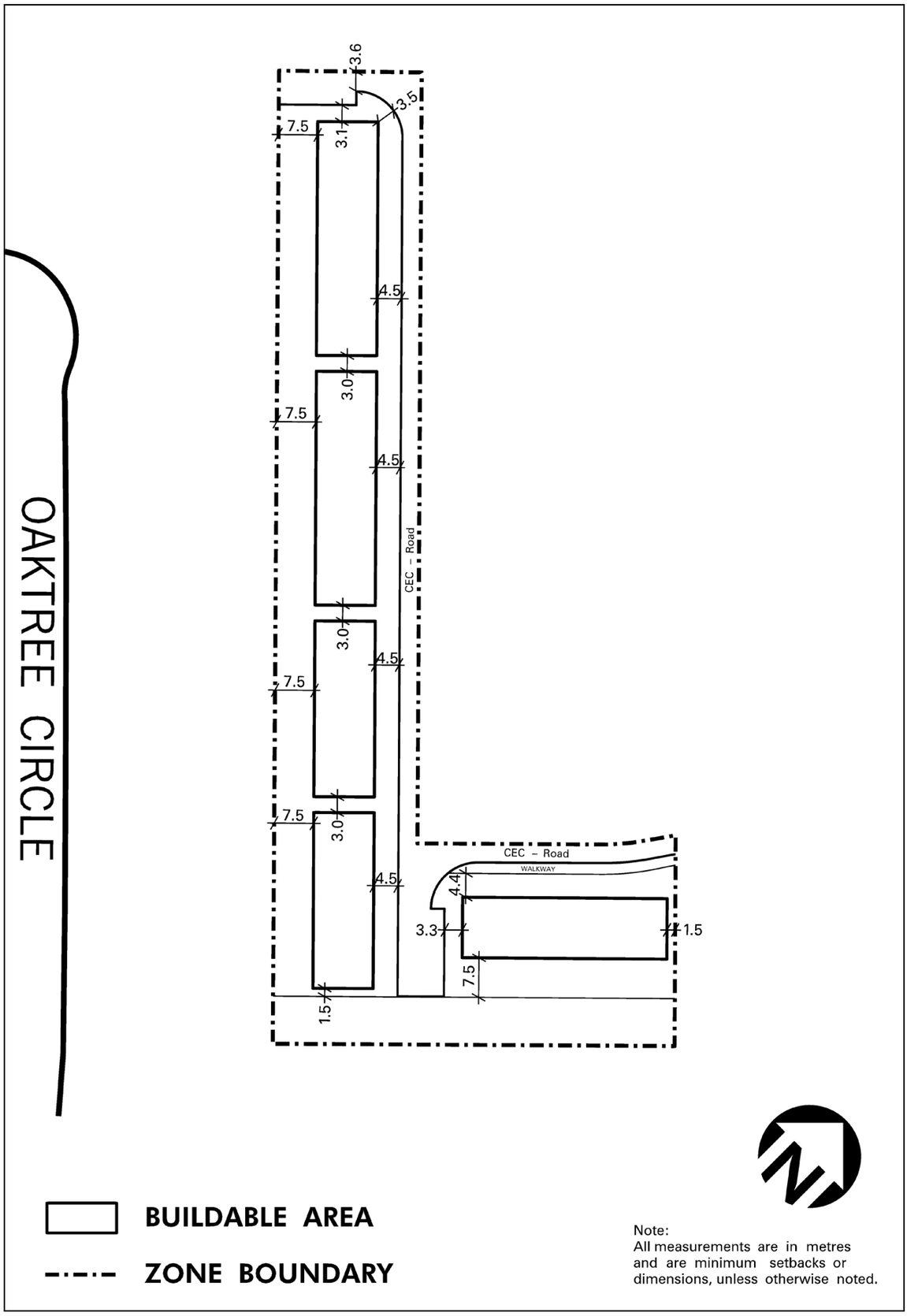

Schedule RM6-40
Map 44E