TABLE OF CONTENTS
Part 7: Downtown Core Zones

PURPOSE ..... 7.1 ~ 1

7.1 GENERAL PROVISIONS FOR DOWNTOWN CORE ZONES ..... 7.1 ~ 1 to 4
7.1.1 Uses Not Permitted in a CC1 Zone ..... 7.1 ~ 1
7.1.2 Uses Not Permitted in CC3 Zone Areas 'A', 'B' and 'C' ..... 7.1 ~ 1
7.1.3 Townhouse and Street Townhouse in CC3 Zone Areas 'A' and 'B' ..... 7.1 ~ 1
7.1.4 Accessory Uses ..... 7.1 ~ 1
7.1.4.1 Uses Accessory to a Permitted Use in a CC1 Zone ..... 7.1 ~ 1
7.1.4.2 Uses Accessory to a Permitted Use in CC2, CC3 and CC4 Zones ..... 7.1 ~ 2
7.1.4.3 Uses Accessory to a Permitted Use in a CCO Zone ..... 7.1 ~ 2
7.1.4A Retail Activation Frontages ..... 7.1 ~ 3
7.1.5 CC4 Zone Regulations ..... 7.1 ~ 4
7.1.5.1 Apartment, Long-Term Care and Retirement Building Regulations ..... 7.1 ~ 4
7.1.5.2 Underground Parking Structures ..... 7.1 ~ 4
7.1.5.3 *deleted by 0050-2013/LPAT Order 2020 June 08* ..... 7.1 ~ 4
7.1.5.4 *deleted by 0050-2013/LPAT Order 2020 June 08* ..... 7.1 ~ 4
7.1.5.5 *deleted by 0050-2013/LPAT Order 2020 June 08* ..... 7.1 ~ 4
7.1.6 Long-Term Care Buildings in CC1 to CC4 Zones ..... 7.1 ~ 4
7.1.7 Zone Boundaries ..... 7.1 ~ 4
7.1.8 Centreline Setbacks ..... 7.1 ~ 4
7.1.9 *deleted by 0199-2024* ..... 7.1 ~ 4

7.2 CC1 TO CC4, CCO AND CCOS ZONES (DOWNTOWN CORE) ... 7.2.1 ~ 1 to 7.2.6 ~ 2
7.2.1 CC1 to CC4, CCO and CCOS Permitted Uses and Zone Regulations ..... 7.2.1 ~ 1
7.2.2 CC1 Exception Zones ..... 7.2.2 ~ 1
7.2.3 CC2 Exception Zones ..... 7.2.3 ~ 1
7.2.4 CC3 Exception Zones ..... 7.2.4 ~ 1
7.2.5 CC4 Exception Zones ..... 7.2.5 ~ 1
7.2.5A CCO Exception Zones ..... 7.2.5A ~ 1
7.2.6 CCOS Exception Zones ..... 7.2.6 ~ 1

PURPOSE

The purpose of this Part is to provide a number of Downtown Core Zones, that allow for retail, office, and residential development and open space, in appropriate locations in Downtown Core.[1]

7.1 GENERAL PROVISIONS FOR DOWNTOWN CORE ZONES

In addition to the zone provisions contained in Parts 1 to 3 of this By-law, the following General Provisions for Downtown Core Zones shall also apply:
(0050-2013/LPAT Order 2020 June 08)

7.1.1 Uses Not Permitted in a CC1 Zone

7.1.1.1 The following **uses** shall not be permitted in a CC1 zone:

(1) **Convenience Restaurant**
(2) **Funeral Establishment**
(3) **Motor Vehicle Sales**, **Leasing and/or Rental Facility - Restricted**
(4) *deleted by 0174-2017*

7.1.2 Uses Not Permitted in CC3 Zone Areas 'A', 'B' and 'C'

7.1.2.1 The following **uses** shall not be permitted in Areas 'A', 'B' and 'C' identified on Schedules CC3(1) to CC3(3) of this By-law:

(1) **Banquet Hall/Conference Centre/Convention Centre**
(2) **Overnight Accommodation**
(3) **Restaurant**
(4) **Take-out Restaurant**
(5) **Entertainment Establishment**

7.1.3 Townhouse and Street Townhouse in CC3 Zone Areas 'A' and 'B'

7.1.3.1 **Townhouse** and **street townhouse** shall only be permitted within Areas 'A' and 'B' identified on Schedules CC3(1) to CC3(3) of this By-law.
(0181-2018/LPAT Order 2019 February 15)

7.1.4 Accessory Uses
(0379-2009), (0050-2013/LPAT Order 2020 June 08)

7.1.4.1 Uses Accessory to a Permitted Use in a CC1 Zone
(0050-2013/LPAT Order 2020 June 08), (0217-2023)

7.1.4.1.1 The following **uses** are permitted within a **building** used for a permitted **use** in a CC1 zone:

(1) **Cogeneration Facility**
(2) **Night club** in compliance with Table 2.1.2.2.1 of this By-law

7.1.4.1.2 An outdoor patio shall be permitted accessory to a **retail store** where the primary function is the sale of food.

[1] The purpose statement is for clarification purposes and does not form part of this By-law.

7.1.4.2 Uses Accessory to a Permitted Use in CC2, CC3 and CC4 Zones
(0174-2017), (0050-2013/LPAT Order 2020 June 08), (0111-2019/LPAT Order 2021 March 09), (0217-2023)

7.1.4.2.1 The following **uses** are permitted accessory to an **office building**, **medical office building**, **apartment**, **long-term care building**, **retirement building**, **overnight accommodation**, **banquet hall/conference centre/convention centre**, **hospital**, university/college, **staff/student residence**, **parking structure**, centre for the performing arts or any combination thereof in CC2, CC3 and CC4 zones except as restricted in Article 7.1.2.1 of this By-law:

(1) **Financial Institution**
(2) **Service Establishment**
(3) **Repair Establishment**
(4) **Recreational Establishment**
(5) **Restaurant**
(6) **Take-out Restaurant**
(7) **Retail Store**
(8) **Entertainment Establishment**
(9) **Motor Vehicle Rental Facility**
(10) **Cogeneration Facility**
(11) Outdoor patio accessory to a **retail store** where the primary function is the sale of food

7.1.4.2.2 A **night club** shall be permitted accessory to a permitted **use** in a CC2 zone in compliance with Table 2.1.2.2.1 of this By-law.

7.1.4.2.3 Unless otherwise permitted, the **uses** contained in Sentences 7.1.4.2.1 and 7.1.4.2.2 of this By-law shall be located within an **office building**, **medical office building**, **apartment**, **long-term care building**, **retirement building**, **overnight accommodation**, **banquet hall/conference centre/convention centre**, **hospital**, university/college, **staff/student residence**, **parking structure**, centre for the performing arts or any combination thereof.

7.1.4.2.4 **Uses** identified in Sentences 7.1.4.2.1 and 7.1.4.2.2 of this By-law shall not be permitted above the second **storey**.

7.1.4.2.5 A **motor vehicle rental facility** shall not store **motor vehicles** that are offered for rent in required **parking spaces**.

7.1.4.2.6 *deleted by 0217-2023*

7.1.4.3 Uses Accessory to a Permitted Use in a CCO Zone
(0174-2017), (0050-2013/LPAT Order 2020 June 08), (0111-2019/LPAT Order 2021 March 09), (0217-2023)

7.1.4.3.1 The following **uses** are permitted accessory to an **office building**, **medical office building**, **hospital**, university/college, **overnight accommodation** or any combination thereof in a CCO zone:

(1) **Financial Institution**
(2) **Service Establishment**
(3) **Repair Establishment**
(4) **Recreational Establishment**
(5) **Restaurant**
(6) **Take-out Restaurant**
(7) **Retail Store**
(8) **Entertainment Establishment**
(9) **Motor Vehicle Rental Facility**
(10) **Cogeneration Facility**
(11) **Night club** in compliance with Table 2.1.2.2.1 of this By-law
(12) Outdoor patio accessory to a **retail store** where the primary function is the sale of food

7.1.4.3.2 Unless otherwise permitted, the **uses** contained in Sentence 7.1.4.3.1 of this By-law shall be located within an **office building**, **medical office building**, **hospital**, university/college, **overnight accommodation** or any combination thereof.

7.1.4.3.3 **Uses** identified in Sentence 7.1.4.3.1 of this By-law shall not be permitted above the second **storey**.

7.1.4.3.4 **Apartments** will be permitted within the CCO zone as part of a development containing an **office building**, **medical office building**, **hospital**, university/college or **overnight accommodation uses**, or any combination thereof, provided that the **gross floor area - apartment zone** shall not exceed 20% of the total **gross floor area** of the development.

7.1.4.3.5 A **motor vehicle rental facility** shall not store **motor vehicles** that are offered for rent in required **parking spaces**.

7.1.4A Retail Activation Frontages
(0050-2013/LPAT Order 2020 June 08), (0111-2019/LPAT Order 2021 March 09)

7.1.4A.1 Notwithstanding Table 7.2.1, Sentences 7.1.4.2.1 and 7.1.4.3.1 of this By-law, **uses** identified as Retail Activation **Uses** in Sentence 7.1.4A.2.5 of this By-law and located on Retail Activation Frontages shall only be permitted in compliance with the provisions of Subsection 7.1.4A of this By-law.

7.1.4A.2 A **building** located on a **lot** abutting a **street** with a 75% or 50% Retail Activation Frontage identified on Schedules CC1, CC2(2) and CCO of this By-law shall comply with the following:

7.1.4A.2.1 The **first storey** of a **building** shall only contain Retail Activation **Uses** in units abutting/within the linear **building** frontage.

7.1.4A.2.2 The minimum depth of a unit used for a Retail Activation **Use** shall be 10.0 m.

7.1.4A.2.3 The minimum height of a unit containing a Retail Activation **Use** shall be 4.5 m measured from finished floor to ceiling.

7.1.4A.2.4 Retail Activation **Uses** shall only include the following:

(1) **Financial Institution**
(2) **Service Establishment**
(3) **Restaurant**
(4) **Take-out Restaurant**
(5) **Retail Store**

7.1.4A.2.5 Notwithstanding Sentences 7.1.4.2.4 and 7.1.4.3.3 of this By-law, the following **uses** shall also be permitted on the second **storey** of a **building** located on a **lot** abutting a **street** with a 75% or 50% Retail Activation Frontage in CC2 and CCO zones:

(1) **Retail store** where the primary function is the sale of food in a CC2 zone
(2) **Repair Establishment**
(3) **Recreational Establishment**
(4) **Entertainment Establishment**
(5) **Motor Vehicle Rental Facility**
(6) **Cogeneration Facility**
(7) **Night club** in a CCO zone and accessory to a permitted **use** in a CC2 zone, in compliance with Table 2.1.2.2.1 of this By-law.

7.1.4A.2.6 For the purpose of this By-law, linear **building** frontage shall be measured for that portion of a **building** located at or within the **build-to-area** measured from the exterior of outside walls parallel to the **street line**.

7.1.4A.3 A **building** located on a **lot** abutting a **street** with a 75% Retail Activation Frontage shall also comply with the following:

7.1.4A.3.1 A minimum of 75% of the **first storey** of the linear **building** frontage shall form the exterior wall of units used for Retail Activation **Uses**.

7.1.4A.3.2 Where a residential **building**, **structure** or part thereof has frontage on a **street** with a 75% Retail Activation Frontage, pedestrian access to **uses** permitted above and below the **first storey** shall be permitted provided that the width of the pedestrian access shall not be greater than 6.5 m.

7.1.4A.4 A **building** located on a **lot** abutting a **street** with a 50% Retail Activation Frontage shall also comply with the following:

7.1.4A.4.1 A minimum of 50% of the **first storey** of the linear **building** frontage shall form the exterior wall of units used for Retail Activation **Uses**.

7.1.5 CC4 Zone Regulations

7.1.5.1 Apartment, Long-Term Care and Retirement Building Regulations

7.1.5.1.1 The total maximum number of **dwelling units** on all lands zoned CC4 and CC4-1 to CC4-5 shall be 5 321.

7.1.5.1.2 *(0174-2017), deleted by 0050-2013/LPAT Order 2020 June 08*

7.1.5.1.3 An **apartment, long-term care** and **retirement building** may have a separate direct and/or shared access to the **dwelling units** at the ground floor and/or above the **first storey** and/or a private or shared corridor. *(0174-2017)*

7.1.5.2 Underground Parking Structures

Underground **parking structures** are permitted below a **street** in accordance with the regulations contained in Table 7.1.5.2 - Underground Parking Structures. *(0026-2014)*

Table 7.1.5.2 - Underground Parking Structures

Column	**A**	**B**	**C**
Line	**Street** Width	Maximum Encroachment	Minimum **Vertical Depth**
1.0	12.5 m	6.25 m on each side of the **street**	0.5 m

7.1.5.3 *deleted by 0050-2013/LPAT Order 2020 June 08*

7.1.5.4 *deleted by 0050-2013/LPAT Order 2020 June 08*

7.1.5.5 *deleted by 0050-2013/LPAT Order 2020 June 08*

7.1.5.5.1 *deleted by 0050-2013/LPAT Order 2020 June 08*

7.1.6 Long-Term Care Buildings in CC1 to CC4 Zones
(0174-2017)

For the purpose of calculating the number of **dwelling units** in a **long-term care building**, two long-term care beds shall equal one long-term care **dwelling unit**.

7.1.7 Zone Boundaries
(0050-2013/LPAT Order 2020 June 08)

7.1.7.1 Where a zone boundary as shown on Schedule "B" of this By-law follows a proposed or **existing street**, the centreline of the **street** is the zone boundary.

7.1.8 Centreline Setbacks
(0050-2013/LPAT Order 2020 June 08)

7.1.8.1 The provisions contained in Subsection 2.1.14 of this By-law shall not apply to the CC1 to CC4 and CCO zones.

7.1.9 *(0099-2020), (0050-2013/LPAT Order 2020 June 08), (0111-2019/LPAT Order 2021 March 09), deleted by 0199-2024*

7.2 CC1 TO CC4, CCO AND CCOS ZONES (DOWNTOWN CORE)

7.2.1 CC1 to CC4, CCO and CCOS Permitted Uses and Zone Regulations

All **buildings** and **structures** shall comply with the provisions contained in Parts 1 to 3 and Section 7.1 of this By-law, and the **uses** and zone regulations specified within the applicable zone column contained in Table 7.2.1 - CC1 to CC4, CCO and CCOS Permitted Uses and Zone Regulations. *(0050-2013/LPAT Order 2020 June 08)*

Table 7.2.1 - CC1 to CC4, CCO and CCOS Permitted Uses and Zone Regulations
(0325-2008), (0379-2009), (0308-2011), (0174-2017), (0050-2013/LPAT Order 2020 June 08), (0181-2018/LPAT Order 2019 February 15), (0018-2021)

Column	**A**	**B**	**C**	**D**	**E**	**F**	**G**
Line 1.0	**USES**	**ZONES**					
		CC1 Downtown Core - Core Commercial	**CC2** Downtown Core - Mixed Use	**CC3** Downtown Core - Mixed Use Transition Area	**CC4** Downtown Core - Mixed Use	**CCO** Downtown Core - Office	**CCOS** Downtown Core - Open Space
PERMITTED USES							
2.0	DOWNTOWN CORE						
2.1	**Office**	✓	✓	✓	✓	✓	
2.2	**Medical Office**	✓	✓	✓	✓	✓	
2.3	**Apartment**	✓	✓	✓	✓ (5)		
2.4	**Long-Term Care Building**	✓	✓	✓	✓ (5)		
2.5	**Retirement Building**	✓	✓	✓	✓ (5)		
2.6	**Townhouse**			✓ (6)			
2.7	**Street Townhouse**			✓ (6)			
2.8	All **uses** permitted in C1 to C4 Base Zones	✓ (1)					
2.9	**Banquet Hall/ Conference Centre/ Convention Centre**	✓	✓	✓ (3)	✓		
2.10	**Hospital**	✓	✓	✓	✓	✓	
2.11	University/College	✓	✓	✓	✓	✓	
2.11A	**Staff/Student Residence**	✓	✓	✓	✓		
2.12	**Commercial School**	✓	✓				
2.13	**Active Recreational Use**	✓	✓	✓	✓	✓	✓
2.14	**Passive Recreational Use**	✓	✓	✓	✓	✓	✓
2.15	**Parking Structure**	✓	✓	✓	✓		
2.16	**Parking Structure** - Below Grade Only						✓
2.17	**Overnight Accommodation**	✓	✓	✓ (3)	✓	✓	
2.18	Centre for the Performing Arts	✓	✓				
2.19	Outdoor Market	✓	✓			✓	✓

Table 7.2.1 continued on next page

Column	A	B	C	D	E	F	G
Line 1.0	**USES**	**ZONES**					
		CC1 Downtown Core - Core Commercial	**CC2** Downtown Core - Mixed Use	**CC3** Downtown Core - Mixed Use Transition Area	**CC4** Downtown Core - Mixed Use	**CCO** Downtown Core - Office	**CCOS** Downtown Core - Open Space
Table 7.2.1 continued from previous page							
ZONE REGULATIONS							
3.0	**GROSS FLOOR AREA**						
3.1	Minimum **gross floor area - apartment zone**	1.0 times the **lot area**	1.0 times the **lot area**	1.0 times the **lot area**	1.0 times the **lot area**		
3.2	Maximum **tower floor plate** for an **apartment** shall be 850 m^2	✓	✓	✓	✓		
3.3	Notwithstanding the **uses** permitted in Lines 2.3, 2.4 and 2.5 of this Table, residential **dwelling units** shall not be permitted on the **first storey** of a **building**. Shared entrance and exit facilities through a common vestibule shall be permitted on the **first storey**	✓					
4.0	**BUILD-TO-AREAS**						
4.1	Each **building**, **structure** and/or **use** shall comply with all regulations related to **build-to-areas** as shown on the Schedules and Exception Schedules contained in Part 7 of this By-law	✓ (1)(4)(6)	✓ (1)(6)	✓	✓(1)	✓ (1)(6)	
4.2	Notwithstanding the zone regulation contained in Line 4.1 of this Table, where a property has **build-to-areas** along more than two **lot lines**, the **building** or **structure** shall be located along a minimum of two **build-to-areas**	✓ (4)	✓	✓	✓	✓	
4.3	*deleted by 0050-2013/LPAT Order 2020 June 08*						

Table 7.2.1 continued on next page

Column	A	B	C	D	E	F	G
Line 1.0	**USES**	**ZONES**					
		CC1 Downtown Core - Core Commercial	**CC2** Downtown Core - Mixed Use	**CC3** Downtown Core - Mixed Use Transition Area	**CC4** Downtown Core - Mixed Use	**CCO** Downtown Core - Office	**CCOS** Downtown Core - Open Space
Table 7.2.1 continued from previous page							
4A.0	'A' and 'B' **STREET** FRONTAGES						
4A.1	A **building** with a **streetwall** facing an 'A' or 'B' **Street** Frontage identified on Schedules and Exception Schedules in Part 7 of this By-law shall comply with the regulations contained in Lines 4A.2 to 4A.11 of this Table	✓	✓	✓	✓	✓	
4A.2	A minimum of 65% of the area of the **first storey streetwall** of a **building** containing a non-residential **use** facing an 'A' **Street** Frontage shall contain glazing	✓	✓	✓	✓	✓	
4A.3	A minimum of 50% of the area of the **first storey streetwall** of a **building** containing a non-residential **use** facing a 'B' **Street** Frontage shall contain glazing	✓	✓	✓	✓	✓	
4A.4	Each individual unit with a **first storey streetwall** facing an 'A' **Street** Frontage shall provide a pedestrian access through a **main front entrance** facing the 'A' **Street** Frontage	✓	✓	✓	✓	✓	
4A.5	Pedestrian access to units above/below the **first storey** of a **building** with a **first storey streetwall** facing an 'A' **Street** Frontage shall be provided through a **main front entrance** facing the 'A' **Street** Frontage	✓	✓	✓	✓	✓	
4A.6	Each individual unit with a **first storey streetwall** facing both 'A' and 'B' **Street** Frontages shall provide a pedestrian access through a **main front entrance** facing the 'A' **Street** Frontage	✓	✓	✓	✓	✓	

Table 7.2.1 continued on next page

Column	A	B	C	D	E	F	G
Line 1.0	**USES**	**ZONES**					
		CC1 Downtown Core - Core Commercial	**CC2** Downtown Core - Mixed Use	**CC3** Downtown Core - Mixed Use Transition Area	**CC4** Downtown Core - Mixed Use	**CCO** Downtown Core - Office	**CCOS** Downtown Core - Open Space
Table 7.2.1 continued from previous page							
4A.7	Pedestrian access to units above/below the **first storey** of a **building** with a **first storey streetwall** facing both 'A' and 'B' **Street** Frontages shall be provided through a **main front entrance** facing the 'A' **Street** Frontage	✓	✓	✓	✓	✓	
4A.8	Each individual unit with a **first storey streetwall** facing a 'B' **Street** Frontage shall provide a pedestrian access through a **main front entrance** facing the 'B' **Street** Frontage	✓	✓	✓	✓	✓	
4A.9	Pedestrian access to units above/below the **first storey** of a **building** with a **first storey streetwall** facing a 'B' **Street** Frontage shall be provided through a **main front entrance** facing the 'B' **Street** Frontage	✓	✓	✓	✓	✓	
4A.10	Vehicular access to a **building** with a **first storey streetwall** facing both 'A' and 'B' **Street** Frontages shall be provided from the 'B' **Street** Frontage	✓	✓	✓	✓	✓	
4A.11	An above grade or partially above grade **parking structure** shall not face a **street** with an 'A' **Street** Frontage	✓	✓	✓	✓		
4B.0	**HEIGHT**						
4B.1	Minimum **Height**	3 **storeys**	3 **storeys**	3 **storeys**	3 **storeys**	3 **storeys**	
4C.0	PODIUMS IN RESIDENTIAL **BUILDINGS**						
4C.1	**Apartment**, **long-term care** and **retirement buildings** greater than 12 **storeys** shall contain a podium	✓	✓	✓	✓		
4C.2	The minimum height of a podium measured at the **streetwall** shall be three **storeys**	✓	✓	✓	✓		

Table 7.2.1 continued on next page

Column	A	B	C	D	E	F	G
Line 1.0	**USES**	**ZONES**					
		CC1 Downtown Core - Core Commercial	**CC2** Downtown Core - Mixed Use	**CC3** Downtown Core - Mixed Use Transition Area	**CC4** Downtown Core - Mixed Use	**CCO** Downtown Core - Office	**CCOS** Downtown Core - Open Space
Table 7.2.1 continued from previous page							
5.0	SETBACKS AND ENCROACHMENTS						
5.1	The first three **storeys** of a podium in a residential **building** shall not project beyond or behind the **first storey** of the **streetwall**	✓	✓	✓	✓		
5.2	Minimum setback from the exterior face of a podium of residential **buildings** and **structures**, or parts thereof, located above the podium structure				3.0 m		
5.3	Notwithstanding the zone regulation contained in Line 5.2 of this Table, the maximum encroachment of portions of a residential **building** or **structure** into the required setback				1.5 m		
6.0	**DRIVEWAYS**, **AISLES**, **PARKING AREAS**, ACCESS AND PARKING						
6.1	An at-grade **driveway**, **aisle**, **parking area** or loading area shall not be permitted between a wall of a **building** or **structure** and a **lot line** abutting a **street** or within 7.6 m of a **lot line** abutting a **street** except for vehicular accesses or where a property has a **lot line** abutting more than two **streets**, an at-grade **driveway**, **aisle** or **parking area** shall not be permitted between the wall of a **building** or **structure** and a **lot line** abutting two of the **streets**	✓	✓	✓	✓	✓	
6.2	**Driveways**, **condominium roads** and **aisles** are permitted to be shared with abutting lands with the same zoning	✓	✓	✓	✓	✓	
7.0	**LANDSCAPED OPEN SPACE AREA**						
7.1	Minimum **Landscaped Open Space Area**				40% of the **lot area**		

Table 7.2.1 continued on next page

Column	A	B	C	D	E	F	G
Line 1.0	**USES**	**ZONES**					
		CC1 Downtown Core - Core Commercial	**CC2** Downtown Core - Mixed Use	**CC3** Downtown Core - Mixed Use Transition Area	**CC4** Downtown Core - Mixed Use	**CCO** Downtown Core - Office	**CCOS** Downtown Core - Open Space
Table 7.2.1 continued from previous page							
8.0	EXEMPTIONS						
8.1	*deleted by 0050-2013/LPAT Order 2020 June 08*						

Definitions

For the purpose of Part 7 of By-law 0225-2007, as amended, the following definitions shall apply:

Glazing — means clear or transparent glass.

Podium — means the base of a **building**, **structure** or part thereof located at or above **established grade** that projects from the tower portion of the **building**.

Height of a Podium — means the vertical distance between the **established grade** and the highest point of the roof surface of the podium.

Holding Provision

(1) The holding symbol H is to be removed from the whole or any part of the lands zoned H-CC1, H-CC2, H-CC3, H-CCO and/or H-CCOS by further amendment to Maps 22, 28 and 29 of Schedule B contained in Part 13 of this By-law, as amended, upon satisfaction of the following requirements:

(1.1) delivery of an executed Servicing Agreement and/or Development Agreement in a form satisfactory to The Corporation of the City of Mississauga, addressing and agreeing to the installation or placement of all required municipal works, including municipal walkways, the provision of land dedication for future public road widenings, and transit rights-of-way and easements, including the provision of parkland, the provisions of required securities, and related provisions provided that the Servicing and Development Agreements will not require the gratuitous dedication of land for new public roads, including realignments of roads, where not otherwise permitted under the *Planning Act* or impose an obligation upon a landowner to construct or pay for the construction of a new road;

(1.2) convey/dedicate to the City a right-of-way to be used for a **street** on 'A' and 'B' **Street** Frontages identified on the Schedules of this Part of this By-law, where a **street** currently does not exist.

(2) The holding symbol H shall not prevent the **use** of **buildings** and **structures** legally **existing** on the date of passing of this By-law for any other **uses** which are permitted by the zone in which they are located. The holding symbol H shall also not prevent alterations to **existing buildings** which do not result in an increase to **gross floor area - non-residential** or the addition of required parking to support the **uses** within these **existing buildings** and **structures**.

NOTES:
(1) See also Subsection 7.1.4A of this By-law.
(2) See also Subsection 7.1.1 of this By-law.
(3) See also Subsection 7.1.2 of this By-law.
(4) See Article 7.2.1.1 of this By-law.
(5) See also Subsection 7.1.5 of this By-law.
(6) See also Subsection 7.1.3 of this By-law.

7.2.1.1 For properties zoned CC1, additions which are constructed onto any **building** or **structure** legally **existing** on the date of passing of this By-law shall not be subject to the regulations of Lines 4.1 and 4.2 contained in Table 7.2.1 of this By-law for 100 City Centre Drive. *(0018-2021)*

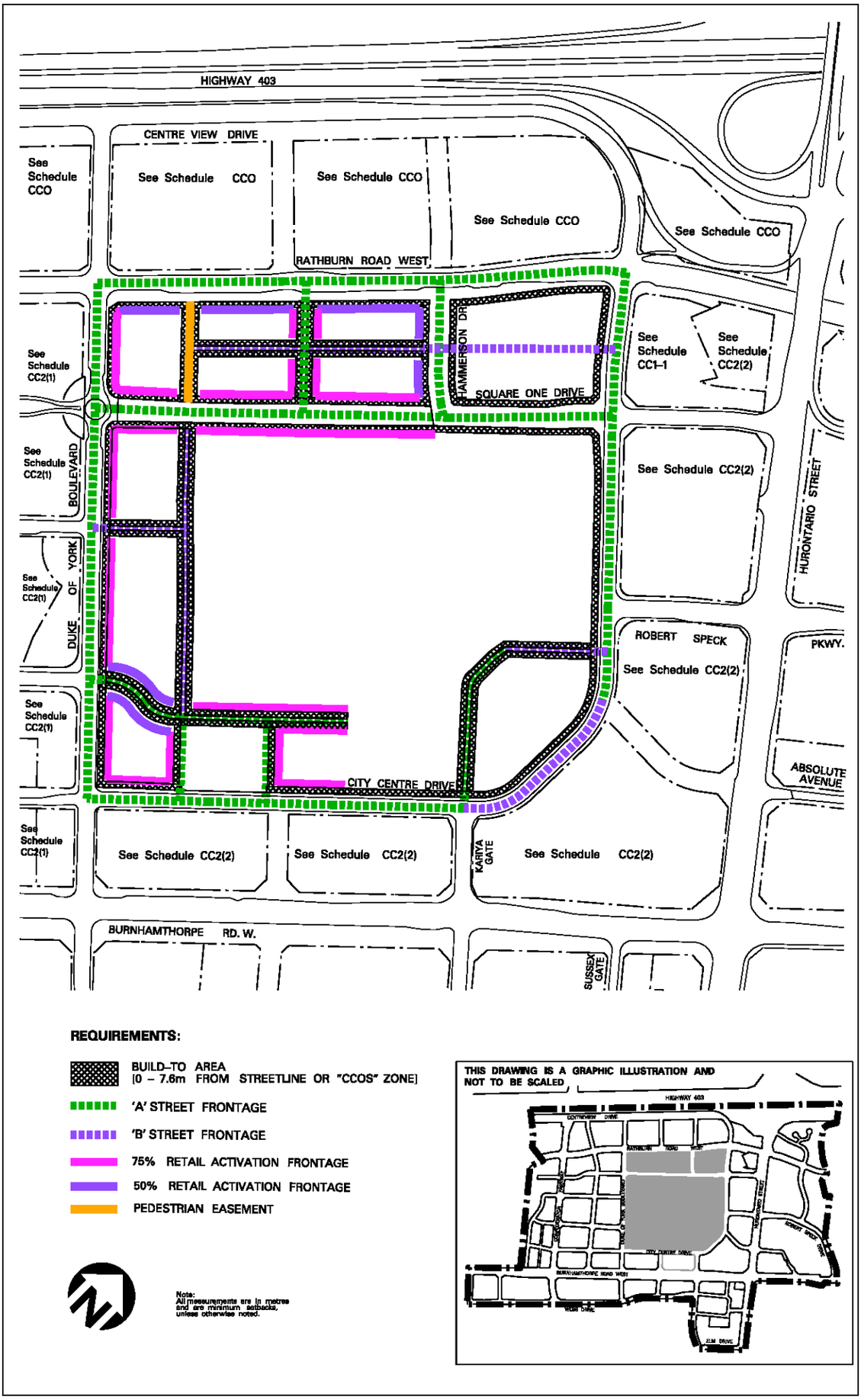

Schedule CC1
Map 29
(*OMB Order 2014 February 20), (0263-2016), (0050-2013/LPAT Order 2020 June 08)*

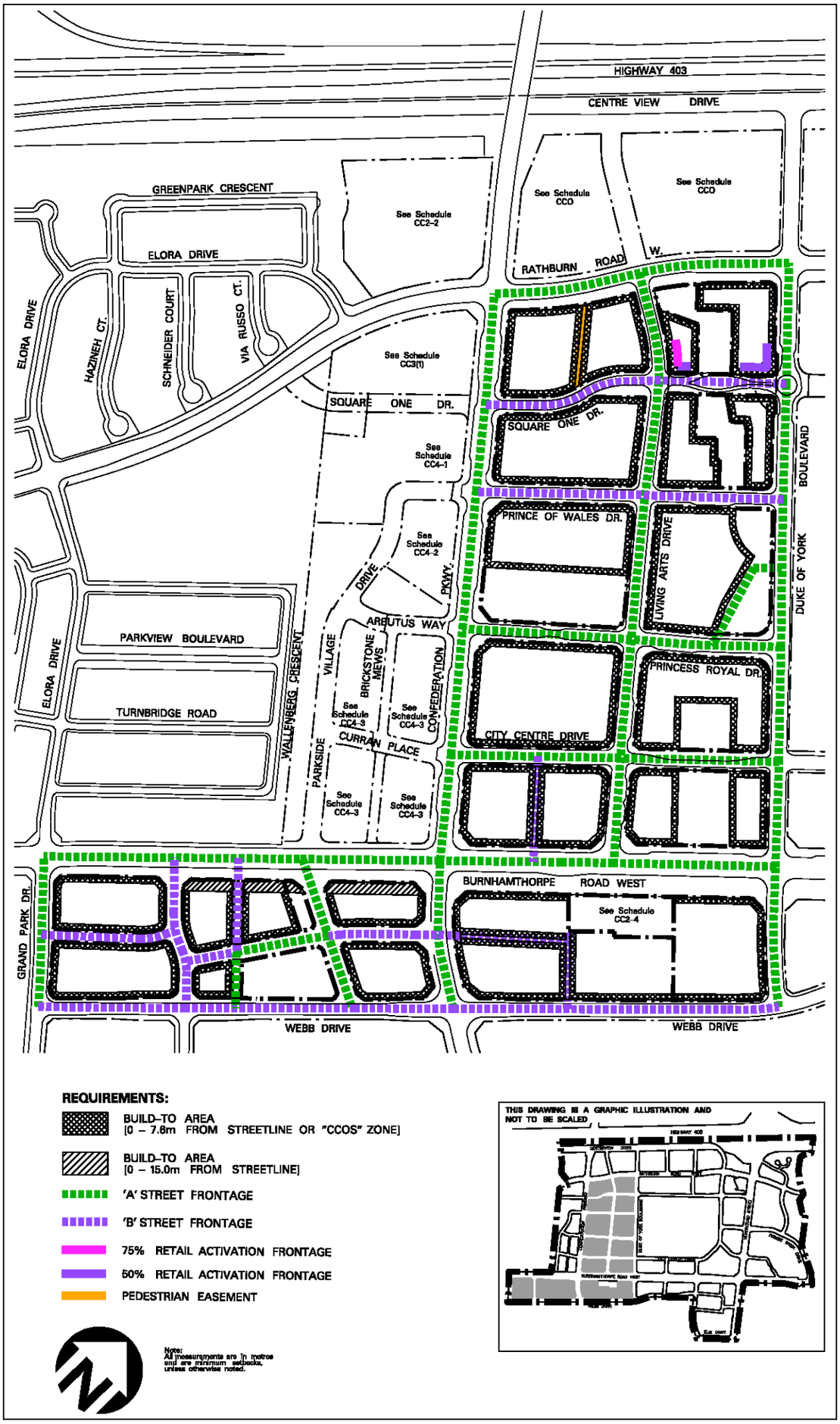

Schedule CC2(1)

Maps 22 and 29

(OMB Order 2015 May 11),
(0050-2013/LPAT Order 2020 June 08),
(0155-2021), (0257-2021)

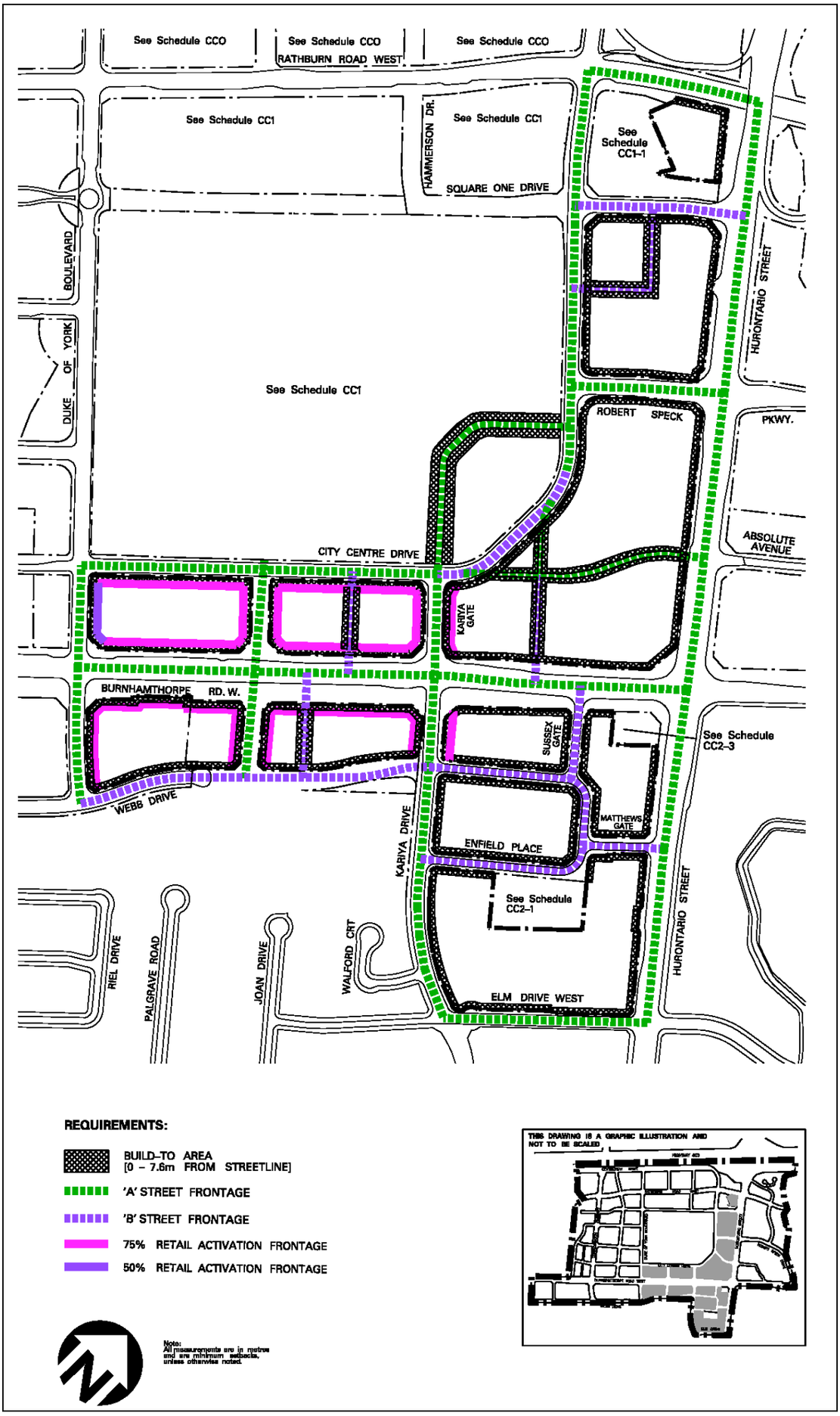

Schedule CC2(2)

Maps 22 and 29

(0050-2013/LPAT Order 2020 June 08), (0140-2021), (0181-2021), (0214-2021), (0097-2022), (0111-2022), (0219-2022), (0220-2022), (0153-2023)

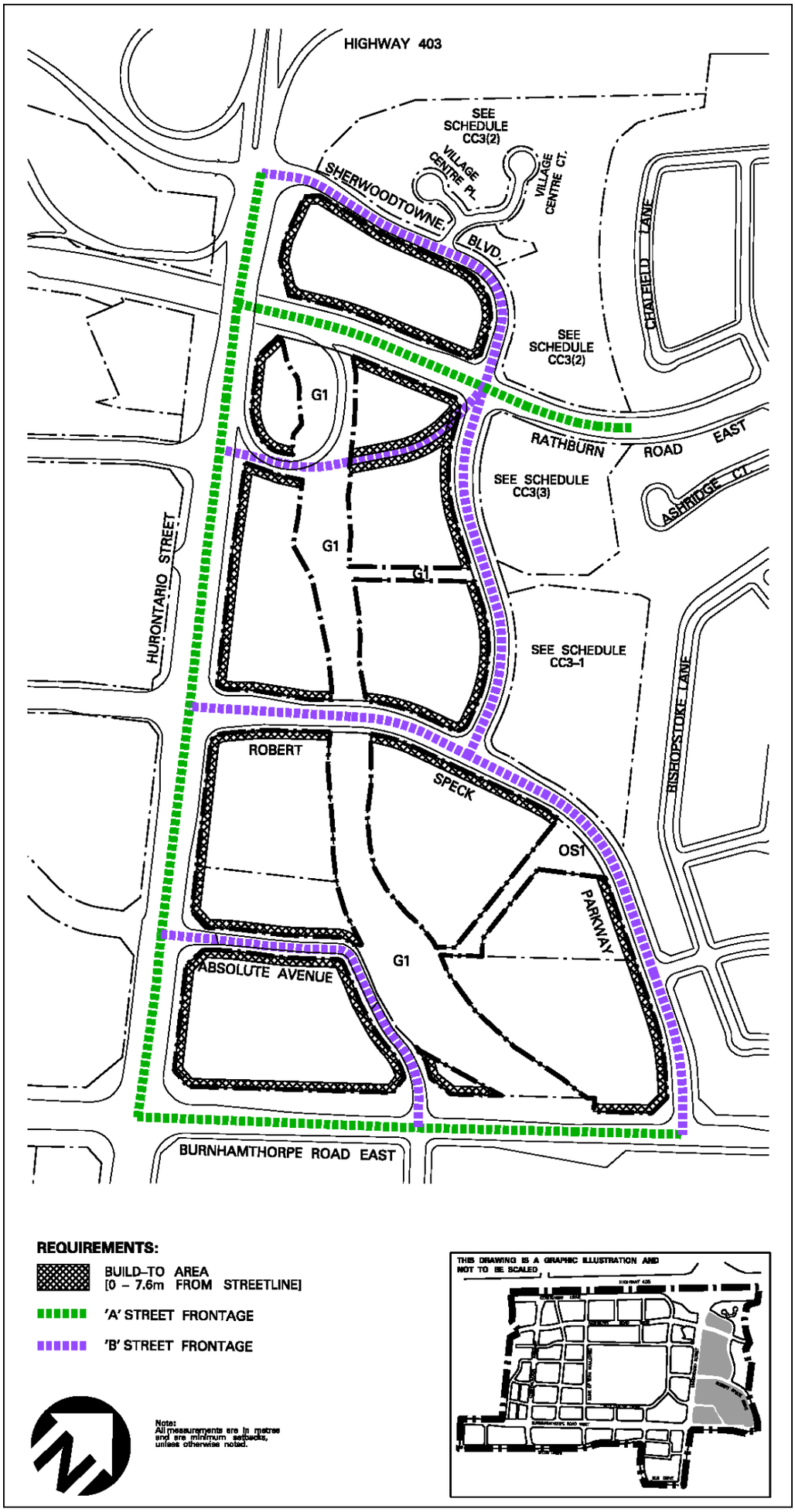

Schedule CC2(3)
Map 28
(0050-2013/LPAT Order 2020 June 08)

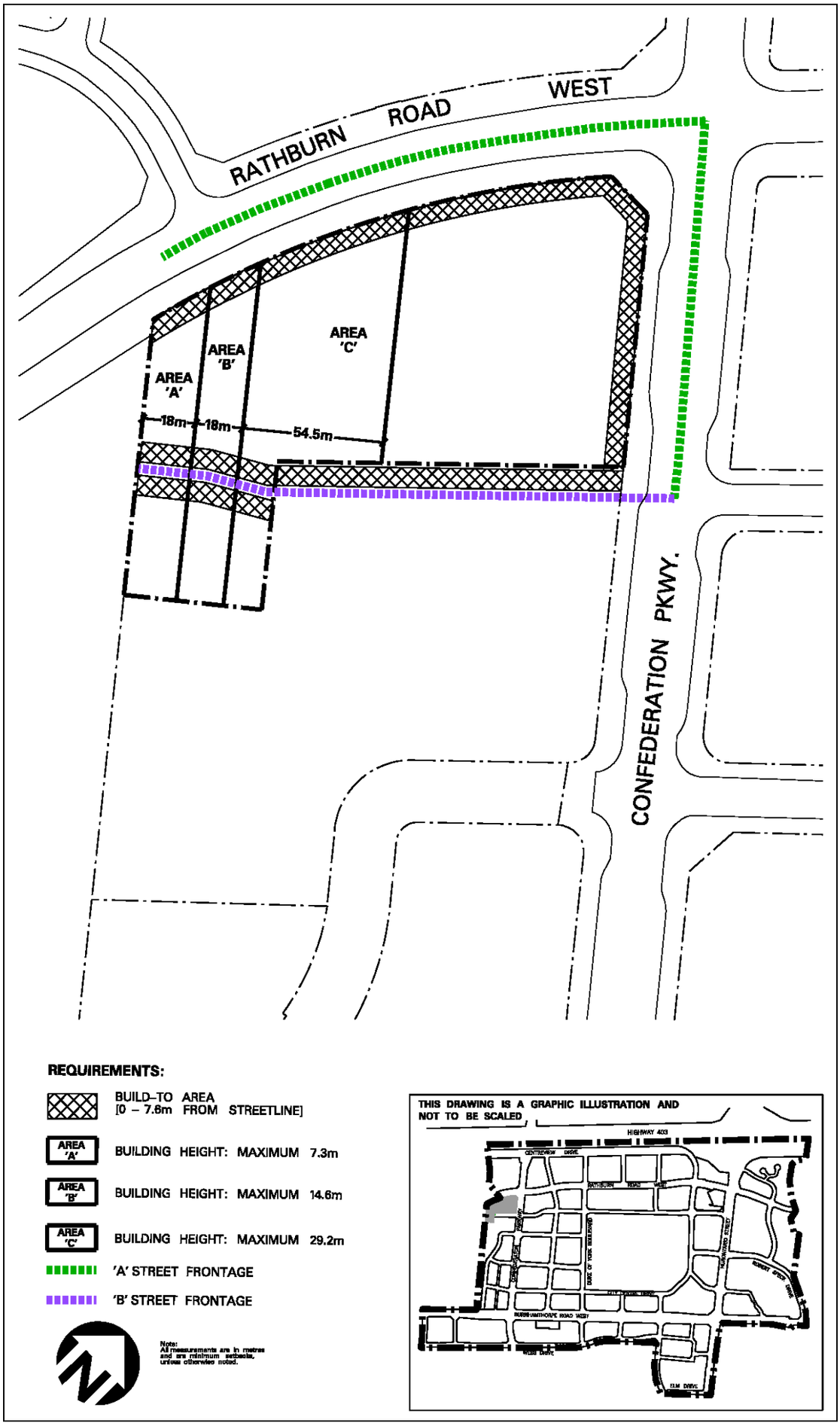

Schedule CC3(1)
Map 29
(0050-2013/LPAT Order 2020 June 08)

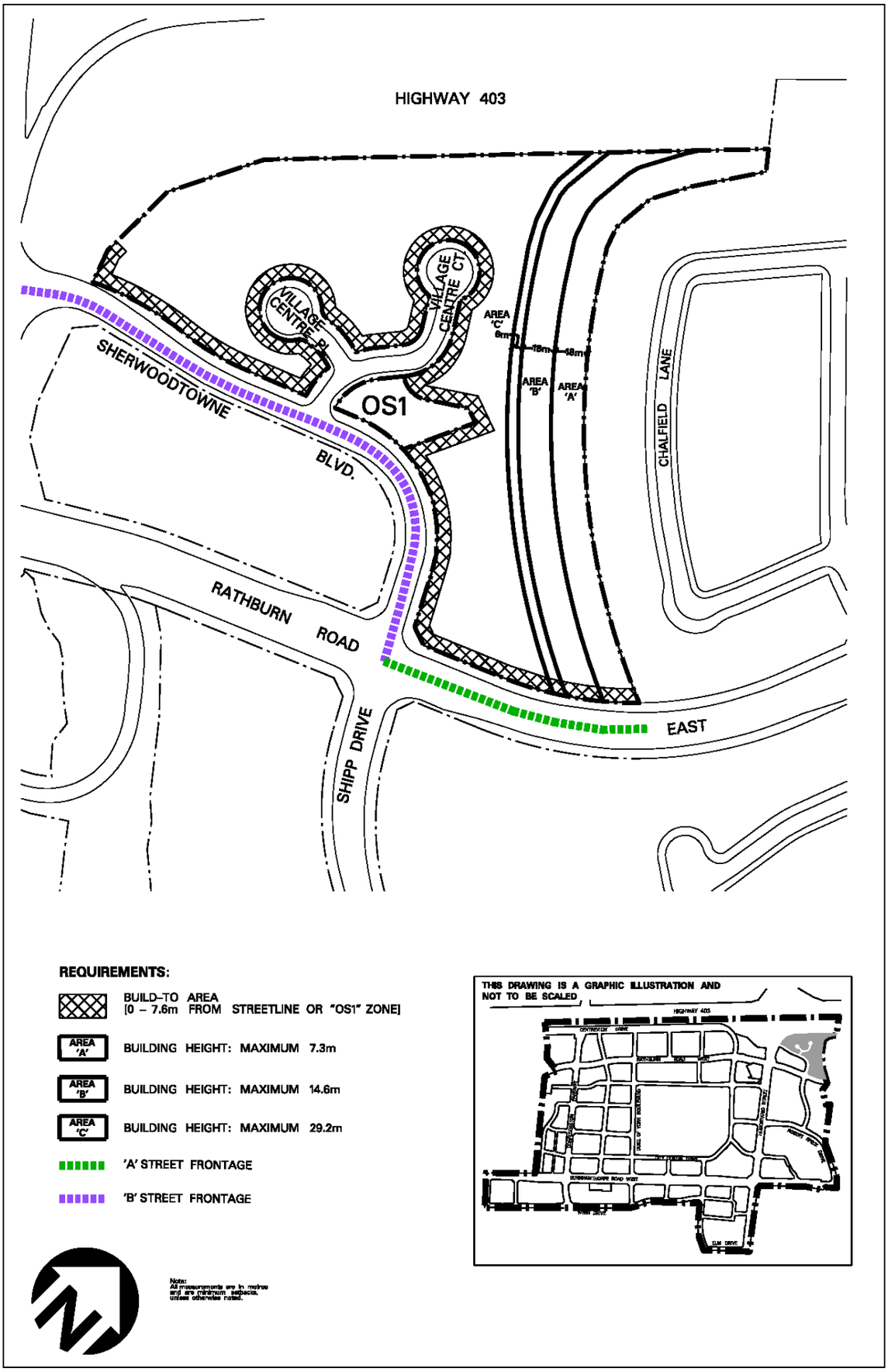

Schedule CC3(2)
Map 28
(0050-2013/LPAT Order 2020 June 08)

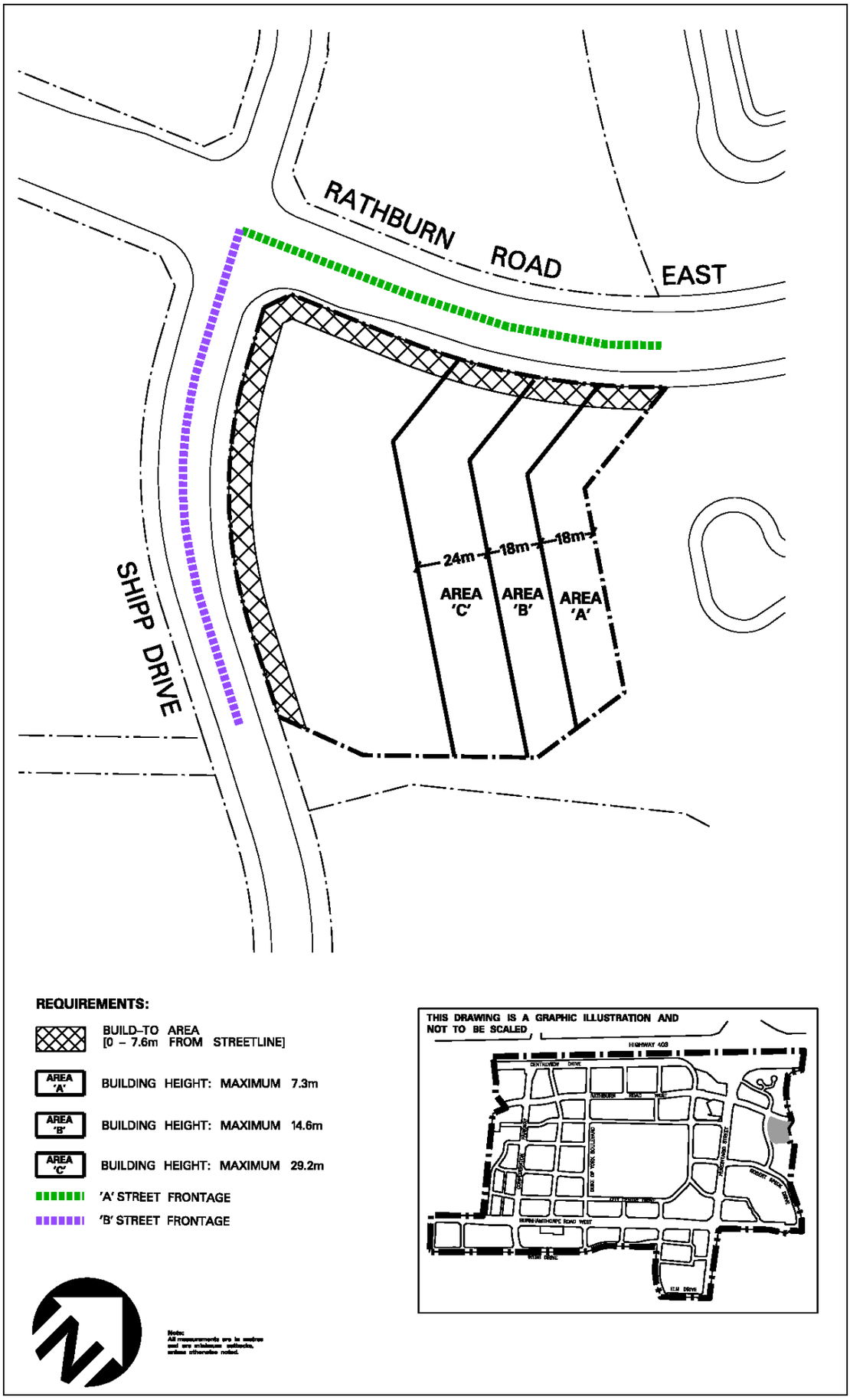
RATHBURN ROAD EAST
SHIPP DRIVE
24m
18m
18m
AREA 'C'
AREA 'B'
AREA 'A'
REQUIREMENTS:
BUILD-TO AREA [0 – 7.6m FROM STREETLINE]
AREA 'A' BUILDING HEIGHT: MAXIMUM 7.3m
AREA 'B' BUILDING HEIGHT: MAXIMUM 14.6m
AREA 'C' BUILDING HEIGHT: MAXIMUM 29.2m
'A' STREET FRONTAGE
'B' STREET FRONTAGE
THIS DRAWING IS A GRAPHIC ILLUSTRATION AND NOT TO BE SCALED
HIGHWAY 403
CENTRAVIEW DRIVE
RATHBURN ROAD WEST
BIRCH AVENUE
BIRCH AVENUE
BIRCH AVENUE

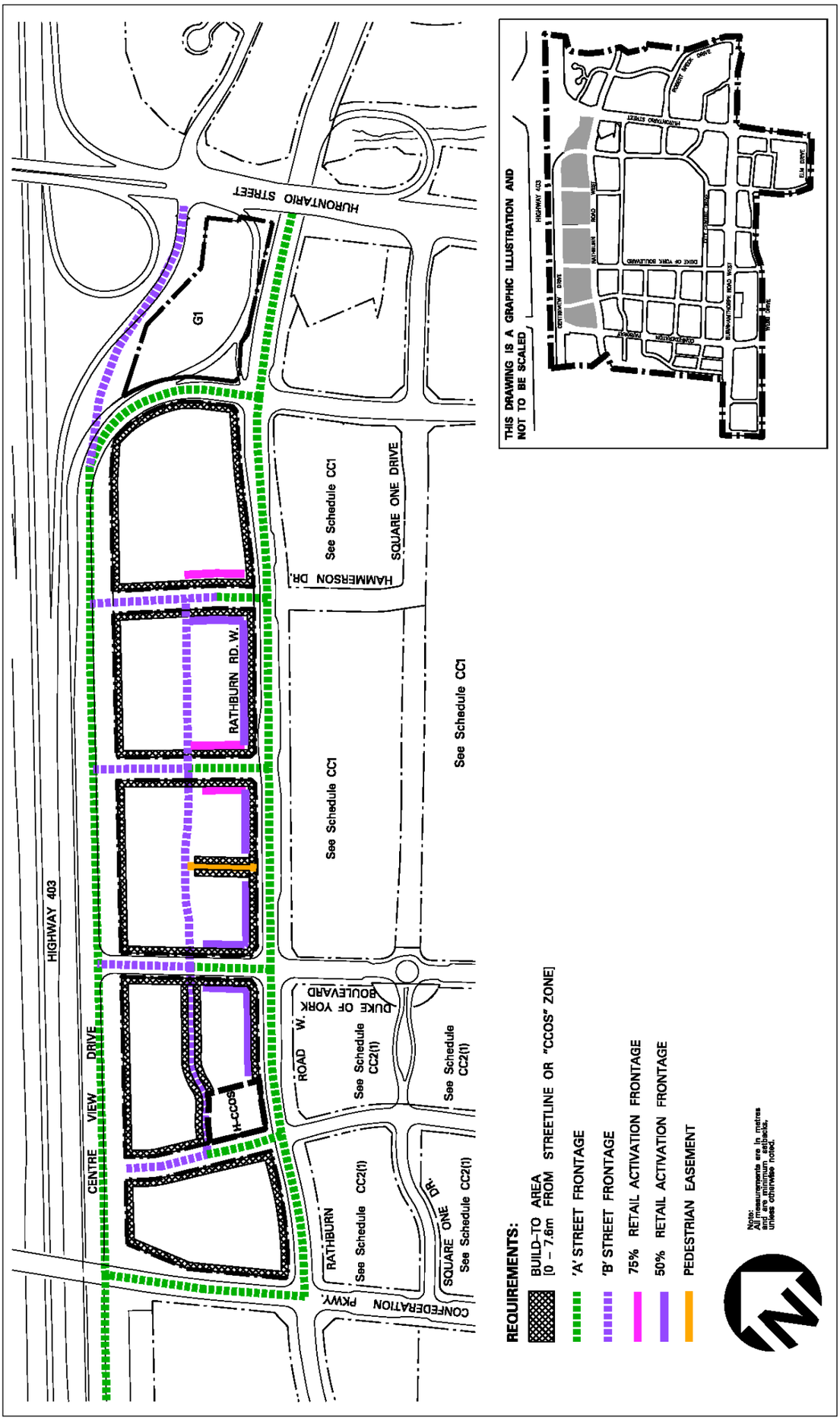

Schedule CCO
Map 29
(0050-2013/LPAT Order 2020 June 08)

7.2.2 CC1 Exception Zones

Refer to Article 1.1.2.3 - Exception Zones and Exception Zone Schedules

7.2.2.1	Exception: CC1-1	Map # 29	By-law: 0325-2008, 0308-2011
In a CC1-1 zone the permitted **uses** and applicable regulations shall be as specified for a CC1 zone except that the following **uses**/regulations shall apply:			
Regulations			
7.2.2.1.1	Minimum **height**		6.1 m
7.2.2.1.2	Minimum setback to a **street line**		1.0 m
7.2.2.1.3	A minimum of one main front entrance for each **building** or **structure** shall be located within at least one **build-to-area**		
7.2.2.1.4	Notwithstanding Sentence 7.2.2.1.3 of this Exception, a maximum of one **building** or **structure** shall have the main front entrance outside the **build-to-area**		
7.2.2.1.5	Maximum **gross floor area** - **non-residential** of the **building** or **structure** subject to regulations contained in Sentence 7.2.2.1.4 of this Exception		1 400 m^2
7.2.2.1.6	A **driveway**, **aisle** or **parking area** shall be permitted between the wall of a **building** or **structure** not containing the main front entrance and a **lot line** abutting a **street**		
7.2.2.1.7	"Main Front Entrance" means the door which is designed as the primary access point into a **building** or **structure** and shall face the **build-to-area**		
7.2.2.1.8	All site development plans shall comply with Schedule CC1-1 of this Exception		

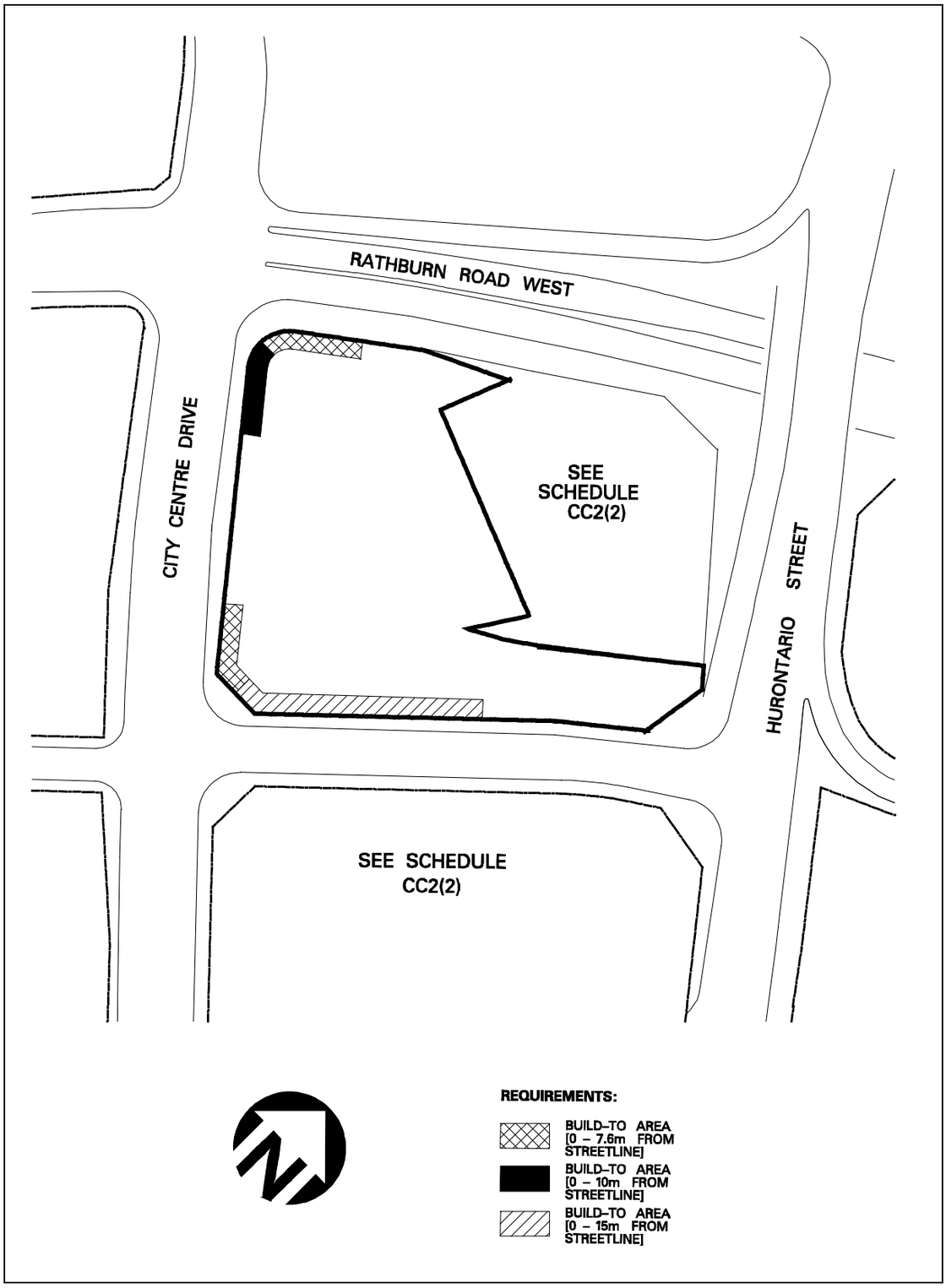

Schedule CC1-1
Map 29

7.2.2.2	Exception: CC1-2	Map # 29	By-law: OMB Order 2014 February 20, 0144-2016, 0158-2023
In a CC1-2 zone the permitted **uses** and applicable regulations shall be as specified for a CC1 zone except that the following **uses**/regulations shall apply:			
Regulations			
7.2.2.2.1	Minimum glazing for **first storey streetwall** of non-residential **building** facing an 'A' **Street** Frontage within Area 'A'		60%
7.2.2.2.2	Minimum height for Area 'A'		13.5 m
7.2.2.2.3	Minimum height for Area 'B'		7.5 m
7.2.2.2.4	"Height" means the measurement from **established grade** to the top of the **parapet** of the lowest roof		

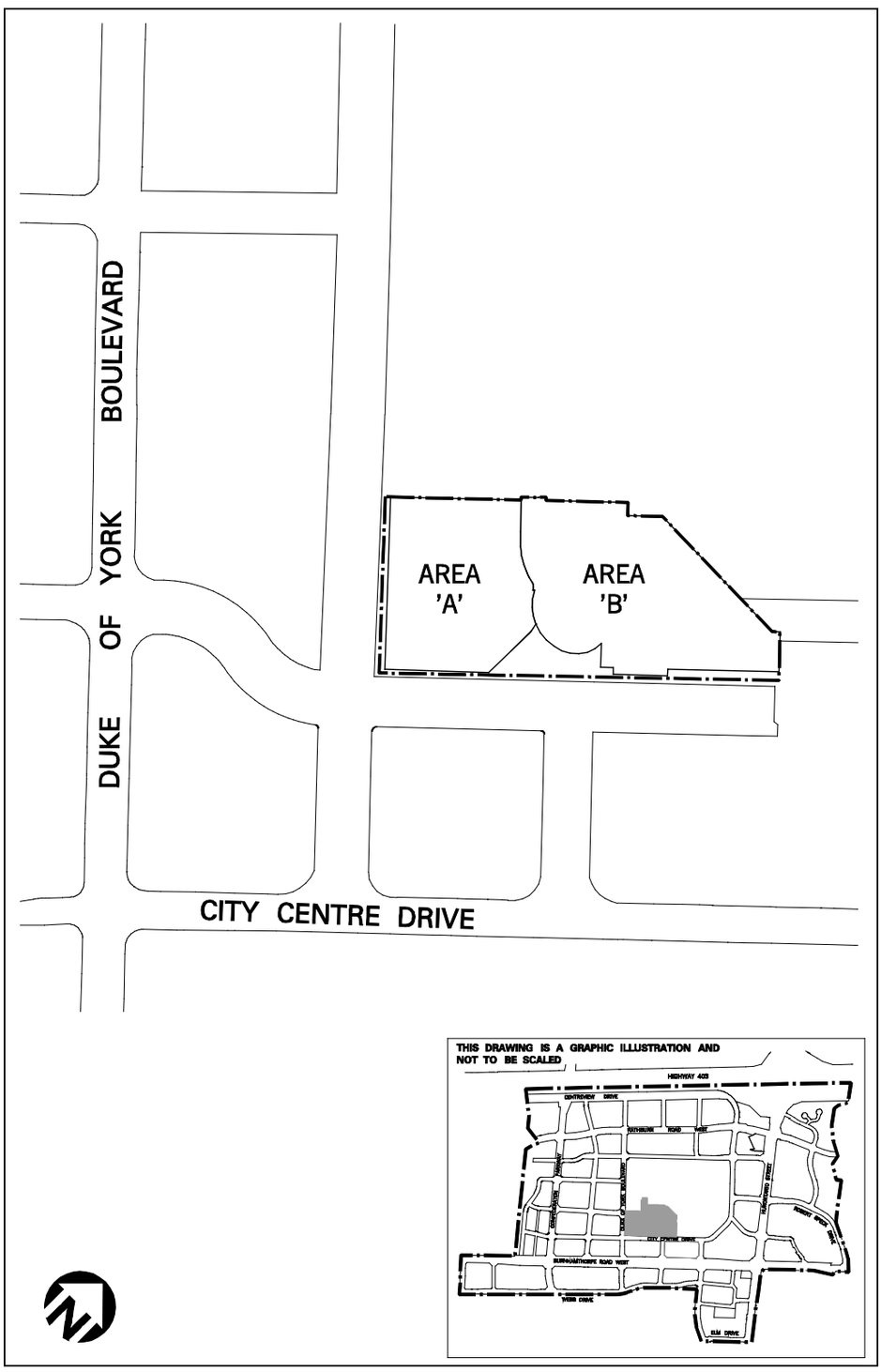

Schedule CC1-2
Map 29

7.2.2.3	Exception: CC1-3	Map # 29	By-law: 0050-2013/ LPAT Order 2020 June 08, 0158-2023
In a CC1-3 zone the permitted **uses** and applicable regulations shall be as specified for a CC1 zone except that the following **uses**/regulations shall apply:			
Additional Permitted Use			
7.2.2.3.1	(1) Motor Vehicle Sales		
Regulations			
7.2.2.3.2	Minimum combined **floor space index** for Areas 'C' and 'D'		3.0
7.2.2.3.3	Maximum number of **motor vehicles** permitted for interior display per **retail store**		4
7.2.2.3.4	Maximum number of required **parking spaces** used for storage of test drive **motor vehicles**		20
7.2.2.3.5	Storage of test drive **motor vehicles** shall only be located in an underground **parking structure**		
7.2.2.3.6	Minimum glazing for **first storey streetwall** of non-residential **building** facing an 'A' **Street** Frontage		60%
7.2.2.3.7	Minimum height of Areas 'A' and 'C'		10.7 m
7.2.2.3.8	Areas 'B1' and 'B2' shall permit a maximum of one pedestrian bridge above each **private road** with public easement		
7.2.2.3.9	Maximum width of a pedestrian bridge		12.0 m
7.2.2.3.10	"Height" means the measurement from the average **established grade** measured to the top of the **parapet** of the lowest roof		
7.2.2.3.11	"Motor Vehicle Sales" means a **building** or part thereof, for the sale of new **motor vehicles**		

Exception CC1-3 continued on next page

7.2.2.3	Exception: CC1-3	Map # 29	By-law: 0050-2013/ LPAT Order 2020 June 08, 0158-2023
Exception CC1-3 continued from previous page			
7.2.2.3.12	All site development plans shall comply with Schedule CC1-3 of this Exception		
Holding Provision			
	The holding symbol H is to be removed from the whole or any part of the lands zoned H-CC1-3 by further amendment to Map 29 of Schedule B contained in Part 13 of this By-law, as amended, upon satisfaction of the following requirements: (1) delivery of an executed Servicing Agreement and/or Development Agreement in a form satisfactory to The Corporation of the City of Mississauga, addressing and agreeing to the installation or placement of all required municipal works, including municipal walkways, the provision of land dedication for future public road widenings, and transit rights-of-way and easements, including the provision of parkland, the provisions of required securities, and related provisions provided that the Servicing and Development Agreements will not require the gratuitous dedication of land for new public roads, including realignments of roads, where not otherwise permitted under the *Planning Act* or impose an obligation upon a landowner to construct or pay for the construction of a new road; (2) convey/dedicate to the City a right-of-way to be used for a **street** on 'A' and 'B' **Street** Frontages identified on the Schedules of this Part of this By-law, where a **street** currently does not exist; (3) the holding symbol H shall not prevent the **use** of **buildings** and **structures** legally **existing** on the date of passing of this By-law for any other **uses** which are permitted by the zone in which they are located. The holding symbol H shall also not prevent alterations to **existing buildings** which do not result in an increase to **gross floor area - non-residential** or the addition of required parking to support the **uses** within these **existing buildings** and **structures**.		

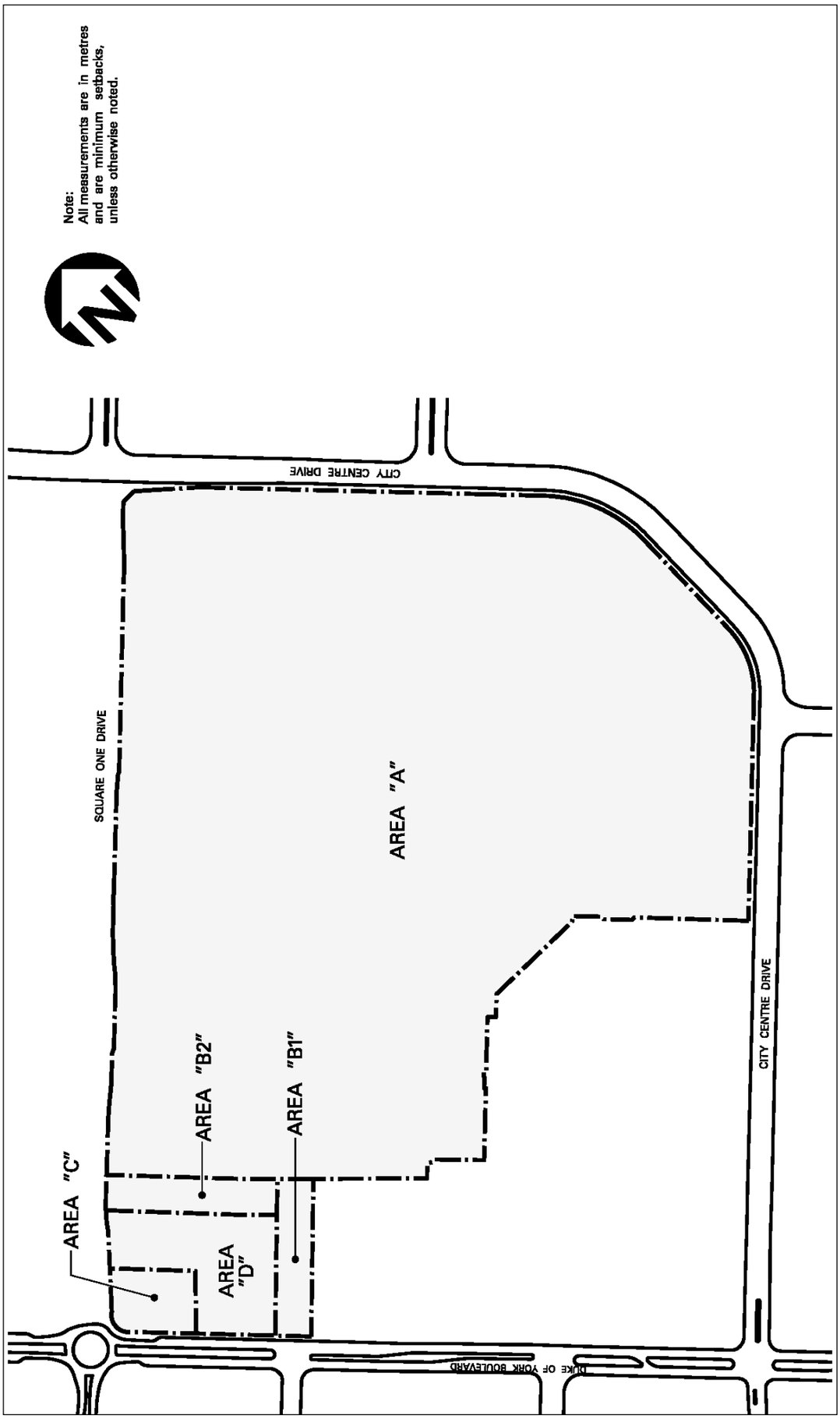

Schedule CC1-3
Map 29

7.2.3 CC2 Exception Zones

Refer to Article 1.1.2.3 - Exception Zones and Exception Zone Schedules

7.2.3.1	Exception: CC2-1	Map # 22	By-law: 0174-2017
In a CC2-1 zone the permitted **uses** and applicable regulations shall be as specified for a CC2 zone except that the following **uses**/regulations shall apply:			
Regulations			
7.2.3.1.1	Maximum number of **dwelling units**		285
7.2.3.1.2	Maximum **floor space index - apartment zone**		4.6
7.2.3.1.3	Minimum **landscaped area**		65% of the **lot area**
7.2.3.1.4	Maximum **height**		25 **storeys**
7.2.3.1.5	Maximum number of tandem resident **parking spaces**		10
7.2.3.1.6	All site development plans shall comply with Schedule CC2-1 of this Exception		

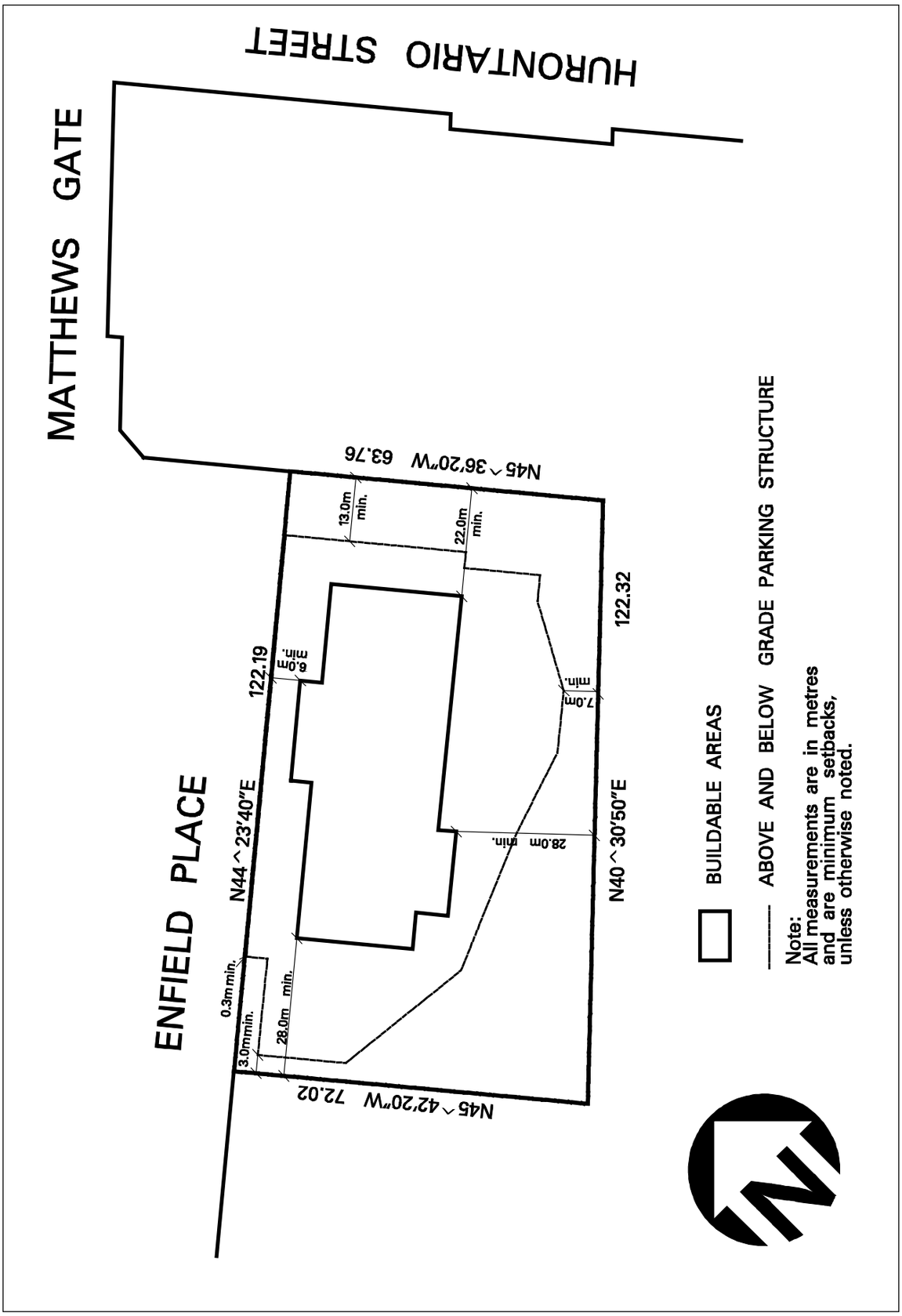

Schedule CC2-1
Map 22

7.2.3.2	Exception: CC2-2	Map # 29	By-law: 0181-2018/LPAT Order 2019 February 15
In a CC2-2 zone the permitted **uses** and applicable regulations shall be as specified for a CC2 zone except that the following **uses**/regulations shall apply:			
Additional Permitted Use			
7.2.3.2.1	(1) **Townhouse**		
Regulation			
7.2.3.2.2	All site development plans shall comply with Schedule CC2-2 of this Exception		

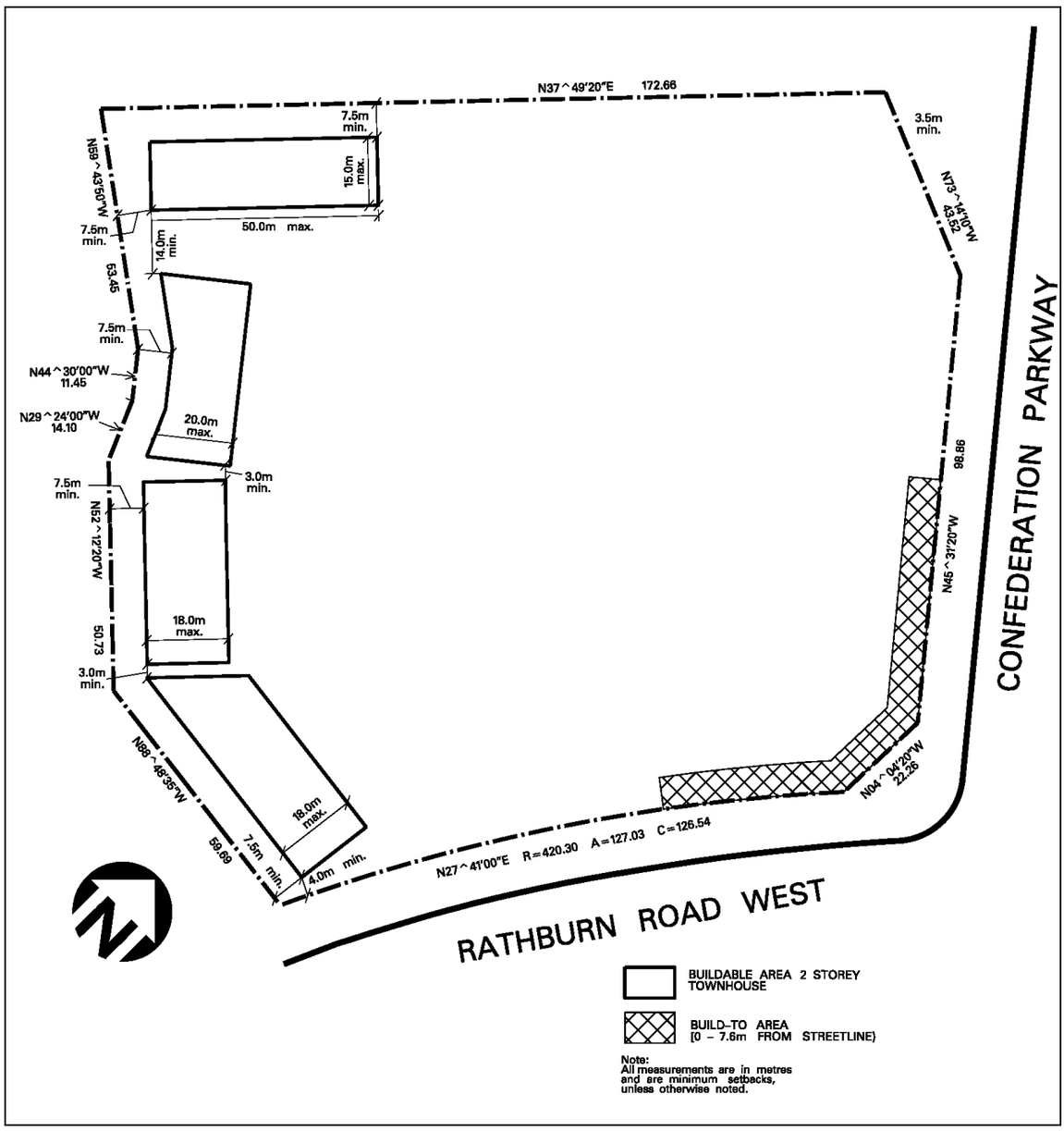

Schedule CC2-2
Map 29

7.2.3.3	Exception: CC2-3	Map # 22	By-law: 0050-2013/ LPAT Order 2020 June 08

In a CC2-3 zone the permitted **uses** and applicable regulations shall be as specified for a CC2 zone except that the following **uses**/regulations shall apply:

Additional Permitted Use

7.2.3.3.1 (1) **Motor vehicle service station** legally **existing** on the date of passing of this By-law

Regulation

7.2.3.3.2 All site development plans shall comply with Schedule CC2-3 of this Exception

Holding Provision

The holding symbol H is to be removed from the whole or any part of the lands zoned H-CC2-3 by further amendment to Map 22 of Schedule B contained in Part 13 of this By-law, as amended, upon satisfaction of the following requirements:

(1) delivery of an executed Servicing Agreement and/or Development Agreement in a form satisfactory to The Corporation of the City of Mississauga, addressing and agreeing to the installation or placement of all required municipal works, including municipal walkways, the provision of land dedication for future public road widenings, and transit rights-of-way and easements, including the provision of parkland, the provisions of required securities, and related provisions provided that the Servicing and Development Agreements will not require the gratuitous dedication of land for new public roads, including realignments of roads, where not otherwise permitted under the *Planning Act* or impose an obligation upon a landowner to construct or pay for the construction of a new road;

(2) convey/dedicate to the City a right-of-way to be used for a **street** on 'A' and 'B' **Street** Frontages identified on the Schedules of this Part of this By-law, where a **street** currently does not exist;

(3) the holding symbol H shall not prevent the **use** of **buildings** and **structures** legally **existing** on the date of passing of this By-law for any other **uses** which are permitted by the zone in which they are located. The holding symbol H shall also not prevent alterations to **existing buildings** which do not result in an increase to **gross floor area - non-residential** or the addition of required parking to support the **uses** within these **existing buildings** and **structures**.

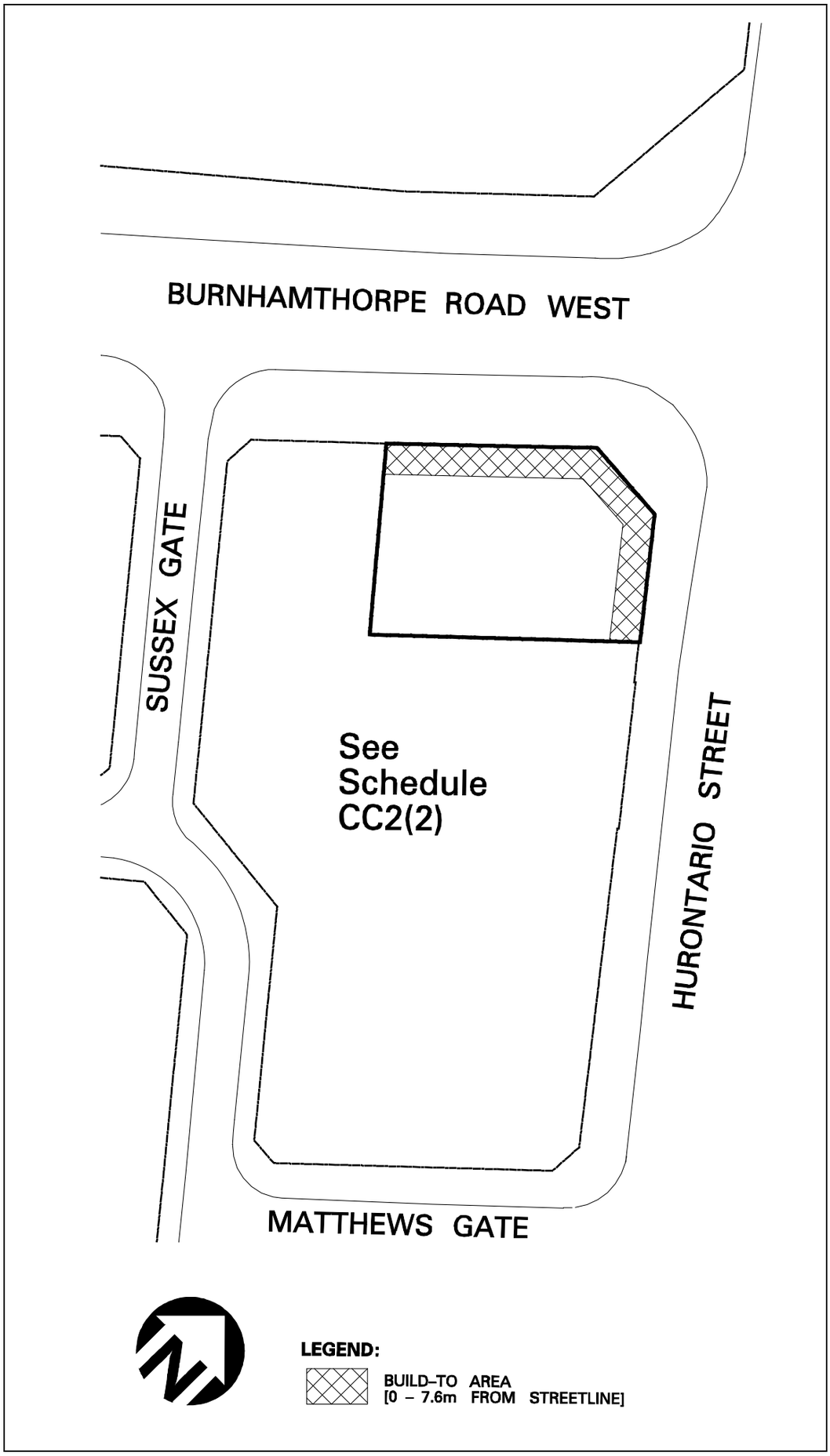

Schedule CC2-3
Map 22

7.2.3.4	Exception: CC2-4	Map # 22	By-law:
In a CC2-4 zone the permitted **uses** and applicable regulations shall be as specified for a CC2 zone except that the following **uses**/regulations shall apply:			
Regulations			
7.2.3.4.1	The regulations of Sentences 3.1.1.4.3 and 3.1.1.4.4 of this By-law shall not apply		
7.2.3.4.2	All site development plans shall comply with Schedule CC2-4 of this Exception		

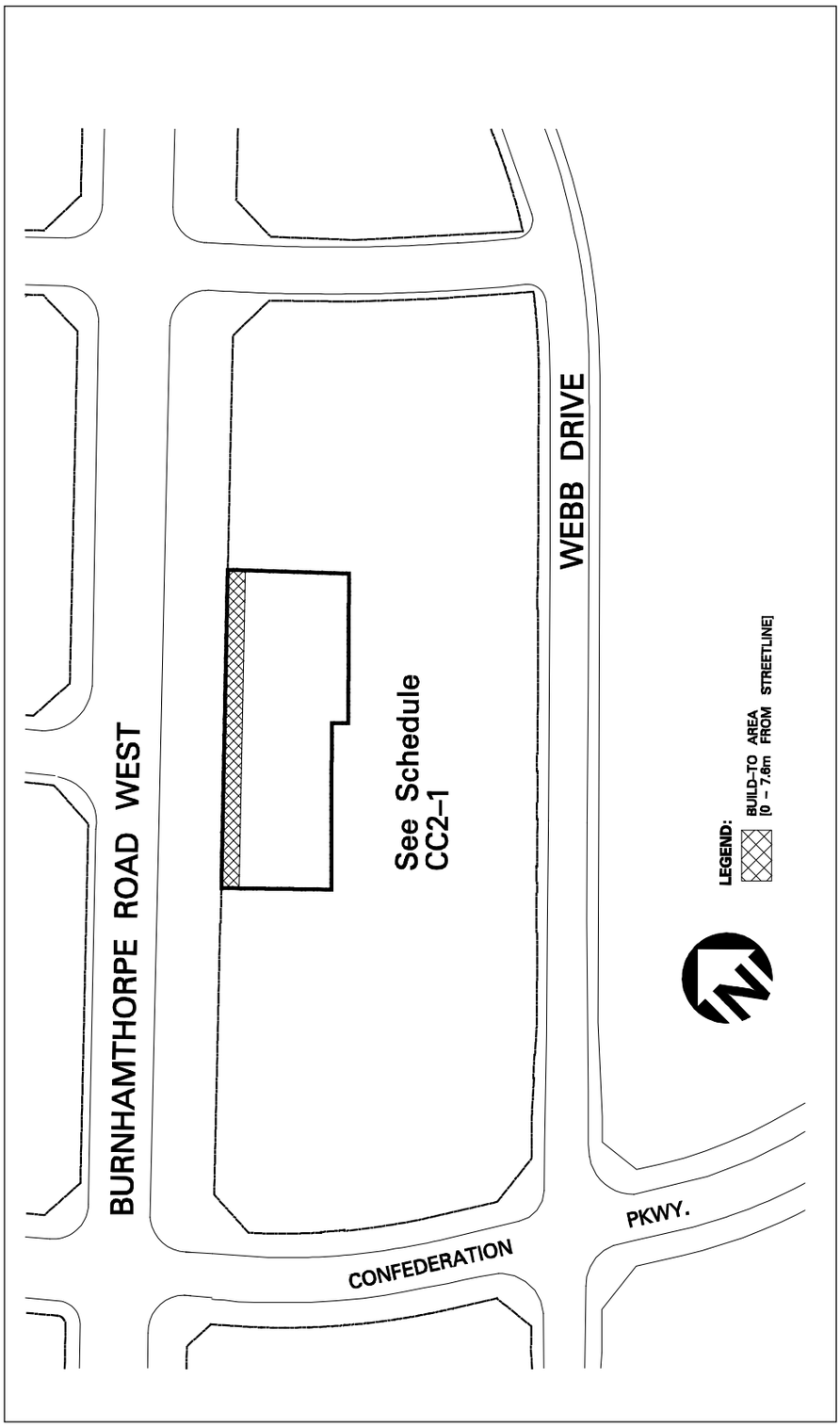

Schedule CC2-4
Map 22

7.2.3.5	Exception: CC2-5	Map # 22	By-law: OMB Order 2015 May 11, 0078-2019, 0094-2021, 0052-2022

In a CC2-5 zone the permitted **uses** and applicable regulations shall be as specified for a CC2 zone except that the following **uses**/regulations shall apply:

Regulations

7.2.3.5.1	A minimum of 65% of the area of the **first storey streetwall** of a **building** containing a non-residential use facing an 'A' **Street** Frontage shall contain glazing
7.2.3.5.2	**Restaurants** shall be permitted on the **first** and second **storeys**
7.2.3.5.3	Area 'A' shall permit a below grade **parking structure** under the **street**
7.2.3.5.4	Areas 'B1' and 'B2' shall permit below grade **parking structures** under **private roads** with surface public access easements
7.2.3.5.5	All site development plans shall comply with Schedule CC2-5 of this Exception

Holding Provision

The holding symbol H is to be removed from the whole or any part of the lands zoned H-CC2-5 by further amendment to Map 22 of Schedule B contained in Part 13 of this By-law, as amended, upon satisfaction of the following requirements:

(1) delivery of an executed Servicing Agreement and/or Development Agreement in a form satisfactory to The Corporation of the City of Mississauga, addressing and agreeing to the installation or placement of all required municipal works, including municipal walkways, the provision of land dedication for future public road widenings, and transit rights-of-way and easements, including the provision of parkland, the provisions of required securities, and related provisions provided that the Servicing and Development Agreements will not require the gratuitous dedication of land for new public roads, including realignments of roads, where not otherwise permitted under the *Planning Act* or impose an obligation upon a landowner to construct or pay for the construction of a new road;

(2) the holding symbol H shall not prevent the **use** of **buildings** and **structures** legally **existing** on the date of passing of this By-law for those **uses** which are permitted by the zone in which they are located, or the expansion of parking facilities to support the **uses** within these **existing buildings** and **structures**.

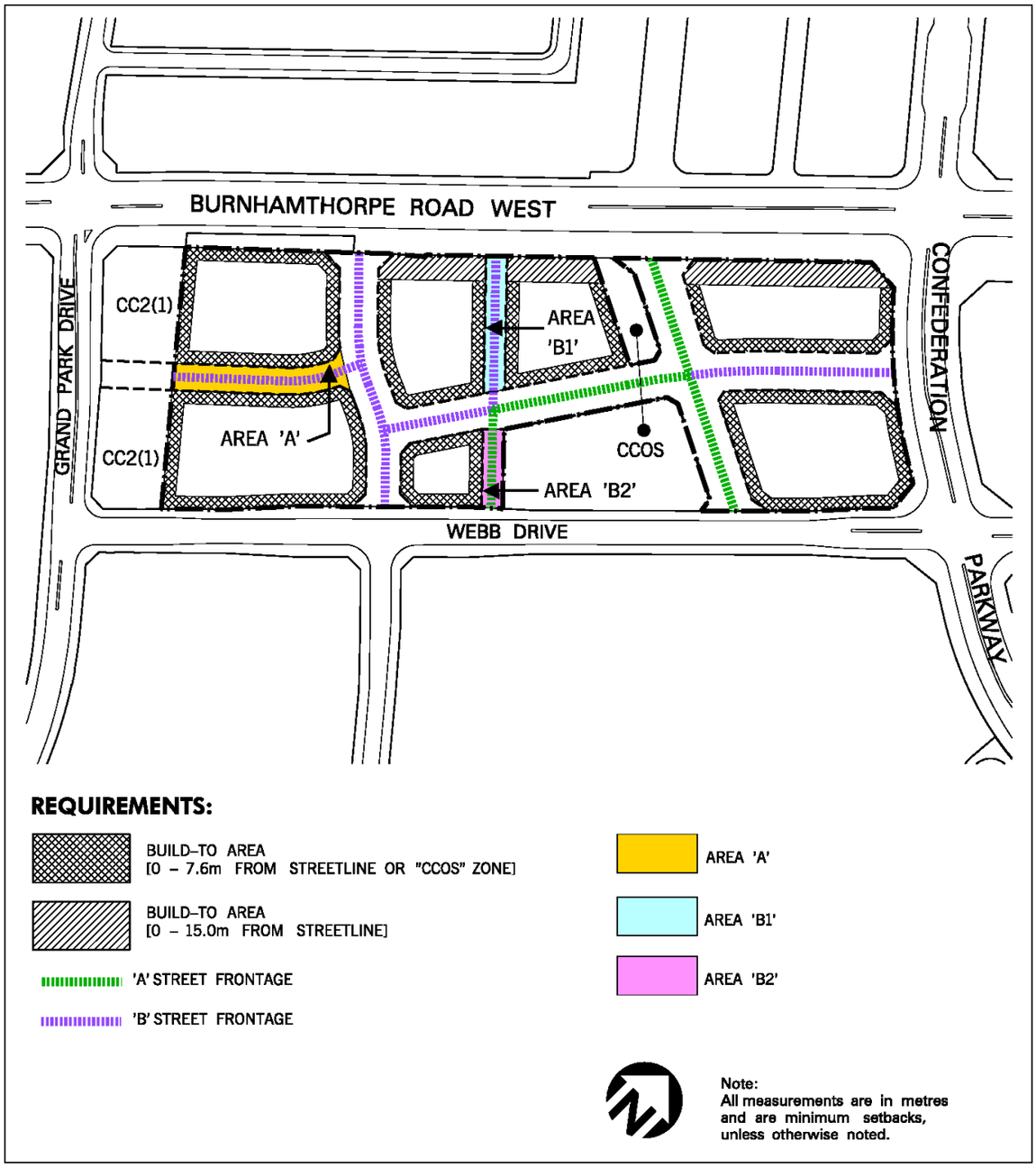

Schedule CC2-5
Map 22

7.2.3.6	Exception: CC2-6	Map # 29	By-law: 0174-2017
In a CC2-6 zone the permitted **uses** and applicable regulations shall be as specified for a CC2 zone except that the following **uses**/regulations shall apply:			
Additional Permitted Uses			
7.2.3.6.1	(1) Outdoor markets' and other outdoor sales		
Regulation			
7.2.3.6.2	The provisions of Lines 4.0 and 5.0 contained in Table 2.1.9.7 of this By-law shall not apply		

7.2.3.7	Exception: CC2-7	Map # 22	By-law: OLT Order 2021 October 21
In a CC2-7 zone the permitted **uses** and applicable regulations shall be as specified for a CC2 zone except that the following **uses**/regulations shall apply:			
Regulation			
7.2.3.7.1	The regulations of Line 5.1 contained in Table 7.2.1 of this By-law shall not apply		

7.2.3.8	Exception: CC2-8	Map # 22	By-law: 0050-2013/ LPAT Order 2020 June 08

In a CC2-8 zone the permitted **uses** and applicable regulations shall be as specified for a CC2 zone except that the following **uses**/regulations shall apply:

Regulations

7.2.3.8.1	Minimum Retail Activation Frontage for **buildings** fronting onto Burnhamthorpe Road West	65%
7.2.3.8.2	Pedestrian access to units above/below the **first storey** of a **building** with a **first storey streetwall** facing Webb Drive may be provided through a **main front entrance** facing Webb Drive	
7.2.3.8.3	Access for vehicle servicing (off-street parking, deliveries, garbage pick-up and loading) may be permitted from Burnhamthorpe Road West	

Holding Provision

The holding symbol H is to be removed from the whole or any part of the lands zoned H-CC2-8 by further amendment to Map 22 of Schedule B contained in Part 13 of this By-law, as amended, upon satisfaction of the following requirements:

(1) delivery of an executed Servicing Agreement and/or Development Agreement in a form satisfactory to The Corporation of the City of Mississauga, addressing and agreeing to the installation or placement of all required municipal works, including municipal walkways, the provision of land dedication for future public road widenings, and transit rights-of-way and easements, including the provision of parkland, the provisions of required securities, and related provisions provided that the Servicing and Development Agreements will not require the gratuitous dedication of land for new public roads, including realignments of roads, where not otherwise permitted under the *Planning Act* or impose an obligation upon a landowner to construct or pay for the construction of a new road;

(2) convey/dedicate to the City a right-of-way to be used for a **street** on 'A' and 'B' **Street** Frontages identified on the Schedules of this Part of this By-law, where a **street** currently does not exist;

(3) the holding symbol H shall not prevent the **use** of **buildings** and **structures** legally **existing** on the date of passing of this By-law for any other **uses** which are permitted by the zone in which they are located. The holding symbol H shall also not prevent alterations to **existing buildings** which do not result in an increase to **gross floor area - non-residential** or the addition of required parking to support the **uses** within these **existing buildings** and **structures**.

7.2.4 CC3 Exception Zones

Refer to Article 1.1.2.3 - Exception Zones and Exception Zone Schedules

7.2.4.1	Exception: CC3-1	Map # 28	By-law: 0181-2018/LPAT Order 2019 February 15, 0208-2022, 0199-2024
In a CC3-1 zone the permitted **uses** and applicable regulations shall be as specified for a CC3 zone except that the following **uses**/regulations shall apply:			
Additional Permitted Uses			
7.2.4.1.1	(1) **Townhouse** (2) **Street Townhouse**		
Regulations			
7.2.4.1.2	Maximum **gross floor area - residential** on all lands shown on Schedule CC3-1 of this Exception		20 000 m^2
7.2.4.1.3	Minimum **landscaped open space area**		40% of the **lot area**
7.2.4.1.4	Maximum **height - townhouse**: measured from **established grade** to the highest ridge of a **sloped roof**		13.0 m
7.2.4.1.5	Maximum projection of eaves, gutters, belt courses, cornices, pilasters, **chimneys**, bay and box bay windows, with or without a foundation outside the **buildable area** identified on Schedule CC3-1 of this Exception		0.6 m
7.2.4.1.6	Maximum projection of **porches**, **balconies** and terraces, with or without a foundation, exclusive of stairs, outside the **buildable area** identified on Schedule CC3-1 of this Exception		2.0 m
7.2.4.1.7	Minimum **aisle** width		6.0 m
7.2.4.1.8	Minimum separation distance for **overnight accommodation**, **banquet hall/conference centre/convention centre**, **restaurant**, **take-out restaurant**, **entertainment establishment**		60.0 m
7.2.4.1.9	"Separation Distance" means a distance measured in a straight line from the nearest part of the **building** or **structure** or portion of the **building** or **structure** containing the **use**, to the closest **lot line** of lands zoned RM5-3		
7.2.4.1.10	All site development plans shall comply with Schedule CC3-1 of this Exception		

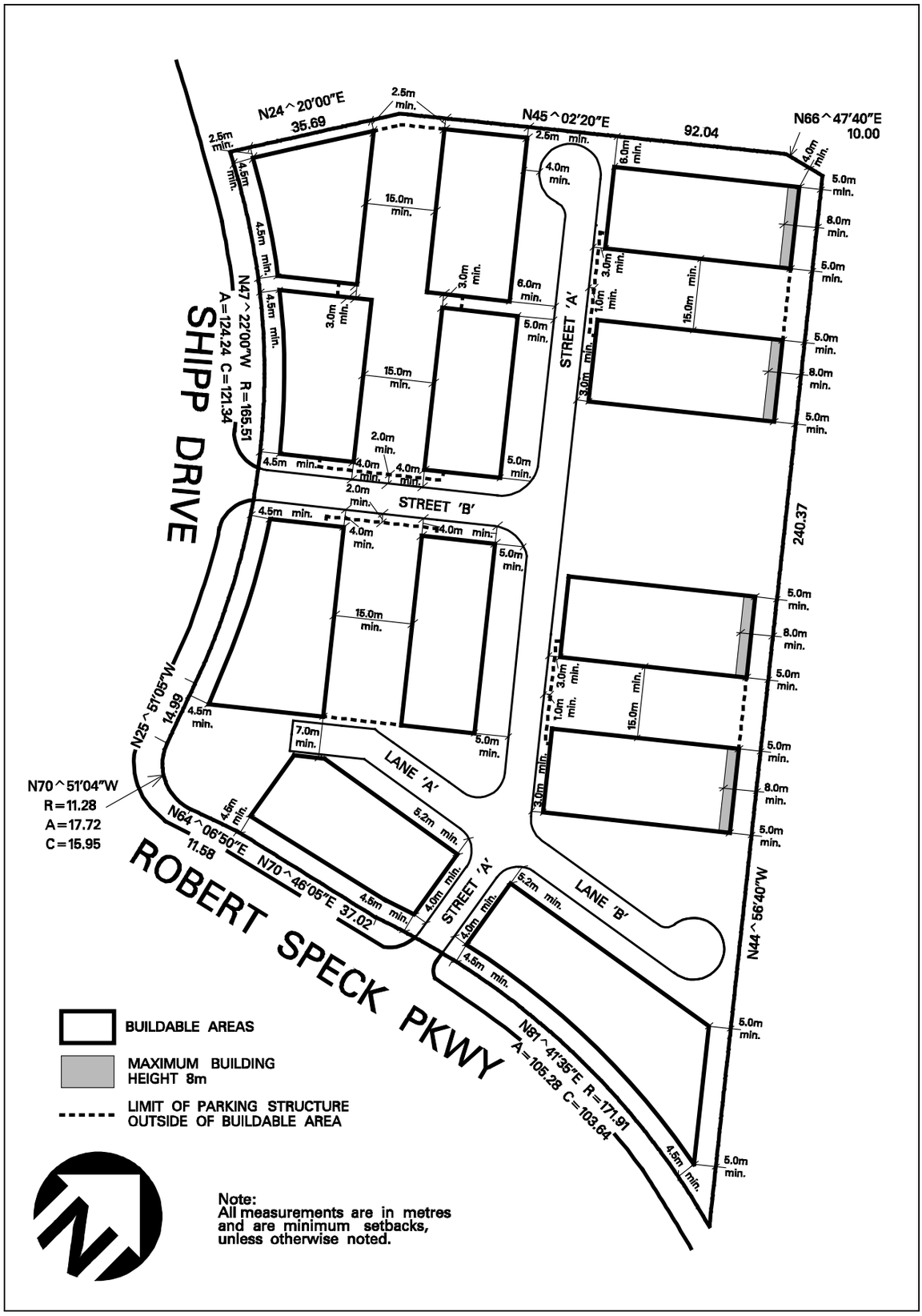

Schedule CC3-1
Map 28

7.2.5 CC4 Exception Zones

Refer to Article 1.1.2.3 - Exception Zones and Exception Zone Schedules

7.2.5.1	Exception: CC4-1	Map # 29	By-law: 0105-2013, 0026-2014, 0174-2017, 0181-2018/LPAT Order 2019 February 15, 0050-2013/LPAT Order 2020 June 08, 0149-2020

In a CC4-1 zone the applicable regulations shall be as specified for a CC4 zone except that the following **uses**/regulations shall apply:

Permitted Uses

7.2.5.1.1 Lands zoned CC4-1 and located within 40.0 m of lands zoned CC3 or OS1 shall only be used for an **apartment**, **long-term care building** or **retirement building**

Regulations

7.2.5.1.2 Maximum heights and floor plates of all **buildings** and **structures** on Parcel Blocks 1A to 1I identified on Schedule CC4-1 of this Exception shall conform to the following schedule:

Parcel Block	Maximum Building Height	Maximum Tower Floor Plate	Minimum Podium Height	Maximum Podium Height
1A	81.0 m and 24 **storeys**	670 m^2	7.0 m and 3 **storeys**	18.0 m and 5 **storeys**
1B	81.0 m and 24 **storeys**	670 m^2	7.0 m and 3 **storeys**	18.0 m and 5 **storeys**
1C	18.0 m and 5 **storeys**		7.0 m and 3 **storeys**	18.0 m and 5 **storeys**
1D	106.0 m and 34 **storeys**	740 m^2	12.0 m and 3 **storeys**	25.0 m and 7 **storeys**
1E	18.0 m and 5 **storeys**		7.0 m and 3 **storeys**	18.0 m and 5 **storeys**
1F	98.0 m and 20 **storeys**	740 m^2	12.0 m and 3 **storeys**	25.0 m and 7 **storeys**
1G	18.0 m and 5 **storeys**		7.0 m and 3 **storeys**	18.0 m and 5 **storeys**
1H	18.0 m and 5 **storeys**		7.0 m and 3 **storeys**	18.0 m and 5 **storeys**
1I	139.0 m and 45 **storeys**	790 m^2	12.0 m and 3 **storeys**	25.0 m and 7 **storeys**

7.2.5.1.2A The regulations of Lines 3.2, 4A.0 to 4A.11, 4C.0 to 4C.2 and 5.1 contained in Table 7.2.1 of this By-law shall not apply

7.2.5.1.3 **Motor vehicle** parking may be provided off site on lands zoned CC4-1

7.2.5.1.4 Notwithstanding the minimum dimensions of the **build-to-areas** identified on Schedule CC4-1 of this Exception, where a **building**, **structure** or part thereof is used for an **apartment**, **long-term care** or **retirement building** and is situated at grade, the minimum setback to a **street line** shall be 3.0 m to that portion of the **building** or **structure** containing that **use**

7.2.5.1.5 Notwithstanding Sentence 7.2.5.1.4 of this Exception, a lobby located on the ground floor level may encroach a maximum of 1.5 m into the required **street line** setback

7.2.5.1.6 Notwithstanding Sentence 7.2.5.1.4 of this Exception, a **balcony** and bay window may encroach a maximum of 1.5 m into the required **street line** setback

Exception CC4-1 continued on next page

7.2.5.1	Exception: CC4-1	Map # 29	By-law: 0105-2013, 0026-2014, 0174-2017, 0181-2018/LPAT Order 2019 February 15, 0050-2013/ LPAT Order 2020 June 08, 0149-2020
Exception CC4-1 continued from previous page			
7.2.5.1.7	Notwithstanding Sentence 7.2.5.1.4 of this Exception, an open staircase and **porch** located on the ground floor level may encroach a maximum of 1.5 m into the required **street line** setback		
7.2.5.1.8	The provisions contained in Sentence 7.2.5.1.4 of this Exception shall not apply to those parts of a **building** or **structure** located on the ground floor level, at or within the **build-to-area** identified on Schedule CC4-1 of this Exception used for a permitted **use** identified in Subsection 7.1.4 of this By-law		
7.2.5.1.9	Notwithstanding the requirements of **build-to-areas** identified on Schedule CC4-1 of this Exception, vehicular and pedestrian entrances for the purposes of ingress and egress to and from the lands and landscaped areas abutting vehicular and pedestrian entrances shall be permitted and shall not be included in the calculation of the **build-to-area** identified on Schedule CC4-1 of this Exception		
7.2.5.1.10	Minimum setback to the **lot lines** abutting the lands zoned CCOS and OS1		5.75 m
7.2.5.1.11	Minimum setback to a **condominium road**		4.5 m
7.2.5.1.12	Notwithstanding Sentence 7.2.5.1.11 of this Exception, a **balcony**, open staircase, **porch** and bay window may encroach a maximum of 1.5 m into the required setback		
7.2.5.1.13	An encroachment permitted by the provisions contained in Sentence 7.2.5.1.12 of this Exception is only permitted where a **building**, **structure** or part thereof abutting a **condominium road** has a minimum separation distance of 18.5 m from another **building**, **structure** or part thereof located on the opposite side of the same **condominium road**		
7.2.5.1.14	Maximum setback to a **condominium road**		6.0 m
7.2.5.1.15	The provisions contained in Sentence 7.2.5.1.14 of this Exception shall only apply to a **building**, **structure** or part thereof containing a **dwelling unit**		
7.2.5.1.16	For the purposes of this By-law, Parcel Blocks 1A to 1E inclusive identified on Schedule CC4-1 of this Exception shall be considered one property		
7.2.5.1.17	For the purposes of this By-law, Parcel Blocks 1F to 1I inclusive identified on Schedule CC4-1 of this Exception shall be considered one property		

Exception CC4-1 continued on next page

7.2.5.1	Exception: CC4-1	Map # 29	By-law: 0105-2013, 0026-2014, 0174-2017, 0181-2018/LPAT Order 2019 February 15, 0050-2013/LPAT Order 2020 June 08, 0149-2020
Exception CC4-1 continued from previous page			
7.2.5.1.18	All site development plans shall comply with Schedule CC4-1 of this Exception		

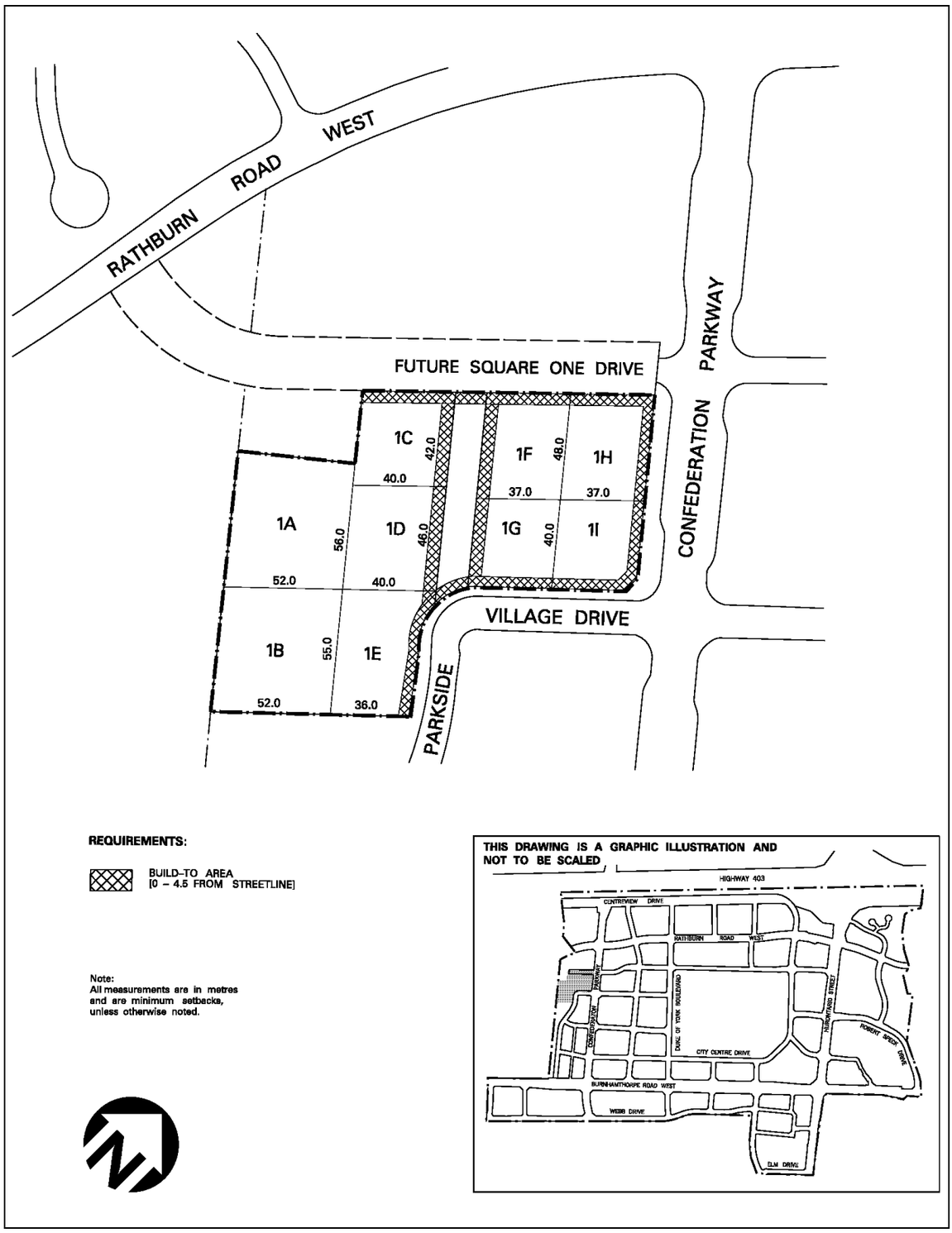

Schedule CC4-1
Map 29

7.2.5.2	Exception: CC4-2	Map # 29	By-law: 0026-2014, 0174-2017, 0050-2013/ LPAT Order 2020 June 08, 0149-2020

In a CC4-2 zone the permitted **uses** and applicable regulations shall be as specified for a CC4 zone except that the following **uses**/regulations shall apply:

Regulations

7.2.5.2.1 Maximum heights and floor plates of all **buildings** and **structures** on Parcel Blocks 2A to 2D identified on Schedule CC4-2 of this Exception shall conform to the following schedule:

Parcel Block	Maximum Building Height	Maximum Tower Floor Plate	Minimum Podium Height	Maximum Podium Height
2A	124.0 m and 40 **storeys**	790 m^2	7.0 m and 3 **storeys**	18.0 m and 5 **storeys**
2B	46.0 m and 12 **storeys**	1 000 m^2	7.0 m and 3 **storeys**	18.0 m and 5 **storeys**
2C	25.0 m and 7 **storeys**		12.0 m and 3 **storeys**	25.0 m and 7 **storeys**
2D	154.0 m and 55 **storeys**	929 m^2	12.0 m and 3 **storeys**	25.0 m and 7 **storeys**

7.2.5.2.1A The regulations of Lines 3.2, 4A.0 to 4A.11, 4C.0 to 4C.2 and 5.1 contained in Table 7.2.1 of this By-law shall not apply

7.2.5.2.2 **Motor vehicle** parking may be provided off site on lands zoned CC4-2

7.2.5.2.3 Notwithstanding the minimum dimensions of the **build-to-areas** identified on Schedule CC4-2 of this Exception, where a **building**, **structure** or part thereof is used for an **apartment**, **long-term care** or **retirement building** and is situated at grade, the minimum setback to a **street line** shall be 3.0 m to that portion of the **building** or **structure** containing that **use**

7.2.5.2.4 Notwithstanding Sentence 7.2.5.2.5 of this Exception, a lobby located on the ground floor level may encroach a maximum of 1.5 m into the required **street line** setback

7.2.5.2.5 Notwithstanding Sentence 7.2.5.2.3 of this Exception, a **balcony** and bay window may encroach a maximum of 1.5 m into the required **street line** setback

7.2.5.2.6 The provisions contained in Sentence 7.2.5.2.3 of this Exception shall not apply to those parts of a **building**, **structure** or parts thereof located on Parcel Blocks 2C and 2D facing Confederation Parkway identified on Schedule CC4-2 of this Exception

7.2.5.2.7 The provisions contained in Sentences 7.2.5.2.3 and 7.2.5.2.4 of this Exception shall not apply to those parts of a **building** or **structure** located above the ground floor level located on the lands identified in Sentence 7.2.5.2.6 of this Exception

7.2.5.2.8 Notwithstanding Sentence 7.2.5.2.3 of this Exception, an open staircase and **porch** located on the ground floor level may encroach a maximum of 1.5 m into the required **street line** setback

7.2.5.2.9 The provisions contained in Sentence 7.2.5.2.3 of this Exception shall not apply to those parts of a **building** or **structure** located on the ground floor level, at or within the **build-to-area** identified on Schedule CC4-2 of this Exception used for a permitted **use** identified in Subsection 7.1.4 of this By-law

Exception CC4-2 continued on next page

7.2.5.2	Exception: CC4-2	Map # 29	By-law: 0026-2014, 0174-2017, 0050-2013/ LPAT Order 2020 June 08, 0149-2020

Exception CC4-2 continued from previous page

7.2.5.2.10	Notwithstanding the requirements of **build-to-areas** identified on Schedule CC4-2 of this Exception, vehicular and pedestrian entrances for the purposes of ingress and egress to and from the lands and **landscaped areas** abutting vehicular and pedestrian entrances shall be permitted and shall not be included in the calculation of the **build-to-area** identified on Schedule CC4-2 of this Exception
7.2.5.2.11	The portion of the ground floor of all **buildings** and **structures** identified on Schedule CC4-2 of this Exception that abuts Confederation Parkway shall be allocated for a permitted **use** identified in Subsection 7.1.4 of this By-law
7.2.5.2.12	Notwithstanding Sentence 7.2.5.2.11 of this Exception, a maximum of 40% of the linear **building** frontage identified on Schedule CC4-2 of this Exception that abuts Confederation Parkway may be used for use other than a **use** identified in Subsection 7.1.4 of this By-law
7.2.5.2.13	The portion of the ground floor of all **buildings** and **structures** identified on Schedule CC4-2 of this Exception that abuts lands zoned CCOS shall be allocated for a permitted **use** identified in Subsection 7.1.4 of this By-law
7.2.5.2.14	Notwithstanding Sentence 7.2.5.2.13 of this Exception, a maximum of 30% of the linear **building** frontage identified on Schedule CC4-2 of this Exception that abuts lands zoned CCOS may be used for use other than a **use** identified in Subsection 7.1.4 of this By-law
7.2.5.2.15	Notwithstanding Sentence 7.2.5.2.13 of this Exception, the ground floor area of all **buildings** and **structures** within the shaded area of Parcel Block 2D identified on Schedule CC4-2 of this Exception shall be restricted to the use of a **restaurant** having a minimum area of 100 m^2 **gross floor area - non-residential**, with or without a patio
7.2.5.2.16	For the purposes of Sentences 7.2.5.2.11 and 7.2.5.2.15 of this Exception, each individual unit, located at or within the **build-to-area**, containing a **use** identified in Subsection 7.1.4 of this By-law, shall be required to provide a pedestrian access through the **main front entrance** which shall face Confederation Parkway
7.2.5.2.17	For the purposes of Sentence 7.2.5.2.13 of this Exception, each individual unit containing a **use** identified in Subsection 7.1.4 of this By-law, shall be required to provide a pedestrian access through the **main front entrance** which shall face lands zoned CCOS
7.2.5.2.18	For the purposes of this Exception, linear **building** frontage shall be measured for that portion of the **building** located at or within the **build-to-area** measured from the exterior of outside walls parallel to the **street line**
7.2.5.2.19	Where a **lot** or **block** abuts lands zoned CCOS and is located within Parcel Blocks 2B and 2D identified on Schedule CC4-2 of this Exception, the minimum **building** setback to lands zoned CCOS shall be in accordance with Schedule CC4-2 of this Exception
7.2.5.2.20	Notwithstanding Sentence 7.2.5.2.19 of this Exception, a cantilevered canopy may project a maximum of 3.0 m from a **building**

Exception CC4-2 continued on next page

7.2.5.2	Exception: CC4-2	Map # 29	By-law: 0026-2014, 0174-2017, 0050-2013/ LPAT Order 2020 June 08, 0149-2020
Exception CC4-2 continued from previous page			
7.2.5.2.21	For the purposes of this By-law, Parcel Blocks 2A to 2D inclusive identified on Schedule CC4-2 of this Exception shall be considered one property		
7.2.5.2.22	All site development plans shall comply with Schedule CC4-2 of this Exception		

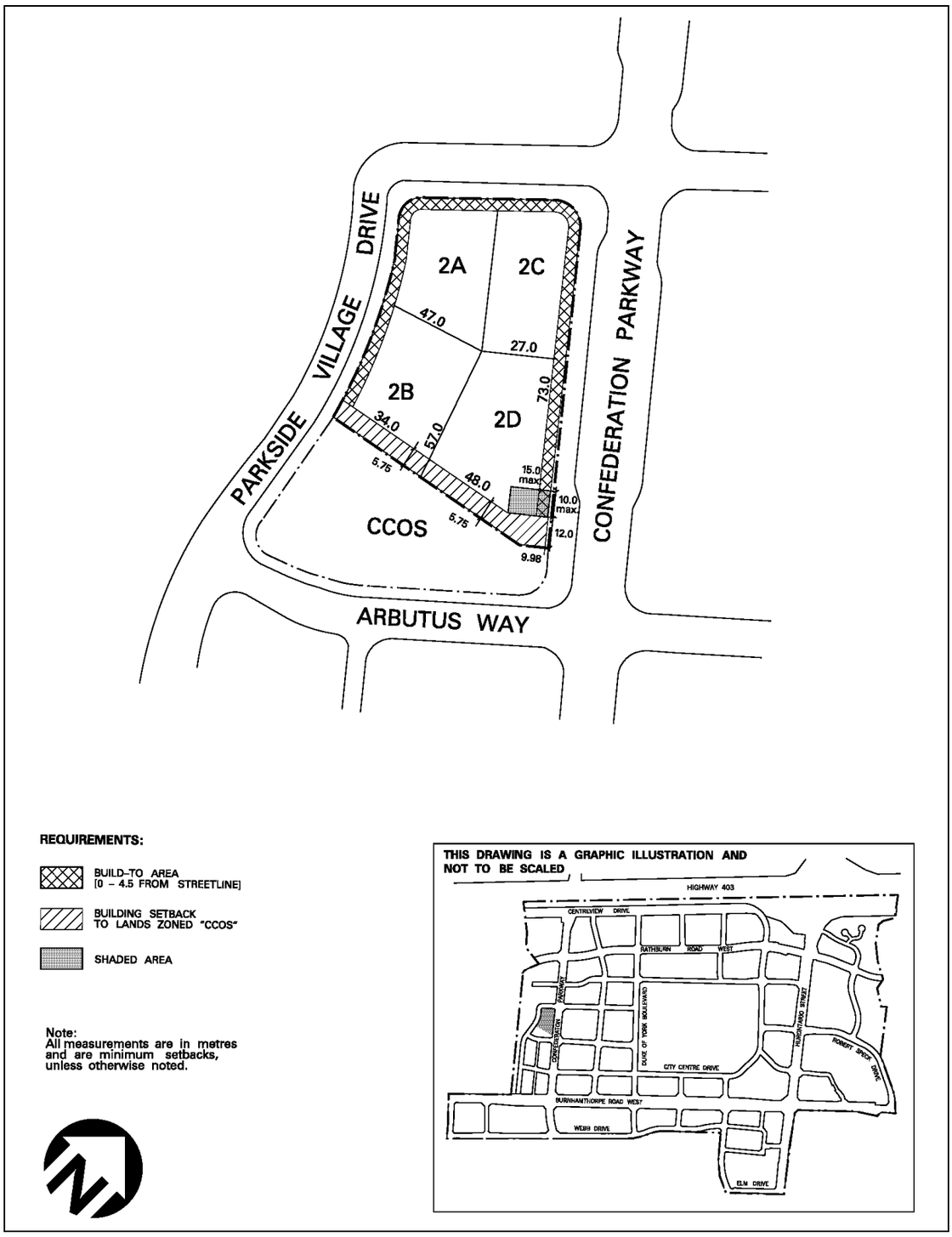

Schedule CC4-2
Map 29

7.2.5.3	Exception: CC4-3	Map # 29	By-law: 0089-2010, 0105-2013, 0026-2014, 0174-2017, 0050-2013/ LPAT Order 2020 June 08

In a CC4-3 zone the permitted **uses** and applicable regulations shall be as specified for a CC4 zone except that the following **uses**/regulations shall apply:

Regulations

7.2.5.3.1 Maximum heights and floor plates of all **buildings** and **structures** on Parcel Blocks 3A to 3J identified on Schedule CC4-3 of this Exception shall conform to the following schedule:

Parcel Block	Maximum Building Height	Maximum Tower Floor Plate	Minimum Podium Height	Maximum Podium Height
3A	70.0 m and 22 **storeys**	730 m^2	7.0 m and 3 **storeys**	18.0 m and 5 **storeys**
3B	21.0 m and 5 **storeys**		7.0 m and 3 **storeys**	21.0 m and 5 **storeys**
3C	70.0 m and 22 **storeys**	730 m^2	7.0 m and 3 **storeys**	18.0 m and 5 **storeys**
3D	12.0 m and 3 **storeys**		7.0 m and 3 **storeys**	12.0 m and 3 **storeys**
3E	109.0 m and 36 **storeys**	663 m^2	7.0 m and 3 **storeys**	18.0 m and 5 **storeys**
3F	14.0 m and 3 **storeys**		7.0 m and 3 **storeys**	14.0 m and 3 **storeys**
3G	109.0 m and 36 **storeys**	663 m^2	7.0 m and 3 **storeys**	18.0 m and 5 **storeys**
3H	30.0 m and 7 **storeys**		12.0 m and 3 **storeys**	30.0 m and 7 **storeys**
3I	136.0 m and 45 **storeys**	790 m^2	12.0 m and 3 **storeys**	30.0 m and 7 **storeys**
3J	30.0 m and 7 **storeys**		12.0 m and 3 **storeys**	30.0 m and 7 **storeys**

7.2.5.3.1A The regulations of Lines 3.2, 4A.0 to 4A.11, 4C.0 to 4C.2 and 5.1 contained in Table 7.2.1 of this By-law shall not apply

7.2.5.3.2 **Motor vehicle** parking may be provided off site on lands zoned CC4-3

7.2.5.3.3 Notwithstanding the minimum dimensions of the **build-to-areas** identified on Schedule CC4-3 of this Exception, where a **building**, **structure** or part thereof is used for an **apartment**, **long-term care** or **retirement building** and is situated at grade, the minimum setback to a **street line** shall be 3.0 m to that portion of the **building** or **structure** containing that **use**

7.2.5.3.4 Notwithstanding Sentence 7.2.5.3.3 of this Exception, a lobby located on the ground floor level may encroach a maximum of 1.5 m into the required **street line** setback

7.2.5.3.5 Notwithstanding Sentence 7.2.5.3.3 of this Exception, a **balcony** and bay window may encroach a maximum of 1.5 m into the required **street line** setback

7.2.5.3.6 The provisions contained in Sentence 7.2.5.3.3 of this Exception shall not apply to those parts of a **building**, **structure** or parts thereof located on Parcel Blocks 3H, 3I and 3J facing Confederation Parkway identified on Schedule CC4-3 of this Exception

Exception CC4-3 continued on next page

7.2.5.3	Exception: CC4-3	Map # 29	By-law: 0089-2010, 0105-2013, 0026-2014, 0174-2017, 0050-2013/ LPAT Order 2020 June 08
Exception CC4-3 continued from previous page			
7.2.5.3.7	The provisions contained in Sentences 7.2.5.3.3 and 7.2.5.3.4 of this Exception shall not apply to those parts of a **building** or **structure** located above the ground floor level located on the lands identified in Sentence 7.2.5.3.6 of this Exception		
7.2.5.3.8	Notwithstanding Sentence 7.2.5.3.3 of this Exception, an open staircase and **porch** located on the ground floor level may encroach a maximum of 1.5 m into the required **street line** setback		
7.2.5.3.9	The provisions contained in Sentence 7.2.5.3.3 of this Exception shall not apply to those parts of a **building** or **structure** located on the ground floor level, at or within the **build-to-area** identified on Schedule CC4-3 of this Exception used for a permitted **use** identified in Subsection 7.1.4 of this By-law		
7.2.5.3.10	Notwithstanding the requirements of **build-to-areas** identified on Schedule CC4-3 of this Exception, vehicular and pedestrian entrances for the purposes of ingress and egress to and from the lands and **landscaped areas** abutting vehicular and pedestrian entrances shall be permitted and shall not be included in the calculation of the **build-to-area** identified on Schedule CC4-3 of this Exception		
7.2.5.3.11	The portion of the ground floor of all **buildings** and **structures** identified on Schedule CC4-3 of this Exception that abuts Confederation Parkway shall be allocated for a permitted **use** identified in Subsection 7.1.4 of this By-law		
7.2.5.3.12	Notwithstanding Sentence 7.2.5.3.11 of this Exception, a maximum of 40% of the linear **building** frontage identified on Schedule CC4-3 of this Exception that abuts Confederation Parkway may be used for use other than a **use** identified in Subsection 7.1.4 of this By-law		
7.2.5.3.13	For the purposes of Sentence 7.2.5.3.11 of this Exception, each individual unit, located at or within the **build-to-area**, containing a **use** identified in Subsection 7.1.4 of this By-law, shall be required to provide a pedestrian access through the **main front entrance** which shall face Confederation Parkway		
7.2.5.3.14	The portion of the ground floor of all **buildings** and **structures** located on Parcel Blocks 3E and 3H identified on Schedule CC4-3 of this Exception that abuts Princess Royal Drive shall be allocated for a permitted **use** identified in Subsection 7.1.4 of this By-law		
7.2.5.3.15	Notwithstanding Sentence 7.2.5.3.14 of this Exception, a maximum of 40% of the linear **building** frontage located on Parcel Blocks 3E and 3H identified on Schedule CC4-3 of this Exception that abuts Princess Royal Drive may be used for use other than a **use** identified in Subsection 7.1.4 of this By-law		
7.2.5.3.16	For the purpose of this Exception, linear **building** frontage shall be measured for that portion of the **building** located at or within the **build-to-area** measured from the exterior of outside walls parallel to the **street line**		
7.2.5.3.17	For the purposes of this By-law, Parcel Blocks 3A to 3D inclusive identified on Schedule CC4-3 of this Exception shall be considered one property		
7.2.5.3.18	For the purposes of this By-law, Parcel Blocks 3E to 3J inclusive identified on Schedule CC4-3 of this Exception shall be considered one property		
7.2.5.3.19	All site development plans shall comply with Schedule CC4-3 of this Exception		

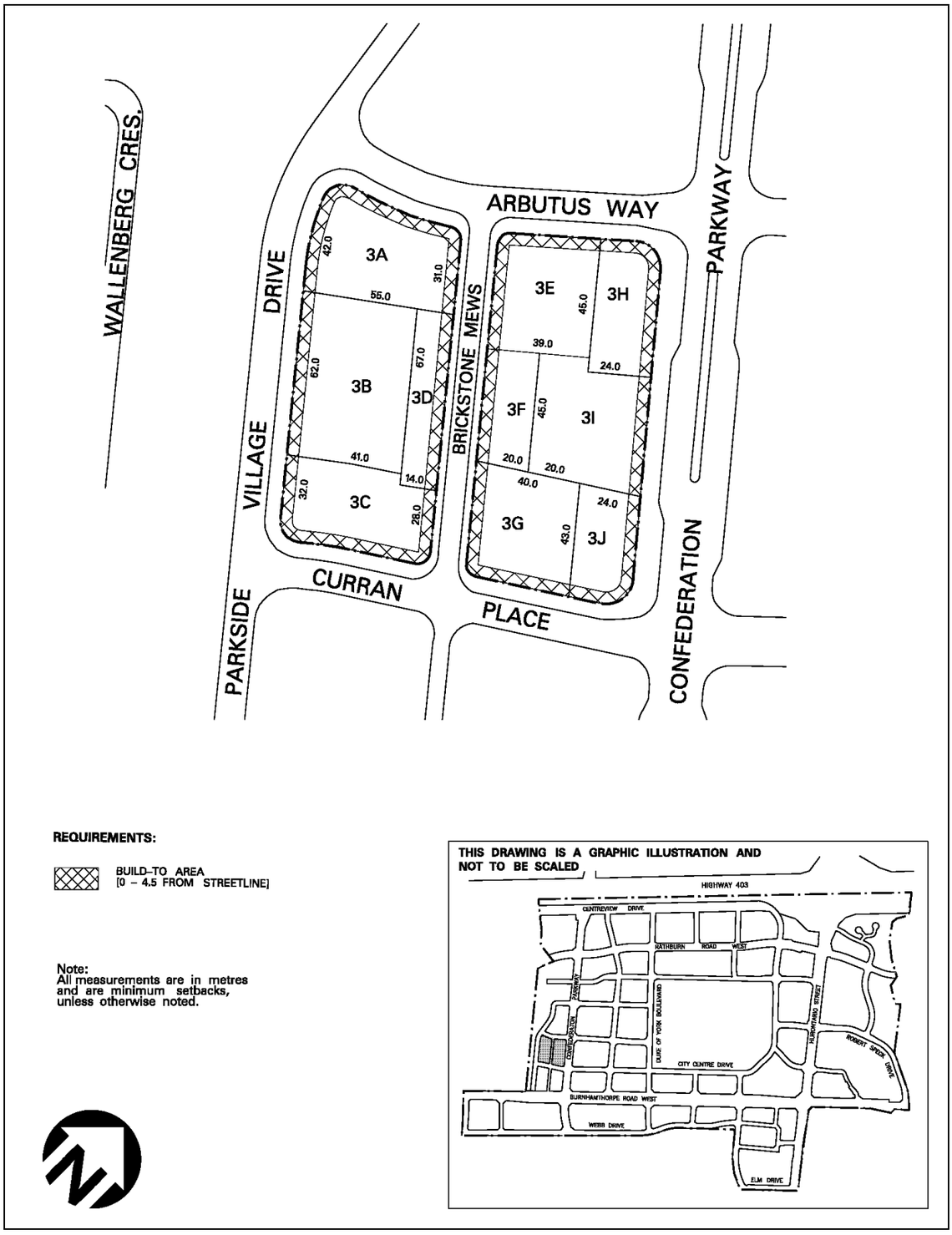

Schedule CC4-3
Map 29

7.2.5.4	Exception: CC4-4	Map # 29	By-law: 0105-2013, 0026-2014, 0174-2017, 0050-2013/LPAT Order 2020 June 08

In a CC4-4 zone the permitted **uses** and applicable regulations shall be as specified for a CC4 zone except that the following **uses**/regulations shall apply:

Regulations

7.2.5.4.1 Maximum heights and floor plates of all **buildings** and **structures** on Parcel Blocks 4A to 4H identified on Schedule CC4-4 of this Exception shall conform to the following schedule:

Parcel Block	Maximum Building Height	Maximum Tower Floor Plate	Minimum Podium Height	Maximum Podium Height
4A	127.0 m and 41 **storeys**	740 m^2	7.0 m and 3 **storeys**	25.0 m and 6 **storeys**
4B	18.0 m and 6 **storeys**		7.0 m and 3 **storeys**	25.0 m and 6 **storeys**
4C	156.0 m and 49 **storeys**	840 m^2	7.0 m and 3 **storeys**	29.0 m and 8 **storeys**
4D	12.0 m and 4 **storeys**		7.0 m and 3 **storeys**	15.5 m and 4 **storeys**
4E	12.0 m and 4 **storeys**		7.0 m and 3 **storeys**	15.5 m and 4 **storeys**
4F	134.0 m and 43 **storeys**	810 m^2	7.0 m and 3 **storeys**	29.0 m and 8 **storeys**
4G	25.0 m and 8 **storeys**		7.0 m and 3 **storeys**	29.0 m and 8 **storeys**
4H	156.0 m and 49 **storeys**	838 m^2	12.0 m and 3 **storeys**	29.0 m and 8 **storeys**

7.2.5.4.1A The regulations of Lines 3.2, 4A.0 to 4A.11, 4C.0 to 4C.2 and 5.1 contained in Table 7.2.1 of this By-law shall not apply

7.2.5.4.2 **Motor vehicle** parking may be provided off site on lands zoned CC4-4

7.2.5.4.3 Notwithstanding the minimum dimensions of the **build-to-areas** identified on Schedule CC4-4 of this Exception, where a **building**, **structure** or part thereof is used for an **apartment**, **long-term care** or **retirement building** and is situated at grade, the minimum setback to a **street line** shall be 3.0 m to that portion of the **building** or **structure** containing that **use**

7.2.5.4.4 Notwithstanding Sentence 7.2.5.4.3 of this Exception, a lobby located on the ground floor level may encroach a maximum of 1.5 m into the required **street line** setback

7.2.5.4.5 Notwithstanding Sentence 7.2.5.4.3 of this Exception, a **balcony** and bay window may encroach a maximum of 1.5 m into the required **street line** setback

7.2.5.4.6 Notwithstanding Sentence 7.2.5.4.3 of this Exception, an open staircase and **porch** located on the ground floor level may encroach a maximum of 1.5 m into the required **street line** setback

Exception CC4-4 continued on next page

7.2.5.4	Exception: CC4-4	Map # 29	By-law: 0105-2013, 0026-2014, 0174-2017, 0050-2013/LPAT Order 2020 June 08
Exception CC4-4 continued from previous page			
7.2.5.4.7	The provisions contained in Sentence 7.2.5.4.3 of this Exception shall not apply to those parts of a **building** or **structure** located on the ground floor level, at or within the **build-to-area** identified on Schedule CC4-4 of this Exception used for a permitted **use** identified in Subsection 7.1.4 of this By-law		
7.2.5.4.8	Notwithstanding the requirements of **build-to-areas** identified on Schedule CC4-4 of this Exception, vehicular and pedestrian entrances for the purposes of ingress and egress to and from the lands and **landscaped areas** abutting vehicular and pedestrian entrances shall be permitted and shall not be included in the calculation of the **build-to-area** identified on Schedule CC4-4 of this Exception		
7.2.5.4.9	For the purposes of this By-law, Parcel Blocks 4A to 4D inclusive identified on Schedule CC4-4 of this Exception shall be considered one property		
7.2.5.4.10	For the purposes of this By-law, Parcel Blocks 4E to 4H inclusive identified on Schedule CC4-4 of this Exception shall be considered one property		
7.2.5.4.11	That outdoor display of seasonal products be permitted within Parcel Blocks 4F to 4G inclusive identified on Schedule CC4-4 of this Exception		
7.2.5.4.12	Minimum setback from the exterior face of a podium of **buildings** and **structures**, or parts thereof, located above the podium structure for Parcel Blocks 4E to 4H inclusive identified on Schedule CC4-4 of this Exception		0.0 m
7.2.5.4.13	Maximum encroachment of portions of a **building** or **structure** into the required setback for Parcel Blocks 4E to 4H inclusive identified on Schedule CC4-4 of this Exception		3.0 m
7.2.5.4.14	All site development plans shall comply with Schedule CC4-4 of this Exception		

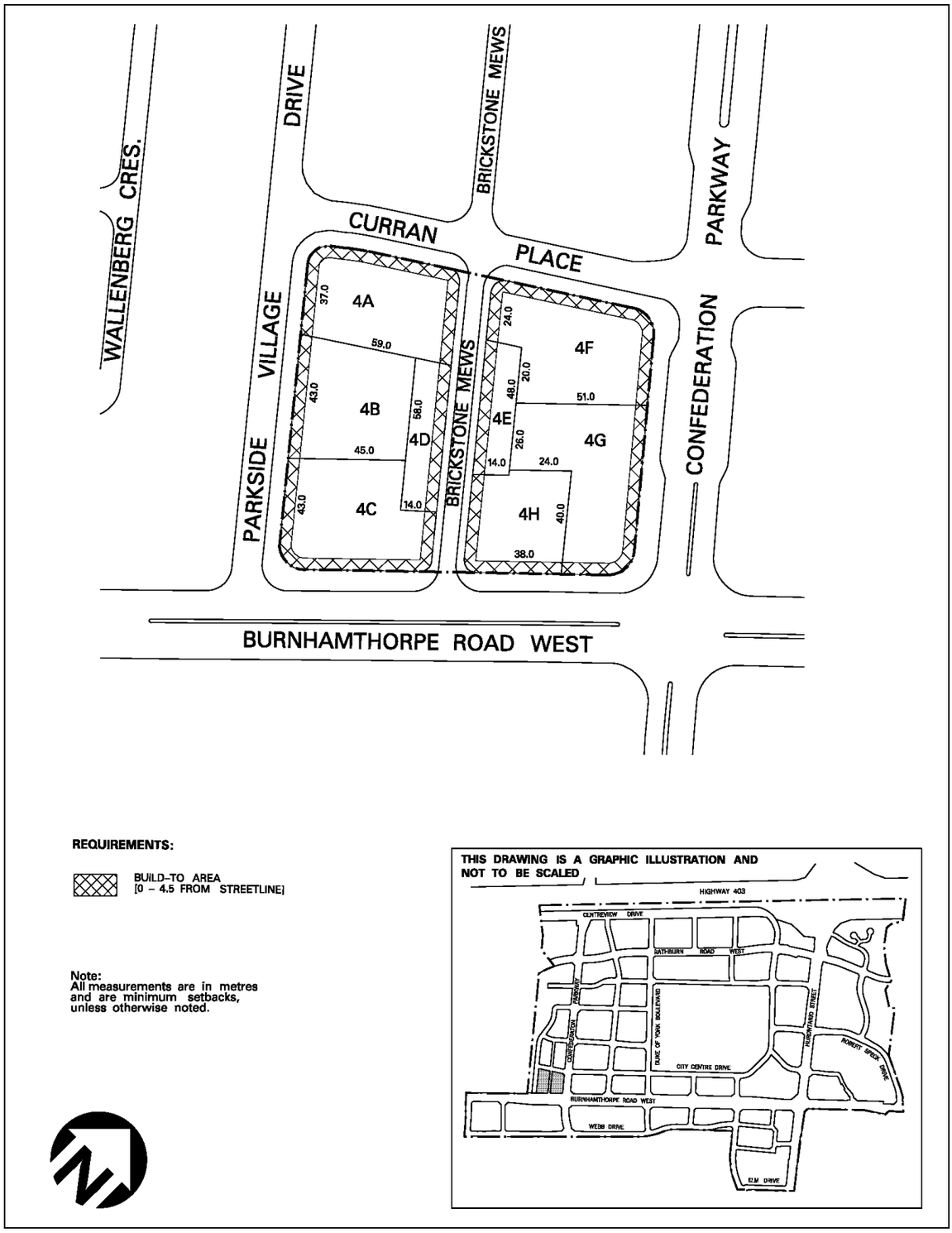

Schedule CC4-4
Map 29

7.2.5.5	Exception: CC4-5	Map # 29	By-law: 0105-2013, 0026-2014, 0174-2017, 0050-2013/LPAT Order 2020 June 08

In a CC4-5 zone the applicable regulations shall be as specified for a CC4 zone except that the following **uses**/regulations shall apply:

Permitted Uses

7.2.5.5.1 Lands zoned CC4-5 shall only be used for the following:

(1) **Apartment**
(2) **Long-term care building** or **retirement building**
(3) **Back to Back Townhouse**

Regulations

7.2.5.5.2 Maximum heights and floor plates of all **buildings** and **structures** on Parcel Blocks 5A and 5B identified on Schedule CC4-5 of this Exception shall conform to the following schedule:

Parcel Block	Maximum Building Height	Minimum Podium Height
5A	16.0 m and 4 **storeys**	7.0 m and 3 **storeys**
5B	16.0 m and 4 **storeys**	7.0 m and 3 **storeys**

7.2.5.5.2A The regulations of Lines 3.2, 4A.0 to 4A.11, 4C.0 to 4C.2 and 5.1 contained in Table 7.2.1 of this By-law shall not apply

7.2.5.5.3 **Motor vehicle** parking may be provided off site on lands zoned CC4-5

7.2.5.5.4 Notwithstanding the minimum dimensions of the **build-to-areas** identified on Schedule CC4-5 of this Exception, where a **building**, **structure** or part thereof is used for an **apartment**, **long-term care** or **retirement building** and is situated at grade, the minimum setback to a **street line** shall be 3.0 m to that portion of the **building** or **structure** containing that **use**

7.2.5.5.5 Notwithstanding Sentence 7.2.5.5.4 of this Exception, a lobby located on the ground floor level may encroach a maximum of 1.5 m into the required **street line** setback

7.2.5.5.6 Notwithstanding Sentence 7.2.5.5.4 of this Exception, a **balcony** and bay window may encroach a maximum of 1.5 m into the required **street line** setback

7.2.5.5.7 Notwithstanding Sentence 7.2.5.5.4 of this Exception, an open staircase and **porch** located on the ground floor level may encroach a maximum of 1.5 m into the required **street line** setback

7.2.5.5.8 The provisions contained in Sentence 7.2.5.5.4 of this Exception shall not apply to those parts of a **building** or **structure** located on the ground floor level, at or within the **build-to-area** identified on Schedule CC4-5 of this Exception used for a permitted **use** identified in Subsection 7.1.4 of this By-law

7.2.5.5.9 Notwithstanding the requirements of **build-to-areas** identified on Schedule CC4-5 of this Exception, vehicular and pedestrian entrances for the purposes of ingress and egress to and from the lands and **landscaped areas** abutting vehicular and pedestrian entrances shall be permitted and shall not be included in the calculation of the **build-to-area** identified on Schedule CC4-5 of this Exception

Exception CC4-5 continued on next page

7.2.5.5	Exception: CC4-5	Map # 29	By-law: 0105-2013, 0026-2014, 0174-2017, 0050-2013/LPAT Order 2020 June 08
Exception CC4-5 continued from previous page			
7.2.5.5.10	Minimum setback from a **dwelling unit** to the **lot lines** abutting the lands zoned OS1		4.5 m
7.2.5.5.11	Notwithstanding Sentence 7.2.5.5.10 of this Exception, required setback of an underground **parking structure**, parking stairwell and enclosure, and retaining walls		0.0 m
7.2.5.5.12	Minimum setback from a **dwelling unit** to the **lot lines** abutting the lands zoned CCOS		3.0 m
7.2.5.5.13	Notwithstanding Sentence 7.2.5.5.12 of this Exception, required setback of an underground **parking structure**, parking stairwell and enclosure, and retaining walls		0.0 m
7.2.5.5.14	Minimum number of **loading spaces**		0
7.2.5.5.15	All site development plans shall comply with Schedule CC4-5 of this Exception		

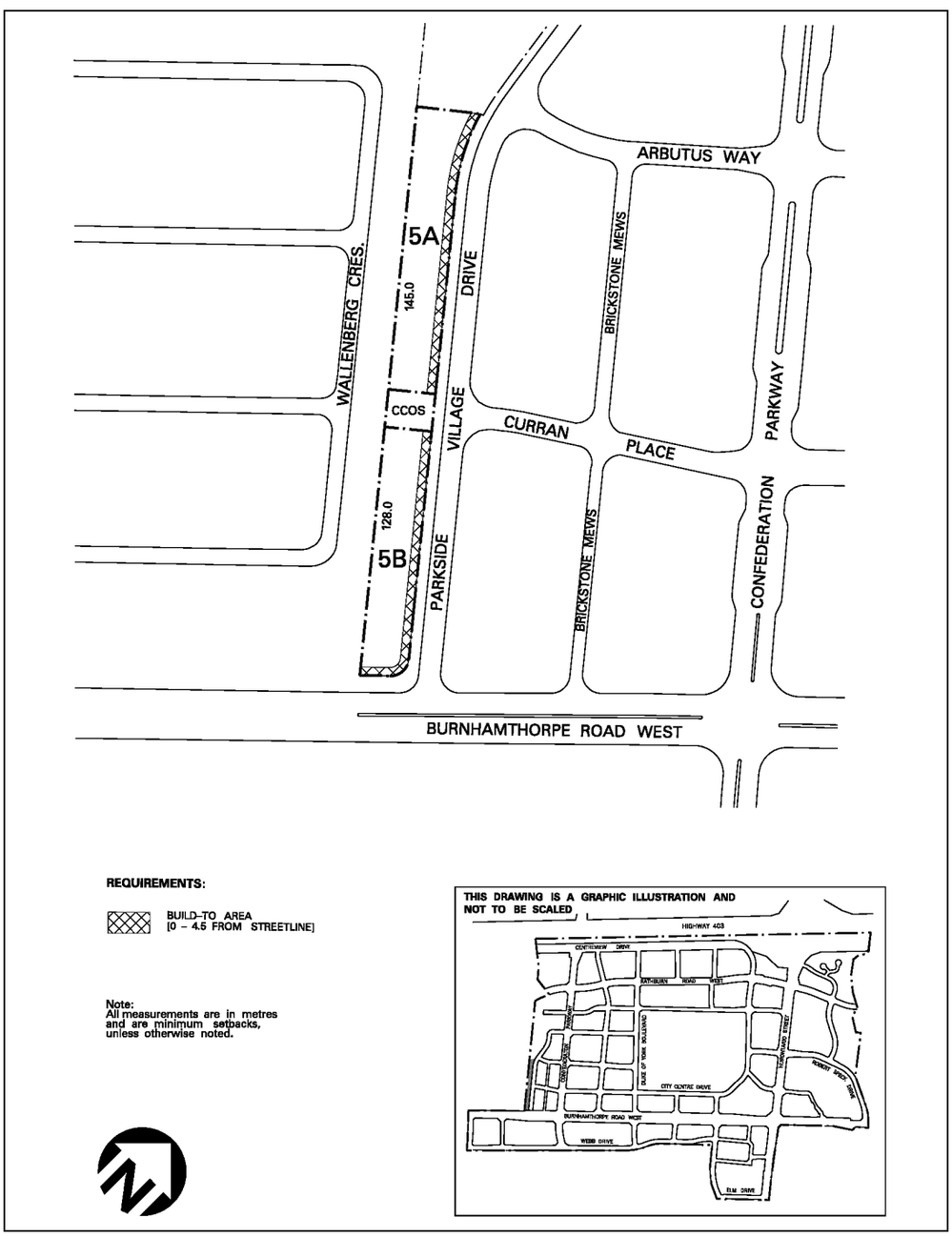

Schedule CC4-5
Map 29

7.2.5A CCO Exception Zones

Refer to Article 1.1.2.3 - Exception Zones and Exception Zone Schedules

7.2.6 CCOS Exception Zones

Refer to Article 1.1.2.3 - Exception Zones and Exception Zone Schedules

7.2.6.1	Exception: CCOS-1	Map # 29	By-law: OMB Order 2014 February 20, 0263-2016
In a CCOS-1 zone the permitted **uses** and applicable regulations shall be as specified for a CCOS zone except that the following **uses**/regulations shall apply:			
Regulations			
7.2.6.1.1	Minimum height		1 **storey**
7.2.6.1.2	A **building** with a maximum height of one **storey** and a maximum **gross floor area** of 925 m^2 may be used for commercial uses accessory to a recreational use		
7.2.6.1.3	"Commercial Uses Accessory to a Recreational Use" means a food-related **retail store**, a **restaurant or take-out restaurant** with or without an outdoor patio		
Holding Provision			
	The holding symbol H is to be removed from the whole or any part of the lands zoned H-CCOS-1 by further amendment to Map 29 of Schedule B contained in Part 13 of this By-law, as amended, upon satisfaction of the following requirements: (1) delivery of an executed Servicing Agreement and/or Development Agreement in a form satisfactory to The Corporation of the City of Mississauga, addressing and agreeing to the installation or placement of all required municipal works, including municipal walkways, the provision of land dedication for future public road widenings, and transit rights-of-way and easements, including the provision of parkland, the provisions of required securities, and related provisions provided that the Servicing and Development Agreements will not require the gratuitous dedication of land for new public roads, including realignments of roads, where not otherwise permitted under the *Planning Act* or impose an obligation upon a landowner to construct or pay for the construction of a new road; (2) the holding symbol H shall not prevent the **use** of **buildings** and **structures** legally **existing** on the date of passing of this By-law for those **uses** which are permitted by the zone in which they are located, or the expansion of parking facilities to support the **uses** within these **existing buildings** and **structures**.		

7.2.6.2	Exception: CCOS-2	Map # 29	By-law: 0174-2017
In a CCOS-2 zone the permitted **uses** and applicable regulations shall be as specified for a CCOS zone except that the following **uses**/regulations shall apply:			
Additional Permitted Uses			
7.2.6.2.1	(1) **Restaurant** (2) **Take-out Restaurant** (3) Outdoor patio accessory to a **restaurant** or **take-out restaurant** (4) Outdoor markets' and other outdoor sales		
Regulations			
7.2.6.2.2	The provisions of Lines 4.0 and 5.0 contained in Table 2.1.9.7 of this By-law shall not apply		
7.2.6.2.3	Maximum **gross floor area - non-residential** used for a **restaurant** and/or **take-out restaurant**		240 m^2