TABLE OF CONTENTS
Part 10: Greenlands Zones

PURPOSE ..... 10.1 ~ 1

10.1 GENERAL PROVISIONS FOR GREENLANDS ZONES ..... 10.1 ~ 1 to 2
10.1.1 Accessory Uses in G1 and G2 Zones ..... 10.1 ~ 1

10.2 G1 AND G2 ZONES (GREENLANDS) ..... 10.2.1 ~ 1 to 10.2.3 ~ 20
10.2.1 G1 and G2 Permitted Uses ..... 10.2.1 ~ 1
10.2.2 G1 Exception Zones ..... 10.2.2 ~ 1
10.2.3 G2 Exception Zones ..... 10.2.3 ~ 1

PURPOSE

The purpose of this Part is to provide a number of Greenlands Zones, that allow a limited range of uses and activities specific to the protection of people and property from flooding and erosion hazards, and the protection of natural features, in appropriate locations throughout the City.[1]

10.1 GENERAL PROVISIONS FOR GREENLANDS ZONES

In addition to the zone provisions contained in Parts 1 and 2 of this By-law, the following General Provisions for Greenlands Zones shall also apply:

10.1.1 Accessory Uses in G1 and G2 Zones

10.1.1.1 **Trails** are permitted accessory to **natural heritage features and areas conservation**.

10.1.1.2 A **passive recreational use** is permitted accessory to a **stormwater management** facility.

10.1.1.3 A fence is permitted accessory to a **natural protection area** and **natural heritage features and areas conservation** to prevent encroachment of abutting land **uses** and to establish property boundaries.

10.1.1.4 **Parking areas** are permitted accessory to **natural heritage features and areas conservation** and may be constructed of a permeable type of material to minimize impacts on the natural environment. *(0208-2022)*

[1] The purpose statement is for clarification purposes and does not form part of this By-law.

10.2 G1 AND G2 ZONES (GREENLANDS)

10.2.1 G1 and G2 Permitted Uses

All **buildings** and **structures** shall comply with the provisions contained in Parts 1 and 2 and Section 10.1 of this By-law, and the **uses** specified within the applicable zone column contained in Table 10.2.1 - G1 and G2 Permitted Uses.

Table 10.2.1 - G1 and G2 Permitted Uses
(0379-2009)

Column	**A**	**B**	**C**
Line 1.0	**ZONES**	**G1** Greenlands - Natural Hazards	**G2** Greenlands - Natural Features
PERMITTED USES			
2.0	GREENLANDS		
2.1	**Flood Control**	✓	
2.2	**Stormwater Management**	✓	
2.3	**Erosion Management**	✓	
2.4	**Natural Protection Area**		✓
2.5	**Natural Heritage Features and Areas Conservation**	✓	✓

10.2.2 G1 Exception Zones

Refer to Article 1.1.2.3 - Exception Zones and Exception Zone Schedules

10.2.2.1	Exception: G1-1	Map # 38W	By-law:
In a G1-1 zone the permitted **uses** and applicable regulations shall be as specified for a G1 zone except that the following **uses**/regulations shall apply:			
Additional Permitted Uses			
10.2.2.1.1	(1) Bird Sanctuary (2) Flight cage accessory to a bird sanctuary		
Regulations			
10.2.2.1.2	Maximum **gross floor area - non-residential** used for a bird sanctuary		20 m^2
10.2.2.1.3	Maximum area used for a flight cage		40 m^2
10.2.2.1.4	"Bird Sanctuary" means a **building** or **structure** used for the indoor care, treatment and recovery of injured or sick birds		
10.2.2.1.5	"Flight Cage" means any **structure** used for the outdoor care, treatment and recovery of injured or sick birds		

10.2.2.2	Exception: G1-2	Map #	By-law: *deleted by 0157-2023/ 0125-2025*

10.2.2.3	Exception: G1-3	Map # 06, 16, 17, 19	By-law:
In a G1-3 zone the permitted **uses** and applicable regulations shall be as specified for a G1 zone except that the following **uses**/regulations shall apply:			
Additional Permitted Use			
10.2.2.3.1	(1) Golf Course		
Regulation			
10.2.2.3.2	"Golf Course" means a public or private area operated for the purpose of playing golf and shall not include a club house, **office**, retail pro-shop, **restaurant**, banquet facilities or lounge		

10.2.2.4	Exception: G1-4	Map # 31	By-law:
In a G1-4 zone the permitted **uses** and applicable regulations shall be as specified for a G1 zone except that the following **uses**/regulations shall apply:			
Additional Permitted Uses			
10.2.2.4.1	(1) Garden Park (2) Conservation Area (3) Art Display		
Regulations			
10.2.2.4.2	Maximum **gross floor area - non-residential** of all **buildings** and **structures**		100 m^2
10.2.2.4.3	"Garden Park" means a facility for the display and demonstration of gardens		

10.2.2.5	Exception: G1-5	Map # 35W	By-law:
In a G1-5 zone the permitted **uses** and applicable regulations shall be as specified for a G1 zone except that the following **uses**/regulation shall apply:			
Additional Permitted Use			
10.2.2.5.1	(1) Parking for lands zoned E2-38		
Regulation			
10.2.2.5.2	Parking shall be located on lands zoned G1-5 identified on Schedule G1-5 of this Exception		

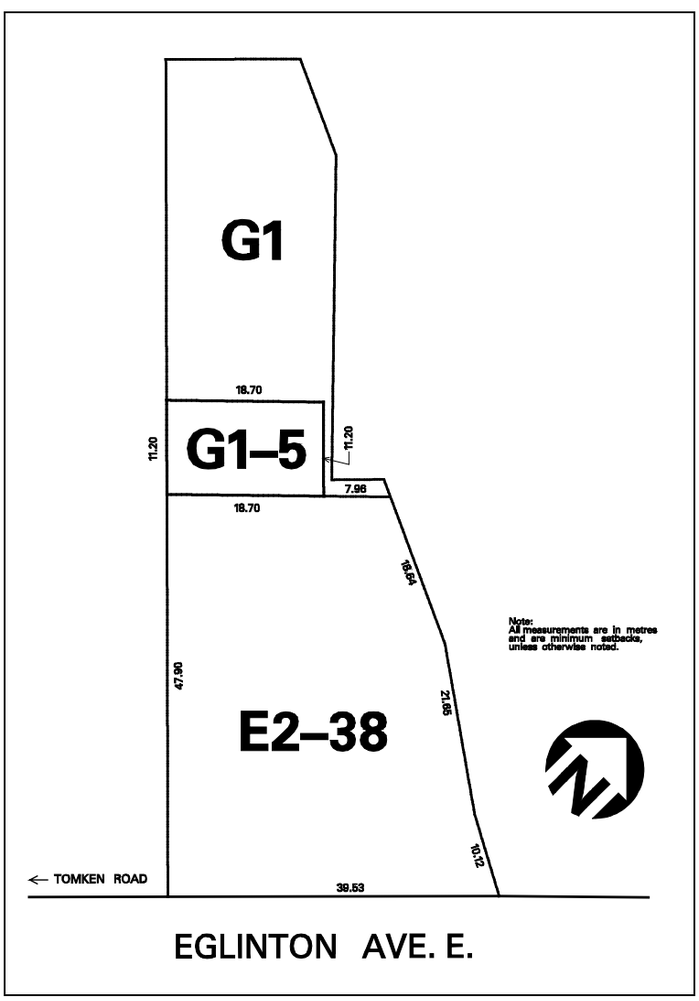

Schedule G1-5
Map 35W

10.2.2.6	Exception: G1-6	Map # 38W	By-law: 0162-2019
In a G1-6 zone the permitted **uses** and applicable regulations shall be as specified for a G1 zone except that the following **uses**/regulations shall apply:			
Additional Permitted Use			
10.2.2.6.1	(1)	**Detached dwelling** legally **existing** on the date of passing of this By-law	

10.2.2.7	Exception: G1-7	Map # 45E	By-law:
In a G1-7 zone the permitted **uses** and applicable regulations shall be as specified for a G1 zone except that the following **uses**/regulations shall apply:			
Additional Permitted Uses			
10.2.2.7.1	(1)	Agricultural use legally **existing** on the date of passing of this By-law	
	(2)	Golf Course	
Regulation			
10.2.2.7.2	"Golf Course" means a public or private area operated for the purpose of playing golf and shall not include a club house, **office**, retail pro-shop, **restaurant**, banquet facilities or lounge.		

10.2.2.8	Exception: G1-8	Map # 15	By-law:
In a G1-8 zone the permitted **uses** and applicable regulations shall be as specified for a G1 zone except that the following **uses**/regulations shall apply:			
Additional Permitted Use			
10.2.2.8.1	(1)	**Driveway** and **landscaped areas** accessory to the **uses** permitted on abutting lands zoned I	

10.2.2.9	Exception: G1-9	Map # 08	By-law:
In a G1-9 zone the permitted **uses** and applicable regulations shall be as specified for a G1 zone except that the following **uses**/regulations shall apply:			
Regulation			
10.2.2.9.1	Only **structures** used for **flood control** and **erosion management** shall be permitted		
Holding Provision			
	The holding symbol H is to be removed from the whole or any part of the lands zoned H-G1-9 by further amendment to Map 08 of Schedule B contained in Part 13 of this By-law, as amended, upon satisfaction of the following requirements:		
	(1)	delivery of an executed Servicing Agreement in a form satisfactory to the City;	
	(2)	delivery of an executed Development Agreement in a form satisfactory to the City;	
	(3)	written clearance from the Ministry of Transportation Ontario regarding the land requirements for the final design alternative for the Queen Elizabeth Way/ Hurontario Street interchange redesign and completion of the required public process and environmental assessment related to the interchange improvements.	

10.2.2.10	Exception: G1-10	Map # 31	By-law:
In a G1-10 zone the permitted **uses** and applicable regulations shall be as specified for a G1 zone except that the following **uses**/regulations shall apply:			
Regulation			
10.2.2.10.1	Only **structures** used for **flood control** and **erosion management** and a tennis court shall be permitted		
Holding Provision			
	The holding symbol H is to be removed from the whole or any part of the lands zoned H-G1-10 by further amendment to Map 31 of Schedule B contained in Part 13 of this By-law, as amended, upon satisfaction of the following requirements: (1) arrangements being made to the satisfaction of the City of Mississauga Planning and Building Department for additional visitor parking on the west block of lands abutting Folkway Drive; (2) arrangements being made to the satisfaction of the City of Mississauga Planning and Building Department and the Community Services Department, for a pathway in the Mullet Creek watershed to allow for pedestrian linkage to the north and south of the site with the applicant to bear the responsibility for construction, including all associated costs thereof; (3) that the applicant has fulfilled all other requirements of the City, including the lease agreement, and requirements of any other official agency concerned with the development.		

10.2.2.11	Exception: G1-11	Map # 08	By-law: 0271-2015
In a G1-11 zone the permitted **uses** and applicable regulations shall be as specified for a G1 zone except that the following **uses**/regulation shall apply:			
Additional Permitted Use			
10.2.2.11.1	(1) **Marina**		

10.2.2.12	Exception: G1-12	Map # 15	By-law: 0048-2025
In a G1-12 zone the permitted **uses** and applicable regulations shall be as specified for a G1 zone except that the following **uses**/regulations shall apply:			
Additional Permitted Use			
10.2.2.12.1	(1) Access to lands zoned RL-34		

10.2.2.13	Exception: G1-13	Map # 38W	By-law: OMB Order 2009 October 07
In a G1-13 zone the permitted **uses** and applicable regulations shall be as specified for a G1 zone except that the following **uses**/regulations shall apply:			
Additional Permitted Uses			
10.2.2.13.1	(1) **Buildings** and **structures** legally **existing** on the date of passing of this By-law used for grain processing and grain milling (2) Alterations and additions to **existing buildings** and **structures** used for grain processing and grain milling (3) A fence accessory to a permitted **use**		
Regulations			
10.2.2.13.2	The provisions contained in Subsection 1.1.4 of this By-law shall not apply		
10.2.2.13.3	The replacement or reconstruction of **existing buildings** or **structures** shall be permitted, provided that any replaced or reconstructed **building** or **structure** shall be in the same location as the **existing building** or **structure** it is replacing and shall not be any larger or higher than the **existing building** or **structure** it is replacing		
10.2.2.13.4	Maximum **gross floor area** of additions to **existing buildings** and **structures** on all lands zoned G1-13		55 m^2
10.2.2.13.5	Minimum number of **parking spaces** per 100 m^2 **gross floor area - non-residential**		1.6
10.2.2.13.6	Required parking shall be provided on lands zoned E2-113		

10.2.2.14	Exception: G1-14	Map # 04, 19, 24, 26, 38W, 40E, 46W	By-law: 0325-2008, 0179-2018, 0151-2020
In a G1-14 zone the permitted **uses** and applicable regulations shall be as specified for a G1 zone except that the following **uses**/regulations shall apply:			
Additional Permitted Uses			
10.2.2.14.1	(1) **Temporary Tent and/or Stage** (2) Shade Structure		
Regulation			
10.2.2.14.2	A **temporary tent and/or stage** shall comply with the provisions contained in Article 2.1.9.7 of this By-law except that the provisions of Line 3.0 contained in Table 2.1.9.7 shall not apply		

10.2.2.15	Exception: G1-15	Map # 04	By-law: 0396-2009/ OMB Order 2010 May 17
In a G1-15 zone the permitted **uses** and applicable regulations shall be as specified for a G1 zone except that the following **uses**/regulations shall apply:			
Additional Permitted Use			
10.2.2.15.1	(1) Conveyor belt legally **existing** on the date of passing of this By-law		

10.2.2.16	Exception: G1-16	Map # 03, 04	By-law: 0396-2009/ OMB Order 2010 May 17
In a G1-16 zone the permitted **uses** and applicable regulations shall be as specified for a G1 zone except that the following **uses**/regulations shall apply:			
Additional Permitted Uses			
10.2.2.16.1	(1) **Buildings** or **structures** legally **existing** on the date of passing of this By-law and the **existing** legal **use** of such **buildings** or **structures** (2) Alterations and additions to **existing buildings** and **structures**		
Regulation			
10.2.2.16.2	The replacement or reconstruction of **existing buildings** or **structures** shall be permitted, provided that any replaced or reconstructed **building** or **structure** shall be in the same location as the **existing building** or **structure** it is replacing and shall not be any larger or higher than the **existing building** or **structure** it is replacing		

10.2.2.17	Exception: G1-17	Map # 40W	By-law: 0151-2020
In a G1-17 zone the permitted **uses** and applicable regulations shall be as specified for a G1 zone except that the following **uses**/regulations shall apply:			
Additional Permitted Uses			
10.2.2.17.1	(1) **Temporary Tent and/or Stage** (2) Shade Structure (3) **Existing** Athletic Fields		
Regulation			
10.2.2.17.2	A **temporary tent and/or stage** shall comply with the provisions contained in Article 2.1.9.7 of this By-law except that the provisions of Line 3.0 contained in Table 2.1.9.7 of this By-law shall not apply		

10.2.2.18	Exception: G1-18	Map # 40W	By-law: 0151-2020
In a G1-18 zone the permitted **uses** and applicable regulations shall be as specified for a G1 zone except that the following **uses**/regulations shall apply:			
Additional Permitted Uses			
10.2.2.18.1	(1) **Temporary Tent and/or Stage** (2) Shade Structure (3) Athletic Fields		
Use Not Permitted			
10.2.2.18.2	(1) **Buildings** or **structures**, except for those **buildings** or **structures** contained in Clauses 10.2.2.18.1(1) and 10.2.2.18.1(2) of this Exception		
Regulation			
10.2.2.18.3	A **temporary tent and/or stage** shall comply with the provisions contained in Article 2.1.9.7 of this By-law except that the provisions of Line 3.0 contained in Table 2.1.9.7 of this By-law shall not apply		

Refer to Minister Zoning Order (MZO) O. Reg. 91/23 2023 May 12			
10.2.2.19	Exception: G1-19	Map # 01	By-law: 0119-2022
In a G1-19 zone the permitted **uses** and applicable regulations shall be as specified for a G1 zone except that the following **uses**/regulations shall apply:			
Additional Permitted Uses			
10.2.2.19.1	(1) Outdoor Market (2) Tent Structure (3) Shade structure, **accessory building** and/or **structure** (4) Public Washrooms (5) **Passive Recreational Use**		
Regulation			
10.2.2.19.2	Parking shall not be required for any **use** permitted in a G1-19 zone		
Holding Provision			
	The holding symbol H is to be removed from the whole or any part of the lands zoned H-G1-19 by further amendment to Map 01 of Schedule B contained in Part 13 of this By-law, as amended, upon satisfaction of the following requirement: (1) the provisions contained in Article 2.1.33.7 of this By-law as they relate to lands zoned H-G1-19 and subject to holding provisions H1, H2 and H3.		

10.2.3 G2 Exception Zones

Refer to Article 1.1.2.3 - Exception Zones and Exception Zone Schedules

10.2.3.1	Exception: G2-1	Map # 07, 08, 09, 10, 15, 16, 18, 22, 24, 27, 31, 38W, 43E, 44E, 44W, 45E, 48E, 52E, 52W, 53E, 53W	By-law: 0252-2011, 0054-2016
In a G2-1 zone the permitted **uses** and applicable regulations shall be as specified for a G2 zone except that the following **uses**/regulations shall apply:			
Regulation			
10.2.3.1.1	Minimum **natural protection area** depth		5.0 m
Holding Provision			
The holding symbol H is to be removed from the whole or any part of the lands zoned H-G2-1 by further amendment to Map 31 of Schedule B contained in Part 13 of this By-law, as amended, upon satisfaction of the following requirements: (1) arrangements being made to the satisfaction of the City of Mississauga Planning and Building Department for additional visitor parking on the west block of lands abutting Folkway Drive; (2) arrangements being made to the satisfaction of the City of Mississauga Planning and Building Department and the Community Services Department, for a pathway in the Mullet Creek watershed to allow for pedestrian linkage to the north and south of the site with the applicant to bear the responsibility for construction, including all associated costs thereof; (3) that the applicant has fulfilled all other requirements of the City, including the lease agreement, and requirements of any other official agency concerned with the development.			

10.2.3.2	Exception: G2-2	Map # 08, 09, 26, 27, 38E, 38W, 39E, 44E, 44W, 50W, 53E	By-law:
In a G2-2 zone the permitted **uses** and applicable regulations shall be as specified for a G2 zone except that the following **uses**/regulations shall apply:			
Regulation			
10.2.3.2.1	Minimum **natural protection area** depth		10.0 m

10.2.3.3	Exception: G2-3	Map # 15, 31, 38W, 44E, 45E, 45W, 56	By-law:
In a G2-3 zone the permitted **uses** and applicable regulations shall be as specified for a G2 zone except that the following **uses**/regulations shall apply:			
Regulation			
10.2.3.3.1	Minimum **natural protection area** depth		15.0 m

10.2.3.4	Exception: G2-4(1), G2-4(2), G2-4(3), G2-4(4), G2-4(5), G2-4(6), G2-4(7), G2-4(8), G2-4(9), G2-4(10), G2-4(12), G2-4(13), G2-4(14), G2-4(15), G2-4(16), G2-4(17)	Map # 21, 24, 31, 37E, 39E, 44W, 45E, 52W	By-law: 0191-2012, 0190-2014
In a G2-4(1), G2-4(2), G2-4(3), G2-4(4), G2-4(5), G2-4(6), G2-4(7), G2-4(8), G2-4(9), G2-4(10), G2-4(12), G2-4(13), G2-4(14), G2-4(15), G2-4(16) and G2-4(17) zone the permitted **uses** and applicable regulations shall be as specified for a G2 zone except that the following **uses**/regulations shall apply:			
Regulation			
10.2.3.4.1	**Natural protection area** shall be located on lands zoned G2-4(1) to G2-4(10) and G2-4(12) to G2-4(17) identified on Schedules G2-4(1) to G2-4(10) and G2-4(12) to G2-4(17) of this Exception		

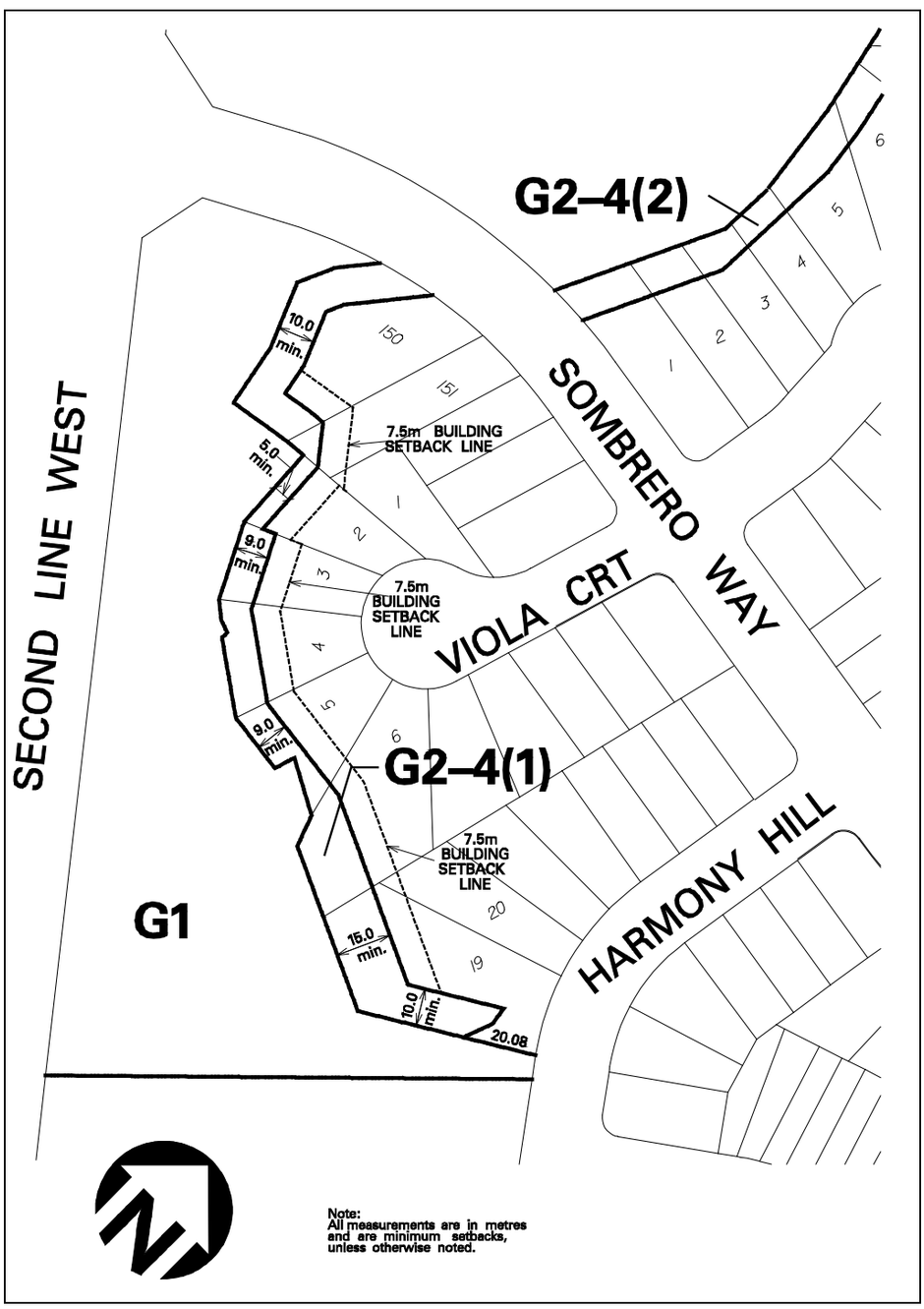

Schedule G2-4(1)
Map 44W

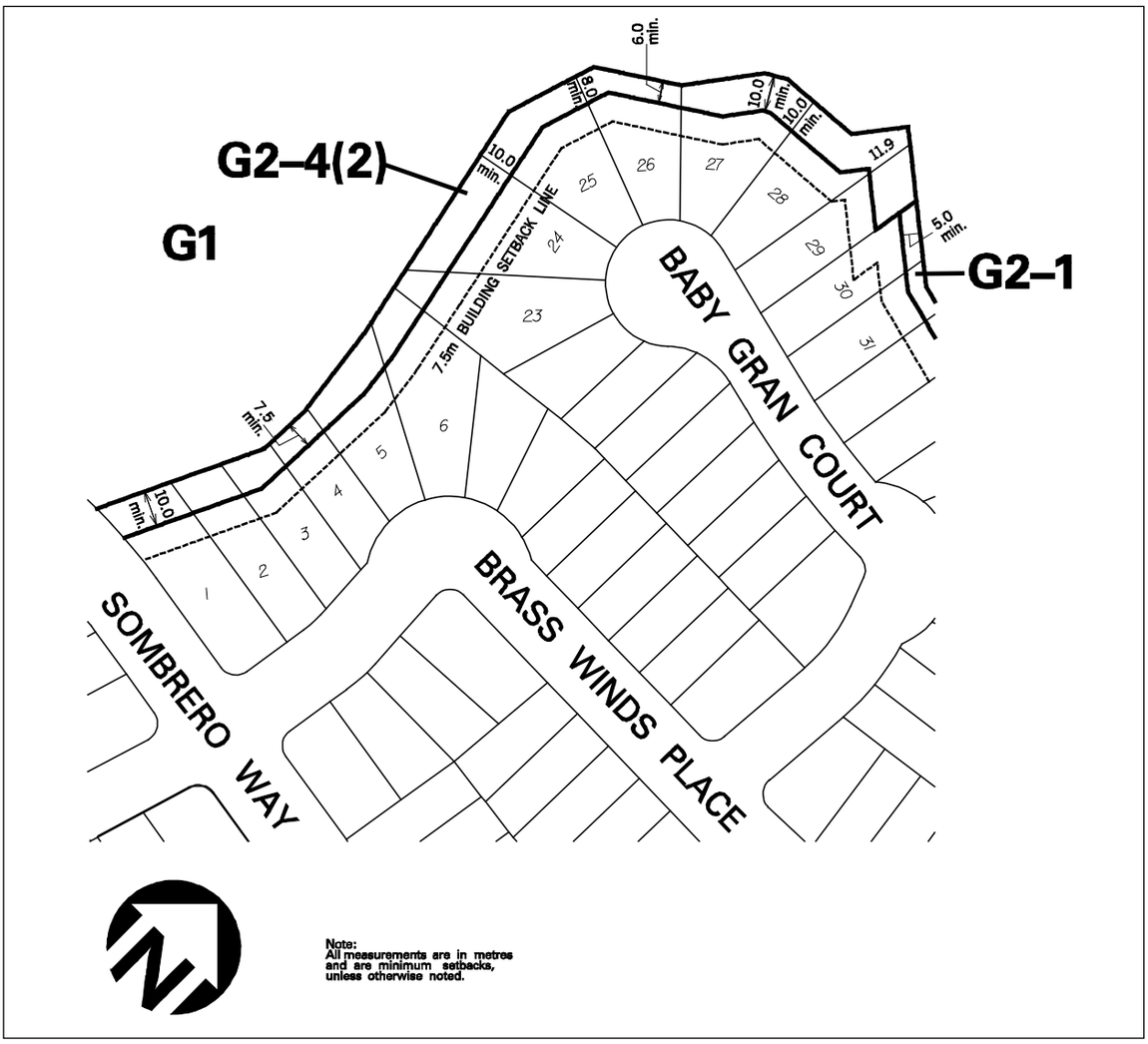

Schedule G2-4(2)
Map 44W

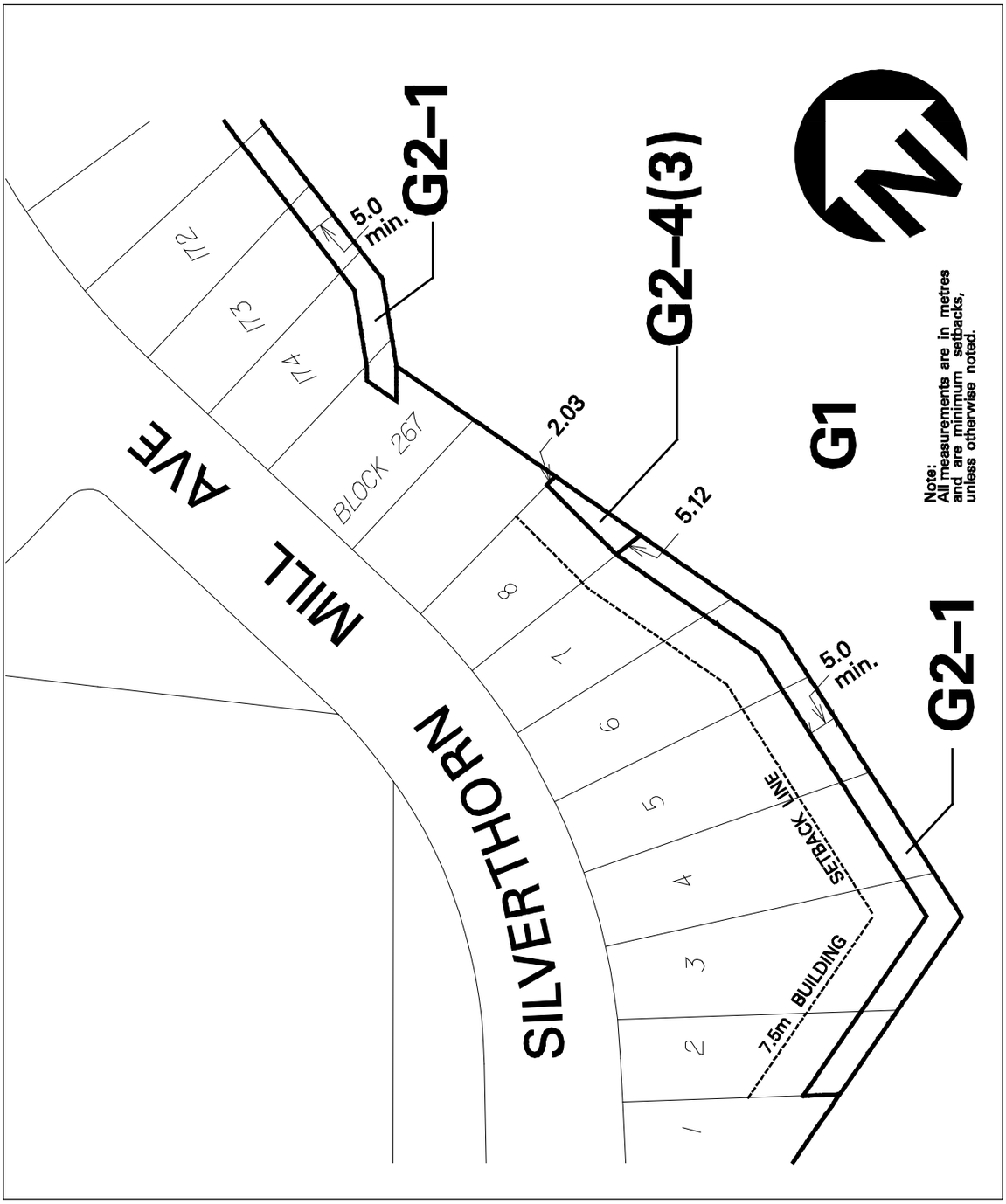

Schedule G2-4(3)
Map 44W

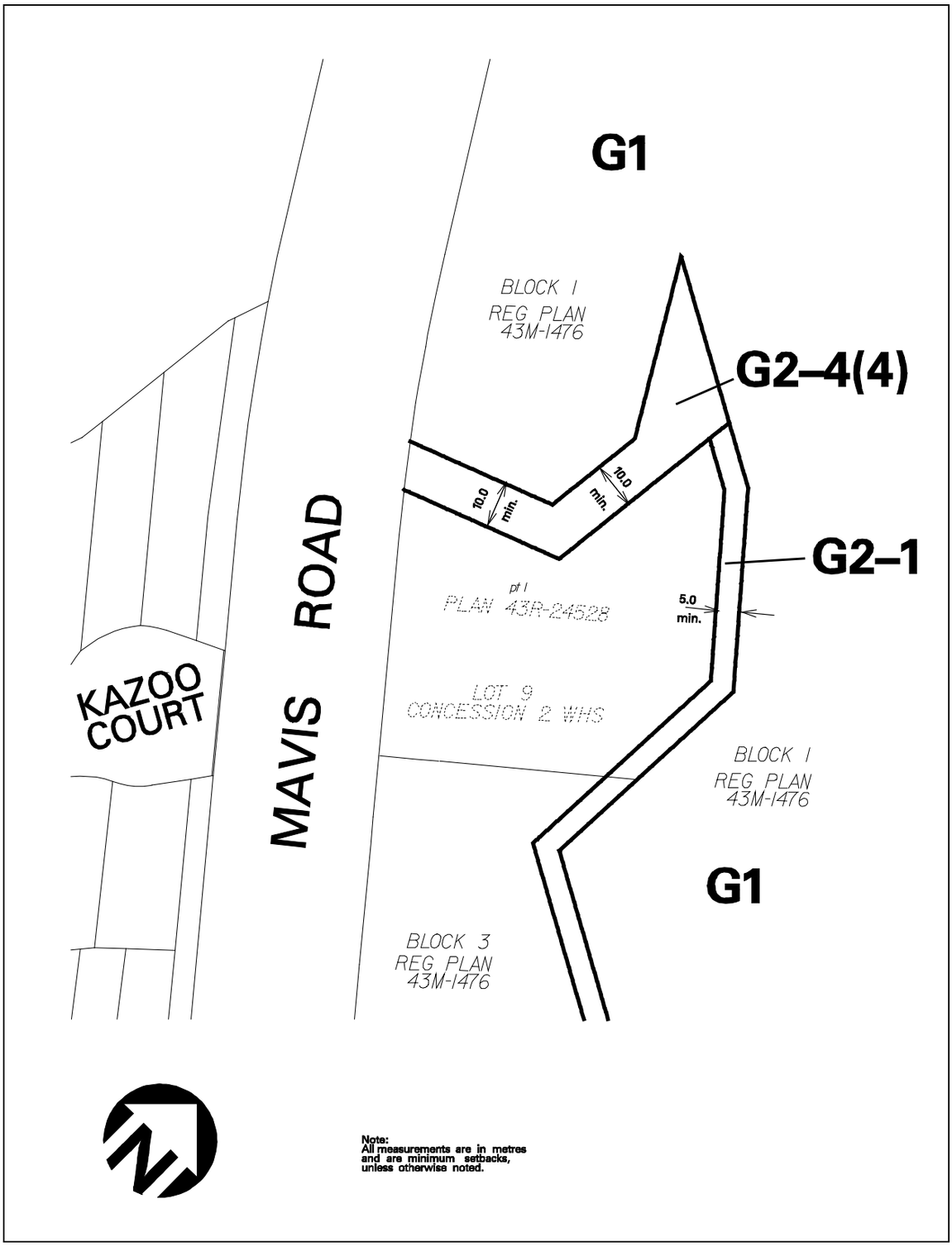

Schedule G2-4(4)
Map 44W

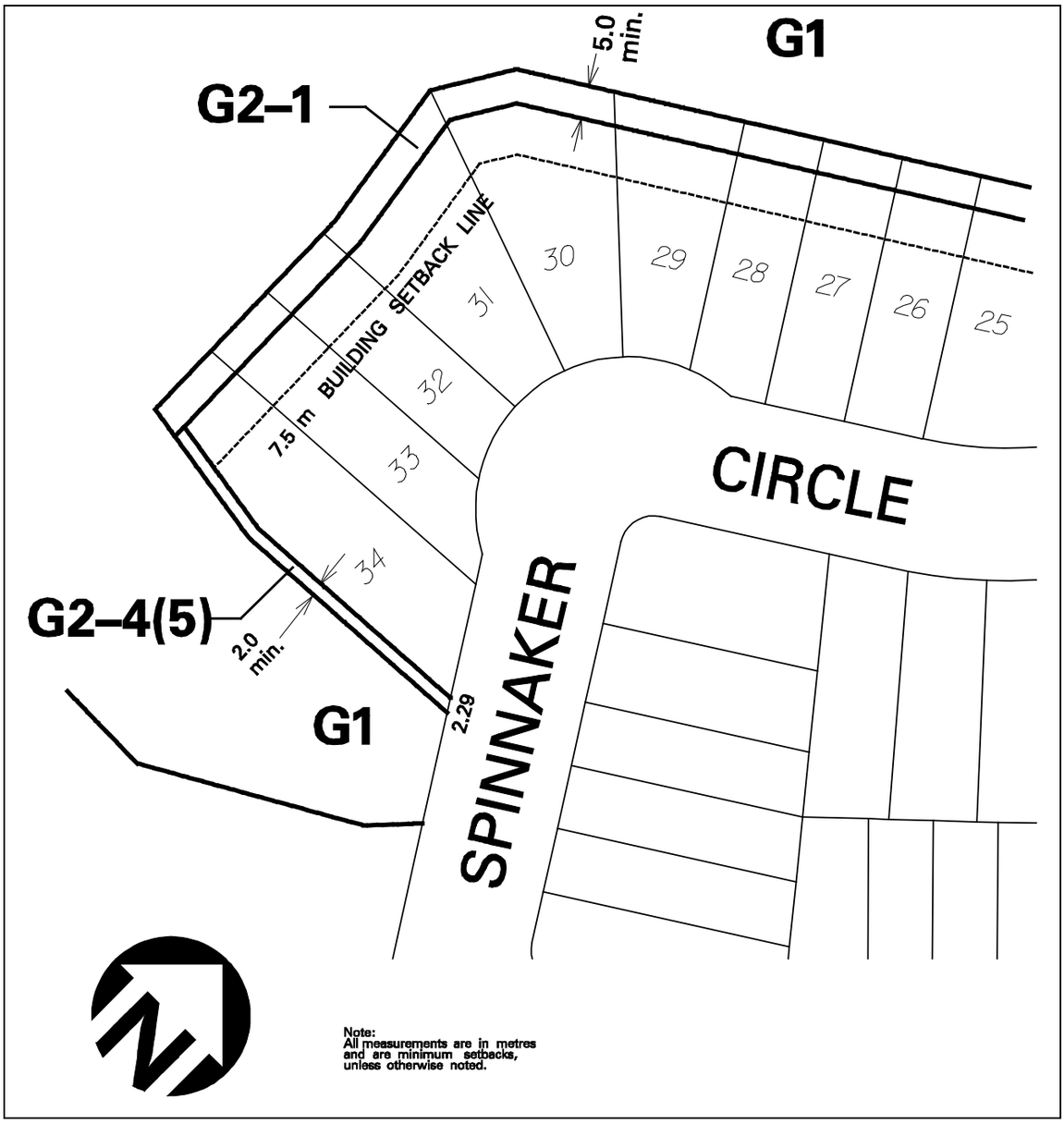

Schedule G2-4(5)
Map 44W

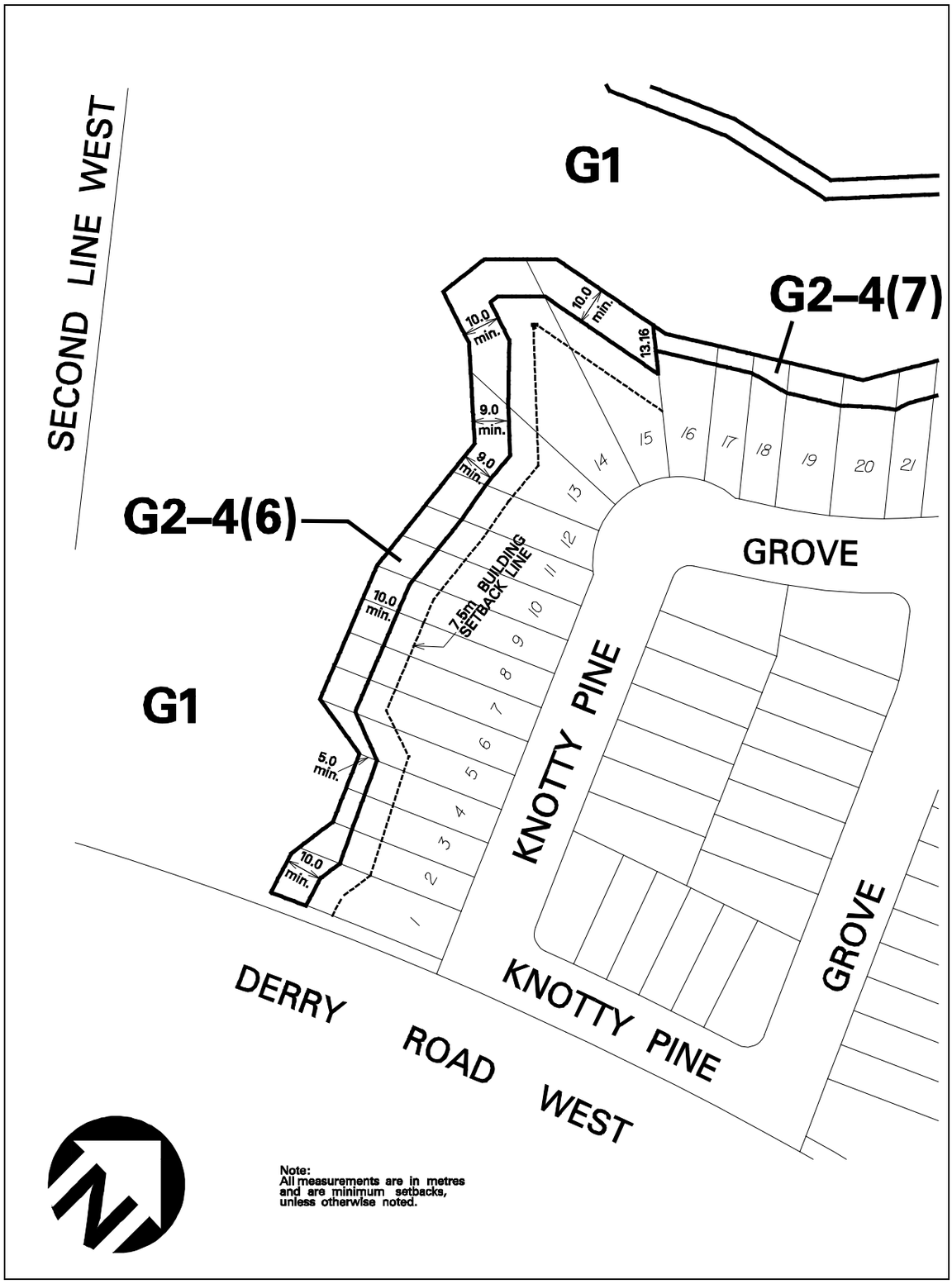

Schedule G2-4(6)
Map 52W

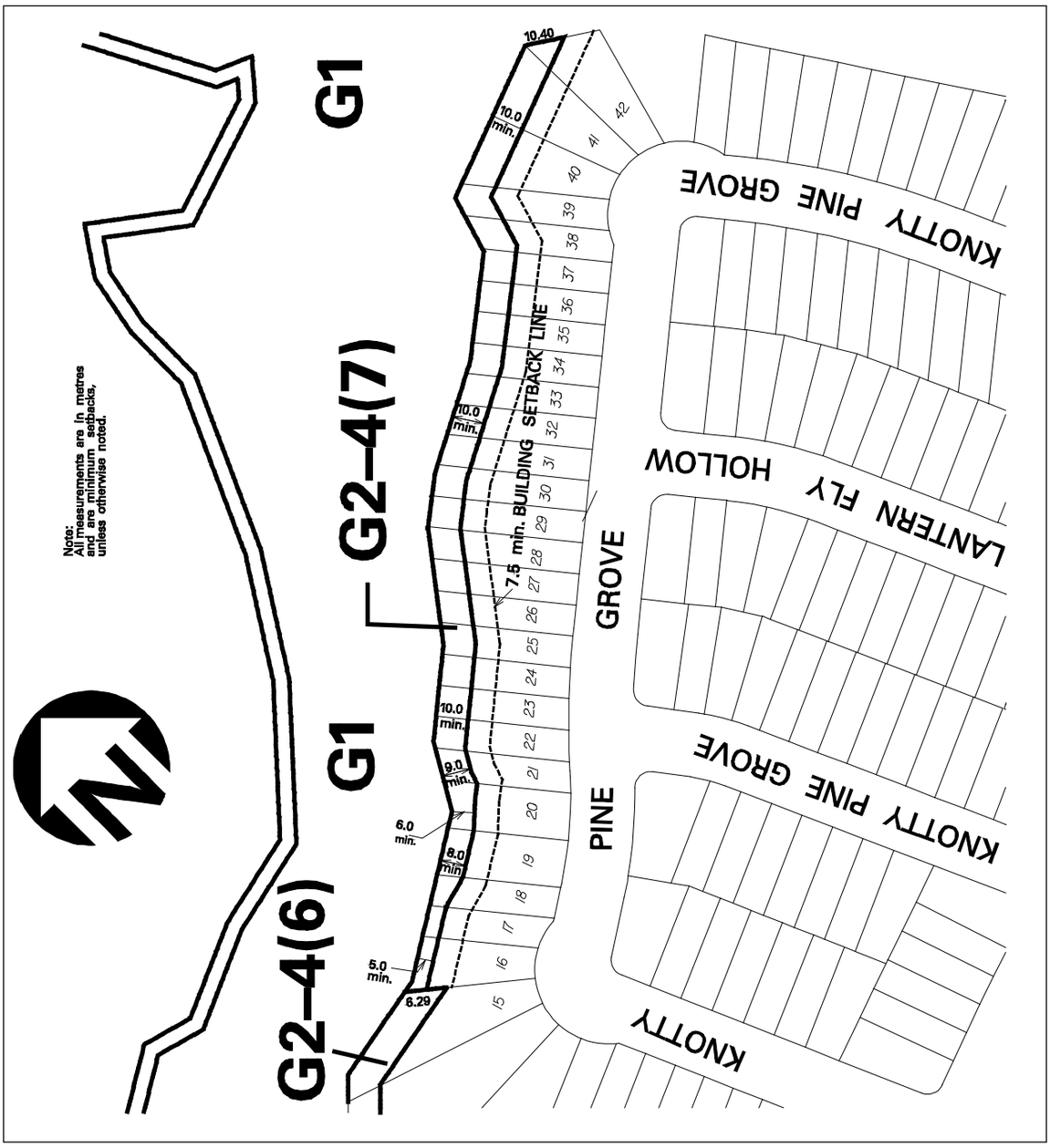

Schedule G2-4(7)
Map 52W

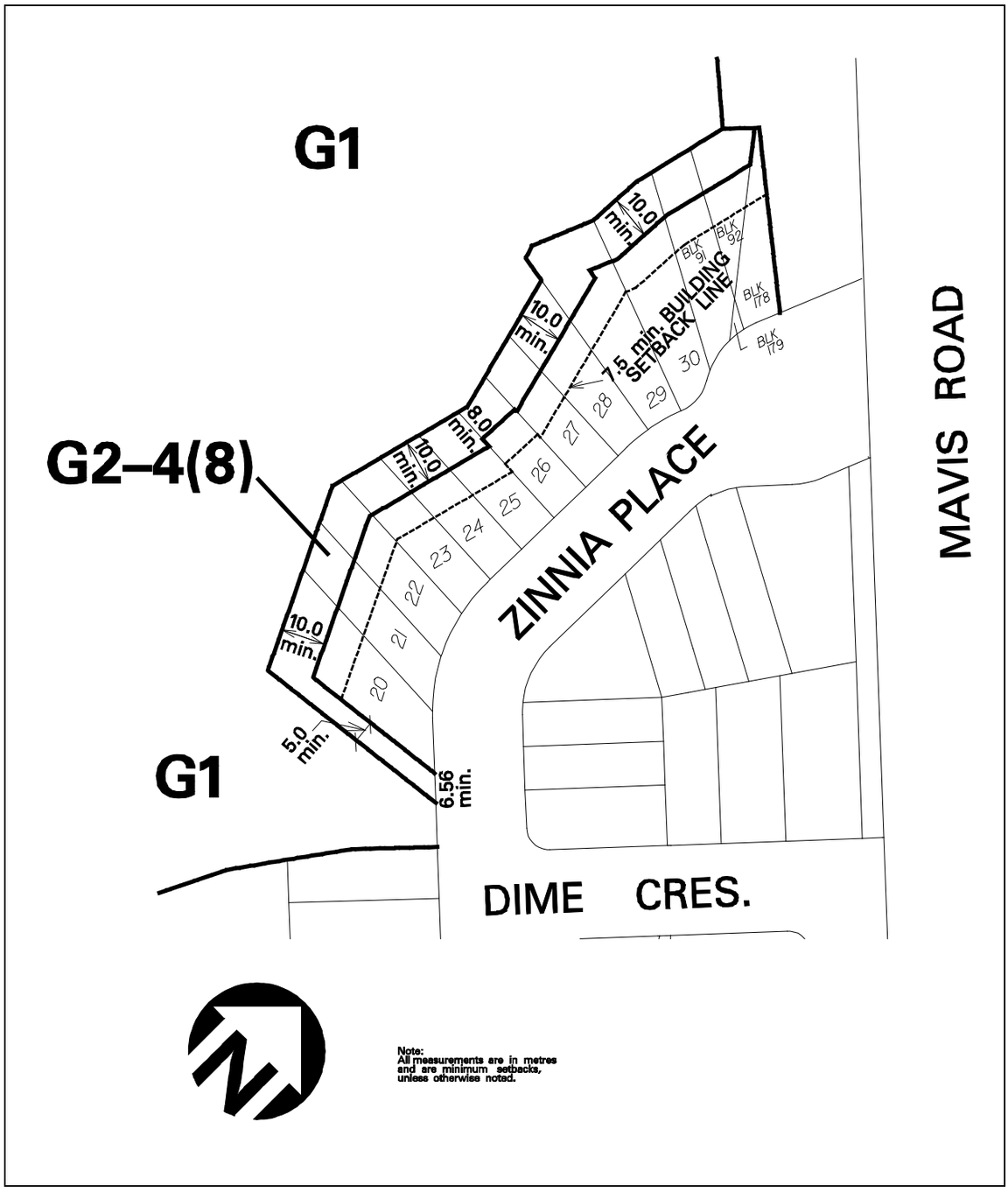

Schedule G2-4(8)
Map 52W

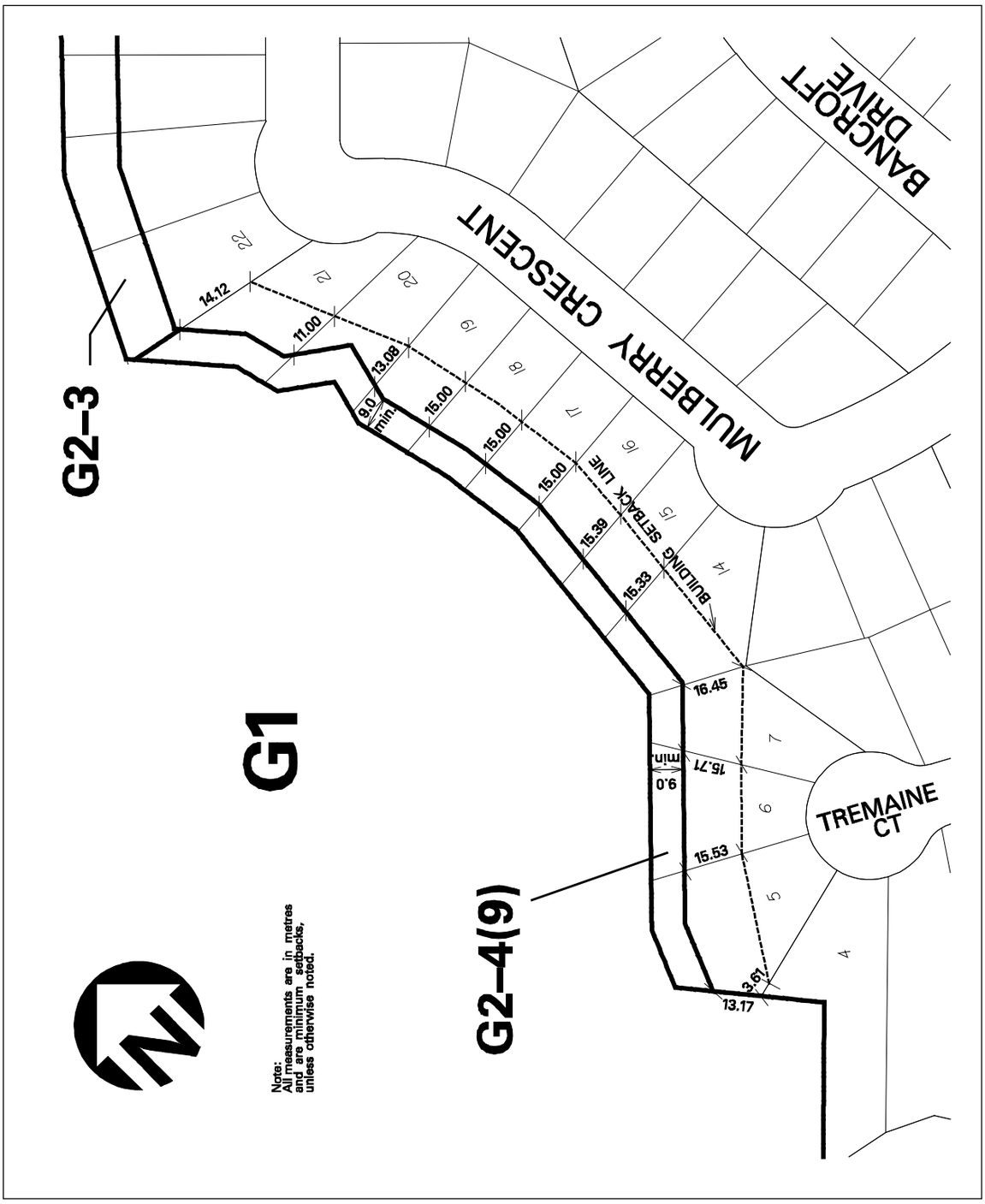

Schedule G2-4(9)
Map 45E

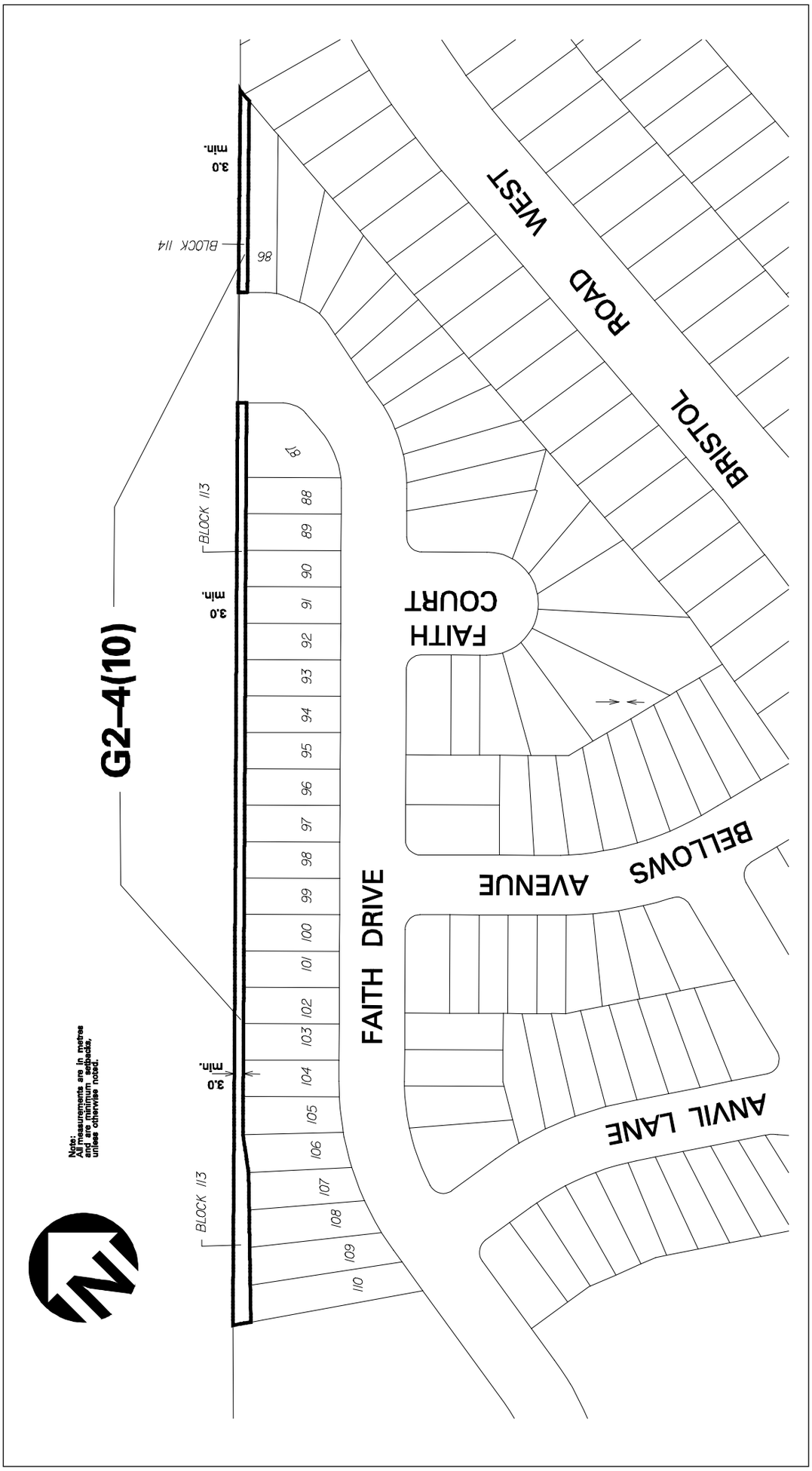

Schedule G2-4(10)
Map 37E

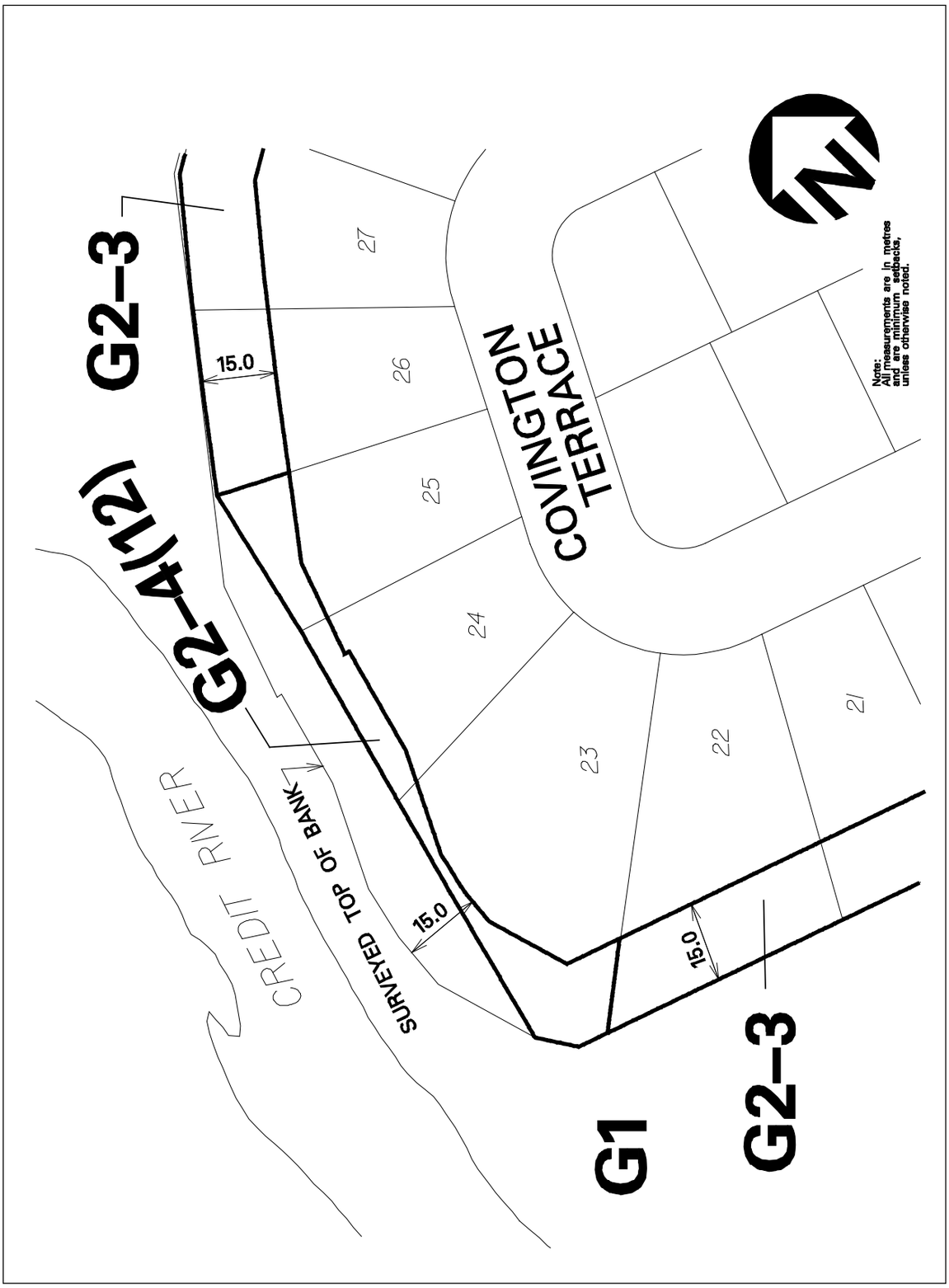

Schedule G2-4(12)
Map 31

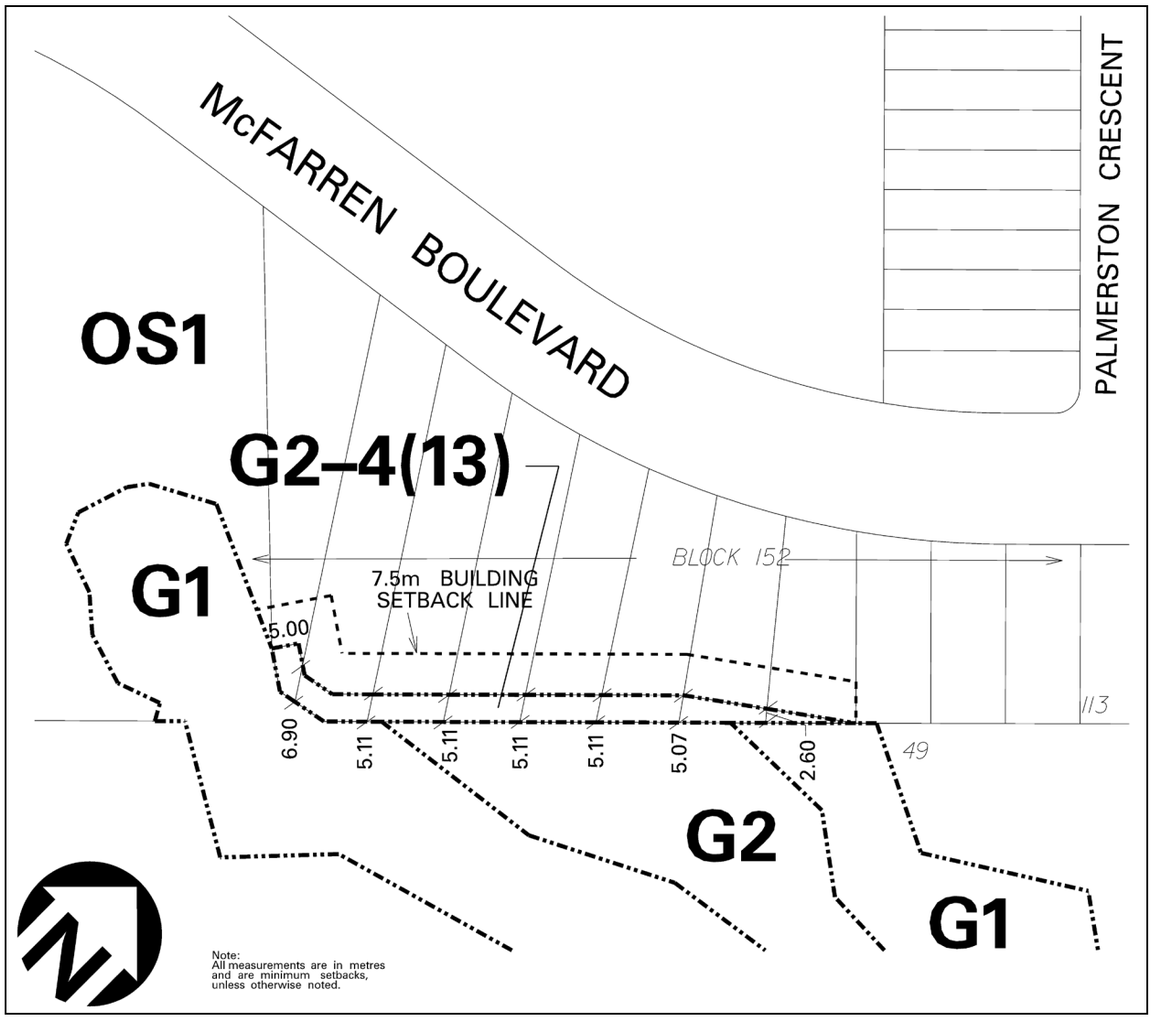

Schedule G2-4(13)
Map 39E

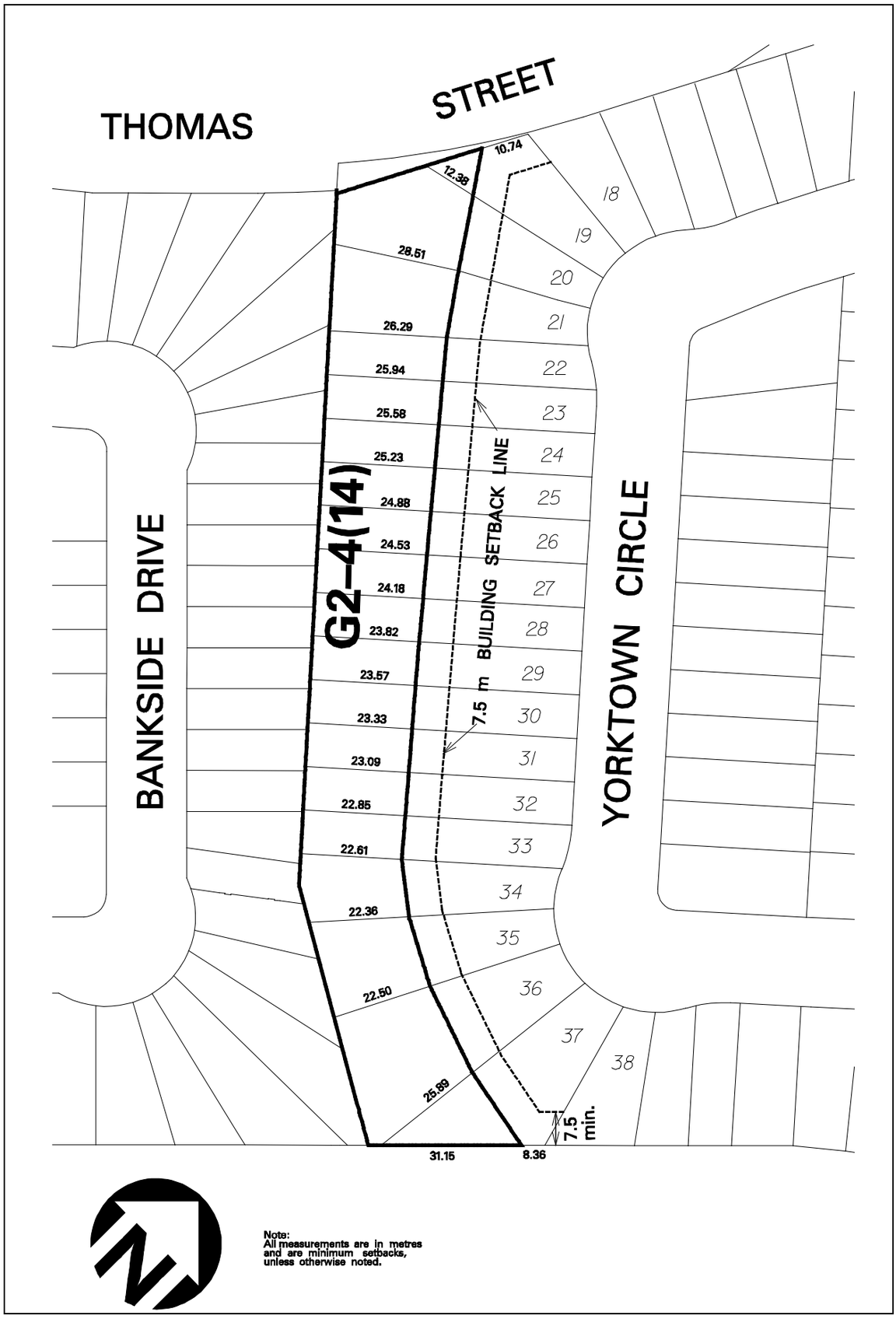

Schedule G2-4(14)
Map 39E

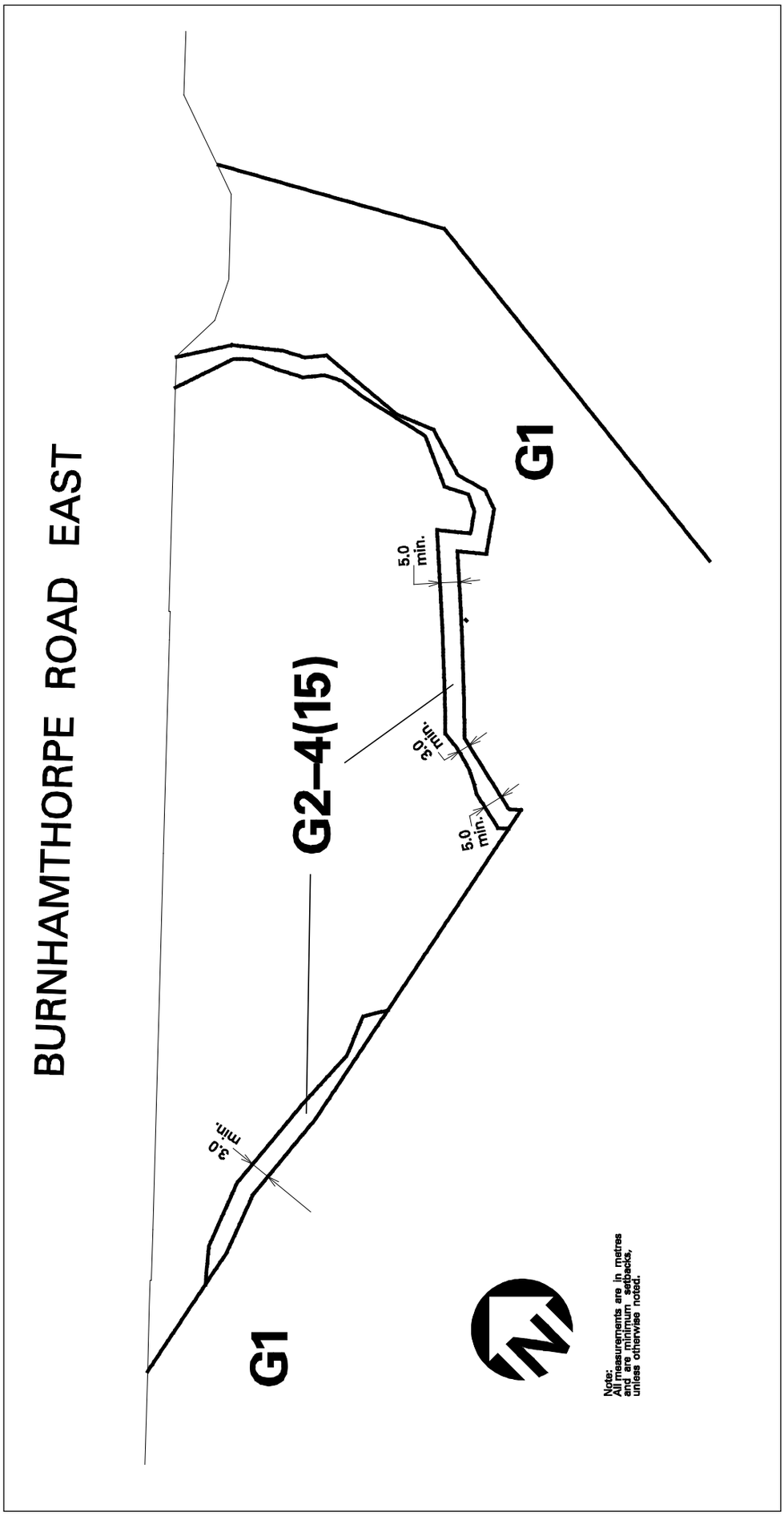

Schedule G2-4(15)
Map 21

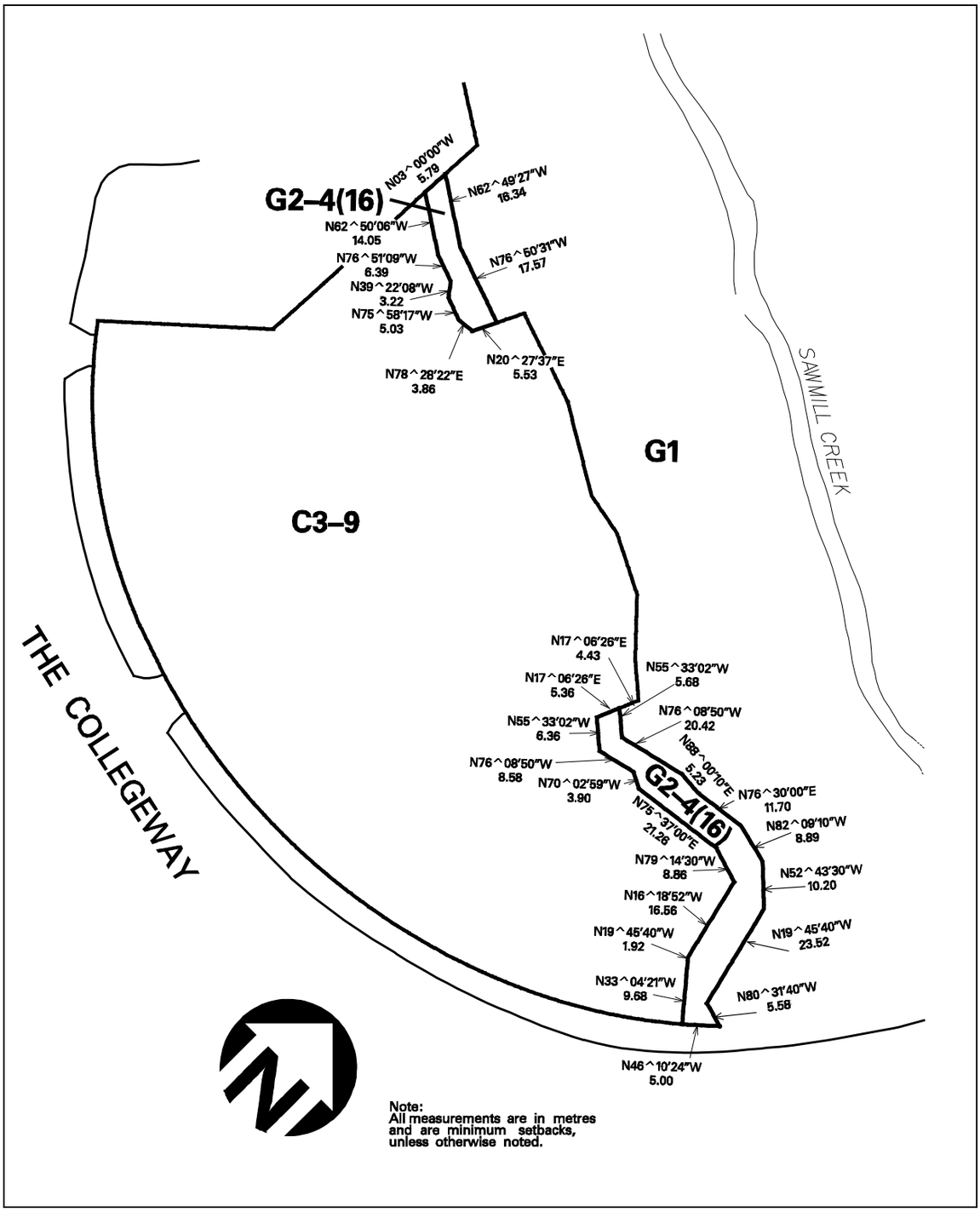

Schedule G2-4(16)
Map 24

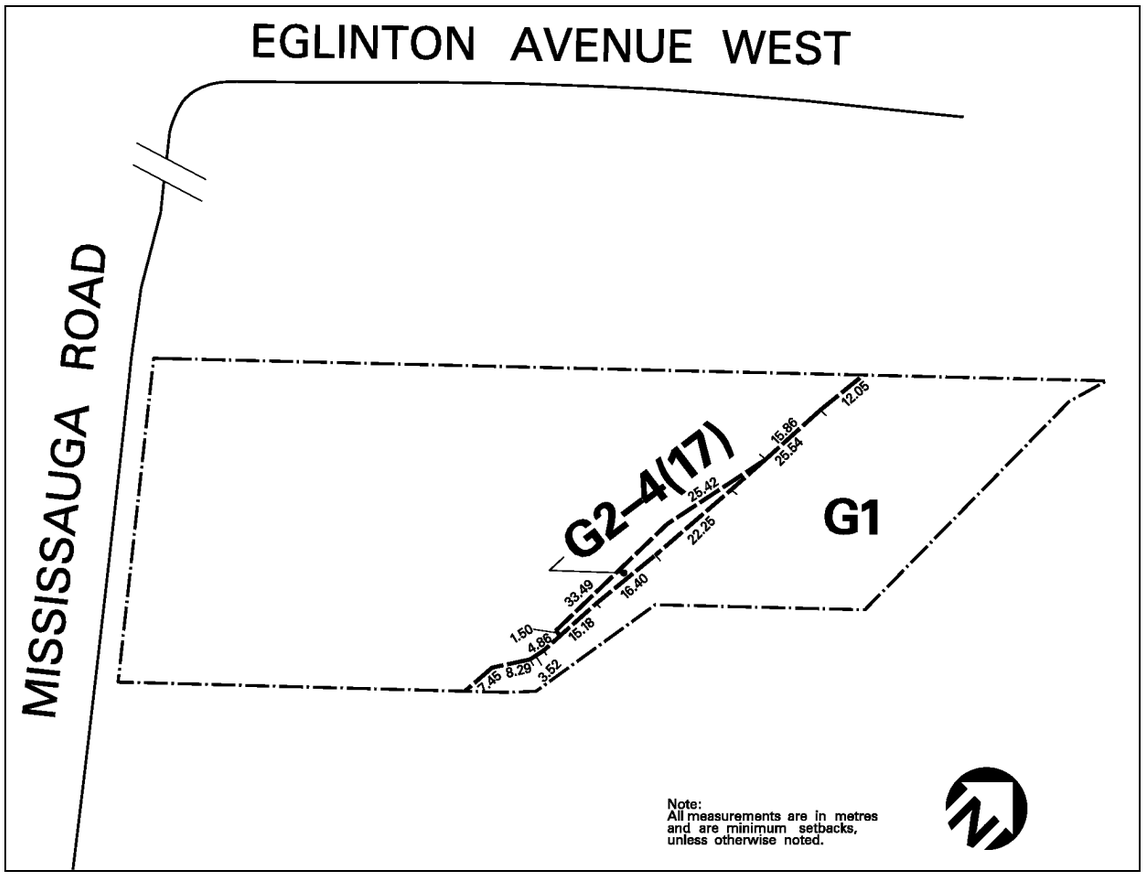

Schedule G2-4(17)
Map 31

Refer to Minister Zoning Order (MZO) O. Reg. 91/23 2023 May 12			
10.2.3.5	Exception: G2-5	Map # 01	By-law: 0325-2008, *deleted by 0151-2020*, 0119-2022
In a G2-5 zone the permitted **uses** and applicable regulations shall be as specified for a G2 zone except that the following **uses**/regulations shall apply:			
Additional Permitted Use			
10.2.3.5.1	(1) **Trail**		
Holding Provision			
	The holding symbol H is to be removed from the whole or any part of the lands zoned H-G2-5 by further amendment to Map 01 of Schedule B contained in Part 13 of this By-law, as amended, upon satisfaction of the following requirement: (1) the provisions contained in Article 2.1.33.7 of this By-law as they relate to lands zoned H-G2-5 and subject to holding provisions H1, H2 and H3.		

10.2.3.6	Exception: G2-6	Map # 45E	By-law: 0395-2009
In a G2-6 zone the permitted **uses** and applicable regulations shall be as specified for a G2 zone except that the following **uses**/regulations shall apply:			
Additional Permitted Use			
10.2.3.6.1	(1) Walkway		
Regulations			
10.2.3.6.2	A walkway shall only be permitted on that part of the lands zoned G2-6, identified on Schedule G2-6 of this Exception		
10.2.3.6.3	**Natural protection area** shall be located on lands zoned G2-6, identified on Schedule G2-6 of this Exception		

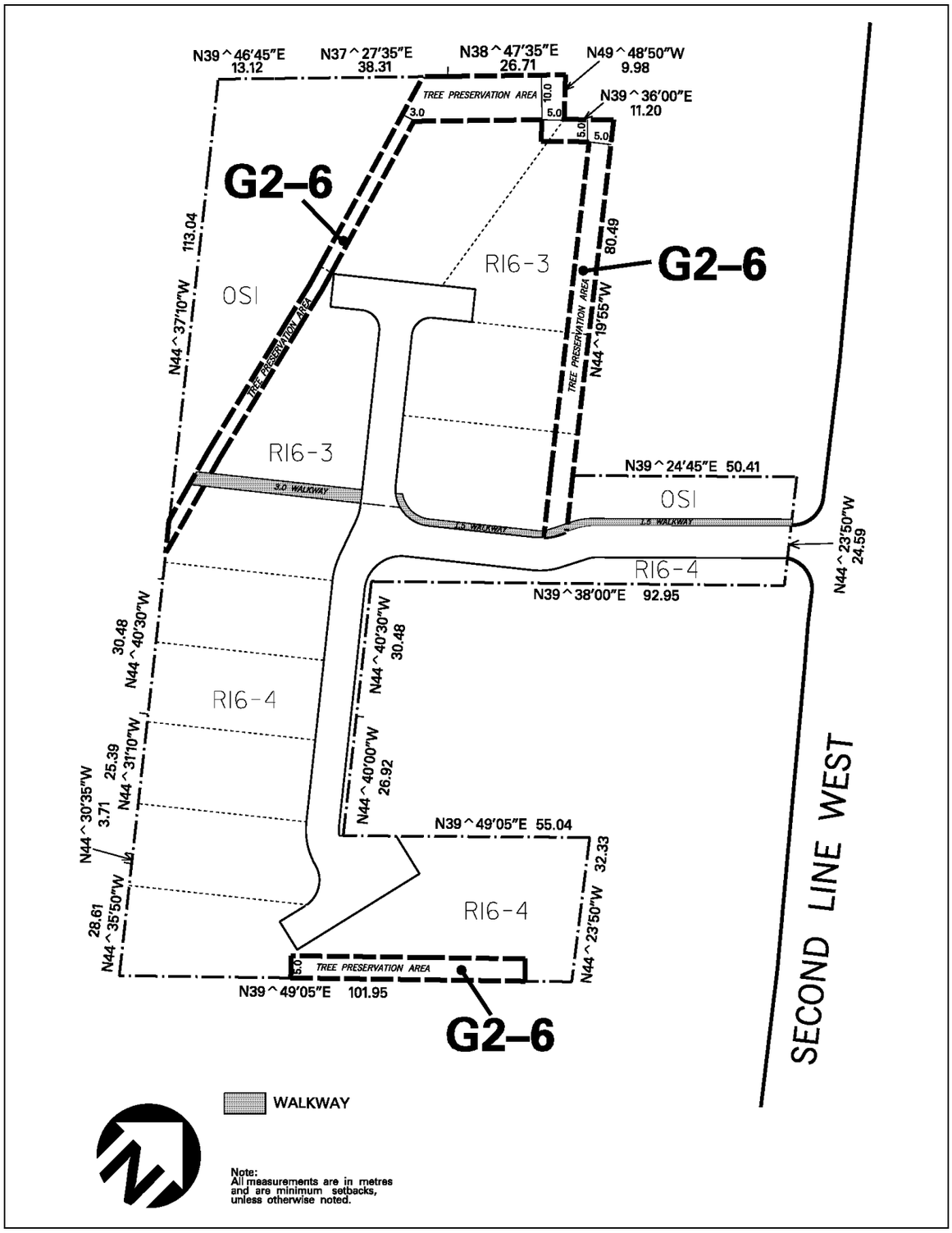

Schedule G2-6
Map 45E